Pennsic 37 Land Groups - Alpha Sort

18,597

600' x 780'

Group Name	Block
A Keep Away	N18
Aardv ark Aardvark	B03
Abbaye D'Arnou	E15
ACG	E04
Acre	N13
Aerie of Tir Thalor	B02
Aielman	B05
AkeruThunder	E17
Aleholding	B03
Allied Households	N32
Amice Keep	N28
Amor Victus	N36
Ancaster	B01
Anglesey	E26
Ar Station	B09
Archer's Glen	B04
Ardchreag	W20
Argent Company	N15
Argent Lupe	N15
Art Hearth, The	E10
Arx Ventus	N28
A's End	E11
Astleita	E30
August Moon	E18
Axes and Arrows	N09
Azami Ancien	N32
Band of the Red Hand, The	E18
Barbs and Roses	W20
Barony Bhakail	N11
Barony od An Dubhaigeainn	W02
Barony of Andelcrag	N07
Barony of Bergental	N21
Barony of Black Diamond	N31
Barony of Blackstone Mountain	E04
Barony of Brendoken	N09
Barony of Carillon	N10
Barony of Delftwood	N08
Barony of Dragonship Haven	B08
Barony of Dun Carraig	N33
Barony of Endless Hills	N13
Barony of Fenix	N15
Barony of Marinus	E05
Barony of Northwoods	B04
Barony of Ponte Alte	N31
Barony of Red Spears	W15
Barony of Rising Waters	W02
Barony of Sacred Stone	N07
Barony of Settmour Swamp	E12
Barony of Skraeling Althing	W18
Barony of Smoking Rocks	N18
Barony of St. Swithin's Bog	E22

Porta Sonu 7303 Radio "Deci"

DF -

N-40-58-43.9
80-8-21.9

NE-Corner
15' From Edge
of Fort
(South)
From First Fleet (9' From Edge of Fort)

NW Corner
48' From road
N 40-58-41.3
W 80-8-28.7

SW Corner
From the B8 monument
150'
~~780'~~ 775' pin
600' pin
40°-58'-35.7" North
Edge of Kens
14'
80°-8'-25.4" West

SE Corner
600' pin
N-40 58-38.4
~~800'~~ ~~780~~ 775' pin
W 80-8-18.6
Lines up with Fredo Hall & small hill
Lines up with South Tree in Bio

Barony of Stierbach	N21
Barony of Stonemarche	N33
Barony of the Bridge	B01
Barony of the Rhydderich Hael	W09
Barony of the Roaring Wastes	N18
Barony of Thescorre	N08
Barony of Tiny-don	N13
Barony of Wiindmaster's Hill	N31
Bayeux	N11
Bealtuinn Free Company, The	B02
Bear	E08
Bear Clan	W14
Bellum Libell	E23
Between Someplace and Elsewhere	B04
Bideska Gury	E30
Big Yellow House	N18
Black Dragons, The	N15
Black Legion	N17
Black Pearl, The	B08
Black Talon	E18
Blackforest Rest	W10
Blackskull Clan	E30
Blackstaff	N28
Blackthorn	N01
Blood Moon Clan	E04
Bork	N21
Brigadoon	X08
Brotherhood of the Sacred Light	E01
Brotherhood of the Silver Apple, The	N12
Budgardr	W09
Burly Ten Pint Men	E17
Burning Frog	E25
Byzantium	W02
Caer Cinniuint	E01
Caer Cynin	N32
Caer Edgemere	E15
Camp Better Fire	W10
Camp Biernmead	N22
Camp Bodrum	N16
Camp Crook'd Cat	E02
Camp Famdamily	B08
Camp Goldilocks and the Fighting Bears	B04
Camp Maplewood	W18
Camp of the Three Bears, The	N17
Camp Testosterone	N31
Camp Urso	E01
Camp Valdes	N09
Camp Yggdrasil	W21
Campanieri di Venezia	W13
Caravan of the Silver Cat of Persia	X10
Caravan Serai	N28
Carpi	X11

Casa Bardicci	E19
Casa De La Rosa	X04
Casa do Buraco	B01
Castle Bruhn	X07
Chastelle de Furneux	N07
Chateau Merdecheval	N33
Cheshire House	B04
Chez D'Argent	W16
Circle	W06
Circus of the Damned	W10
Clan Arky	N28
Clan Blackhart	E05
Clan Blue Feather	E12
Clan Cambion	E15
Clan Campbell of Applecrest	N22
Clan Chattan	N21
Clan Conall	N32
Clan Ebonwoulfe	N22
Clan Kali Rugo	E13
Clan Kerr	E02
Clan Kindred of the Wolf	E31
Clan Kyle	N03
Clan Lurkr	N06
Clan mac Pharlain	N05
Clan MacAdder	W18
Clan MacDonald	W10
Clan MacKay	E02
Clan Manion	E26
Clan McGroyne Highlanders	N23
Clan McGroyne Lowlanders	E31
Clan Neko	B02
Clan of the Bucking Fuffalos	N28
Clan of the Burning Hand	E23
Clan of the Northern Lynx	E28
Clan of the Seven Leaves	E24
Clan Orion	E21
Clan Shadowfire	E31
Clan Shadowood	E27
Clan Stravnos	E21
Clan Wulfgard	E02
Clan Yama Kaminari	E03
Clann O'Choda	E02
Clanne Preachain	E23
Club Aed	N13
Club Medieval	W21
Clurichauns	E26
Cognizenti	E05
Coill Tuar	W13
Colderwild	W10
College of Yarnvid	E15
Company of Outremer	N17
Compass Rose	N35

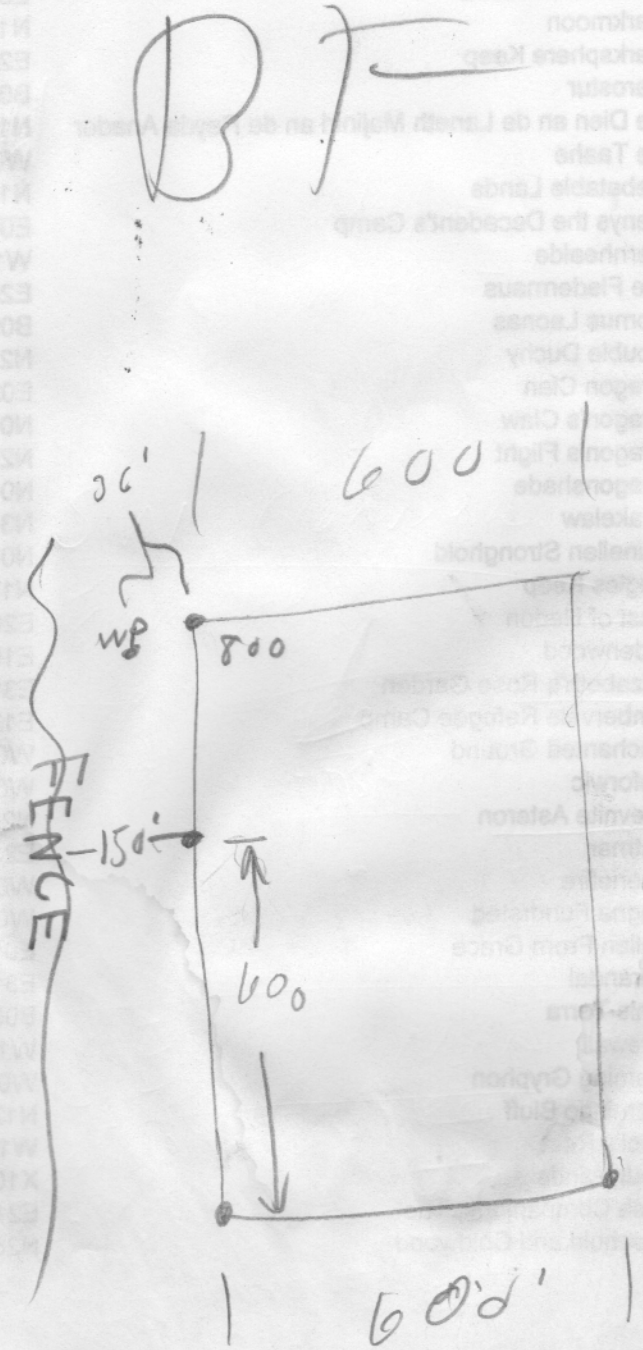

Concordia	N01
Concusare	E27
Coney Island	E31
Conspirancy Inn, The	B06
Court of Miracles	X09
Cove, The	N03
Cranshaws, The	W20
Crescent Dragon	E01
Crunchy Frog	W20
Cynnabar	W02
Dalhraidia	E27
Dancing Fox	E01
Dancing Spider	E07
Dark Horde Moritu	E09
Darkmoon	N18
Darksphere Keep	E22
Darostur	B01
De Dien an de Laneth Majiniri an de Rayda Anador	N14
De Taahe	W02
Debatable Lands	N10
Denys the Decadent's Camp	E07
Dernhealde	W10
Die Fledermaus	E28
Domus Leonas	B06
Double Duchy	N21
Dragon Clan	E02
Dragon's Claw	N01
Dragon's Flight	N22
Dragonshade	N01
Drakelaw	N31
Dunellen Stronghold	N01
Eagles Keep	N17
East of Hedon	E26
Eldenwood	E10
Elizabeth's Rose Garden	E30
Embervale Refugee Camp	E12
Enchanted Ground	W09
Eoforwic	W08
Erevnite Asteron	N22
Estmar	E23
Faeriefire	W09
Fagna Fundrsted	W05
Fallen From Grace	E01
Ferandal	E31
Finis Terra	B09
Firewall	W19
Flaming Gryphon	W07
Flamingo Bluff	N12
Fool's Rest	W16
Four Winds	X10
Free Companions, The	E21
Freehold and Coldwood	N28

800-
888 3687

DAVYL

Freehold of the River Keep	N18
Full Circle	N18
Gabriel's Landing	E17
Galacia	E26
Gamol Gat	N19
Gaping Maw	W09
Gift o' McGroyne	E30
Gladique Scoparum	N28
Goat Clan	W06
Good Friends Camp	N01
Great Dark Horde	E10
Greenwood on Wye	E18
Grey Gargoyles	W07
Griffon Heng	B09
Grimwulf's Fyrdwic	E21
Gryphon's Rest	N30
Gypsy Camp, The	W10
Hagen Hiem	N03
Hahvehbier	E26
Hamilton	W21
Harpwood Hall	E24
Hartstone	B05
Haus Brandenburg	B08
Haus Drakken's Lager	N11
Haus Nine Haus	N30
Haus Platt Vogel	B05
Haus von Halstern	N14
Head Clan	E14
Helios Furion	W09
Henchmark	N29
Herd, The	N30
Highland Foorde	N22
Hills of Corvaria	W02
Holt Herotus	W01
Horn and Crown	N21
Hotel de Byram	B09
House al Qasim	N29
House Alexander	W01
House Amber Hart	N31
House Arindale	B08
House Belligerant Dragon	W13
House Black Moon	B03
House Blackhammer	N30
House Blackspear	N24
House Blackstar of the Bright Hills	W13
House Blood Jack	E15
House Bloodguard	N17
House Clovenshield	E11
House Corvus	N12
House Crossbow	N22
House DeLondres	X05
House Dione Sidhe	N07

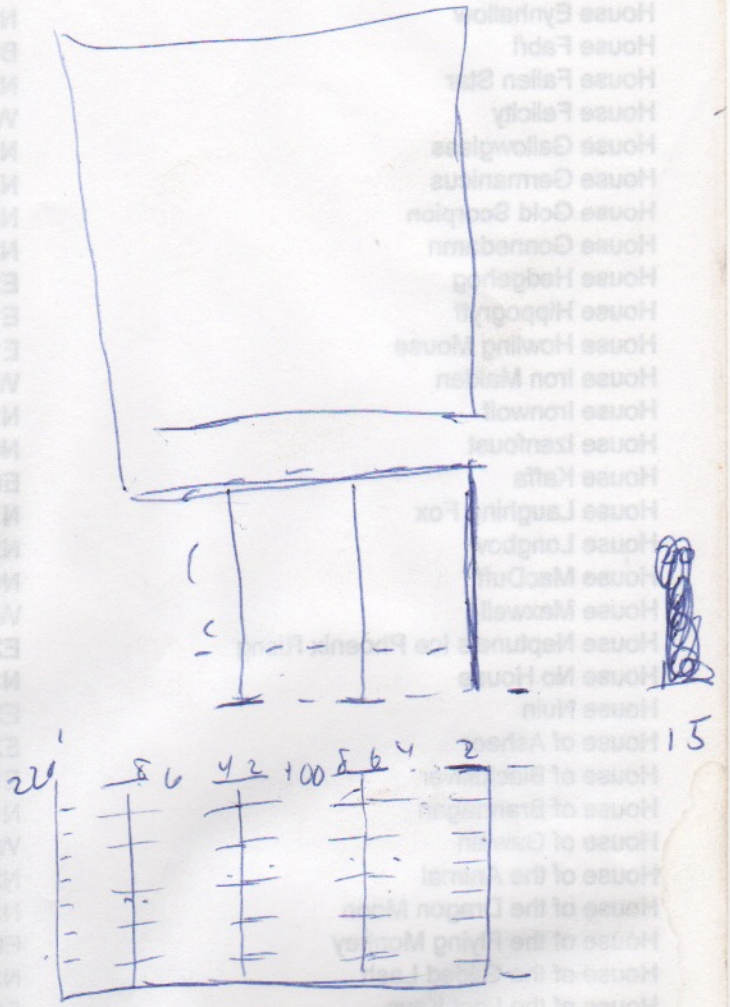

House Drachenstein	E10
House Drunken Badger	N07
House Dunn Phalin	E31
House Eynhallow	N30
House Fabri	B03
House Fallen Star	N12
House Felicity	W09
House Gallowglass	N03
House Germanicus	N32
House Gold Scorpion	N29
House Gonnedamn	N22
House Hedgehog	E23
House Hippogryff	E17
House Howling Mouse	E17
House Iron Maiden	W09
House Ironwolf	N30
House Izenfoust	N01
House Kaffa	E01
House Laughing Fox	N37
House Longbow	N22
House MacDuff	N07
House Maxwell	W05
House Neptune's Ice Phoenix Risng	E21
House No House	N30
House Nuin	E26
House of Asheer	E25
House of Blacksilver	E11
House of Brannagan	N17
House of Gawain	W21
House of the Animal	N28
House of the Dragon Moon	N35
House of the Flying Monkey	E01
House of the Gilded Lash	N30
House of the Lost Keys	E18
House of the Three Roses	E13
House of Three Pines	E09
House Quacheri	E18
House Raeburn	N16
House Ravenwolf	E17
House Redhair	E24
House Redoaks	N09
House Rubber Ducky	E17
House Sable Maul	N29
House Shooting Star	W16
House Silver Talon	N28
House Silverkeep	E15
House Silvermoor	W13
House Stahlgeist	E02
House Stonewatch	W07
House Tannelorn	E21
House Temeraire	N03
House Thorkettle	E30

Oakford	E01
Oaklawn	X99
Olach Lacha	N22
OLB	B06
Old Baron's Rest Home	N09
Old Fogey	N15
Oldcastle	N17
Omega Company	E29
Order of the Thistle, The	W16
Oriflamme	B02
Orkholm	B08
Orluk Oasis	W10
Ostgardr	E04
Otto's Cove	E01
Outlanders, The	B09
Oyster Bar	N29
Padrhaigs Alehouse	E01
Pandora's Box	W06
Pentamere Free Company	B04
Pentwyvern	E16
Petrea Thule	W14
Phraeggul Rock	E31
PI	W01
Pink Fuzzy Bunny	W05
Pirates of the Lost Cause	E21
Pit of Despair	N21
Populace of Calontir	N03
Populace of Gleann Abhann	N12
Populace of Northshield	N19
Populace of Trimaris	W17
Populce of Ansteorra	N09
Porto do Macaco	N07
Potters Field	B03
Quatrefoil	N21
Ratatosk	E23
Raven Or	B04
Ravenstreet	E05
Regnesfolke-Mryfaelinn	E23
Remnants of Soth	N24
Revelwood	E31
Rieur Sanglier	E17
Ring of Six Leaves	E23
Rivenstar	N18
Rivenwood Camp	N32
Robledal	E21
Rogues	E26
Rogues Refuge	E31
Rome	B06
Rowanhall	W13
Rozakii and Friends	E23
Rusty Swamp Pages	N28
Sai Or Shyr	B06

Saltatoris Dance Guild	B05
Sanctuary	W09
Sanctum Mercia	N20
Scholars Way	N30
Sea Chameleon	E17
Sebastion's Place	N28
Serpentius	N18
Seven Deadly Sins	W13
Shadow Legion	N01
ShadowClans	N33
Shadowstorm	E31
Shauna's Camp	W10
Shaynoname	N03
Shire of Caer Adamant	N34
Shire of Dark River	W08
Shire of Heronter	N13
Shire of Hornwood	E17
Shire of Mugmort	W12
Shire of Owlsherste	N13
Shire of Roxbury Mill	W13
Shire of Shadowed Stars	N01
Shire of Timewydd	E19
Shires of Barren Sands and Sterlynge Vale	E13
Sidhe Mor	B04
Sign of the Black Rose	N14
Silk Road, The	E17
Silures	W10
Silver Channel	W09
Silver Dragon Wood	W09
Silver Gryphon	E26
Silver Horde	E01
Silver Phoenix and Estmar	E23
Sin Pit	E05
Sisterhood, The	E23
Skalli Maerr	N03
Skylers	E17
Slavik Village	N22
Solomon Pages	N28
Southern Wood	E29
Southwind	N30
Spartii	N15
SPCA	W10
Speckulian	W10
St. Jones Mission	E26
Starry Knights	X06
Sternfeld	N16
Stormvale	W08
Strawberry Fields	B06
Streonhalle	W20
Summer's Keep	B03
Sunderoak	N09
Surnia	E21

Surtr's Blood	E31
Swanskeep	X04
Tagmata	W05
Talbot's Keep	B07
Talla na Beine	N07
Teaghlach Croi Te	E13
Tengri	E22
Terre d'Ange	E19
Thorn Gate	N21
Thran Sloth	E26
Three Swans	E27
Three Weasels	W06
Thunder Keep	N31
Timberwolfe	E28
Tortuga	B09
Toymaker	W09
Tribe of Four Winds	W13
Tuatha de Bhriain	E23
Tuchux	N27
Two Skunks	B04
Tyger's Guard Woodland Watch	B03
Tylwyth Rhaidd	W02
Under the Rose	E01
Up the Hill	B02
Ur Conchile	E27
Vagabond	E28
Vair and Ermine	N18
Valley of the Dolls	W21
Vanguard	B04
VDK	B05
Vega's Tavern	E22
Venshavn	E24
Vestgard and Green Witch Village	W20
Vikingelag-Ulfhednar	N21
Villa Vino	W10
Vincog	X06
Vittorn	B09
Vlad's Pleasure Pavillion	E20
Vykland Mercenary Company	E18
War Puppies	E12
Watan	E17
Wayfaring Rest	E04
We Happy Few	N14
Weary Kremlin Hill	B09
Westengale	N07
Wicked Monkey Tribe	E27
Wild Vine, The	W18
Willow Point N.A.	E19
With Emerson	N03
Wolfmark	N32
Wotog	B05
Wulf Den	E27

Wyrmwood Forest
Zeebera

E21
N15

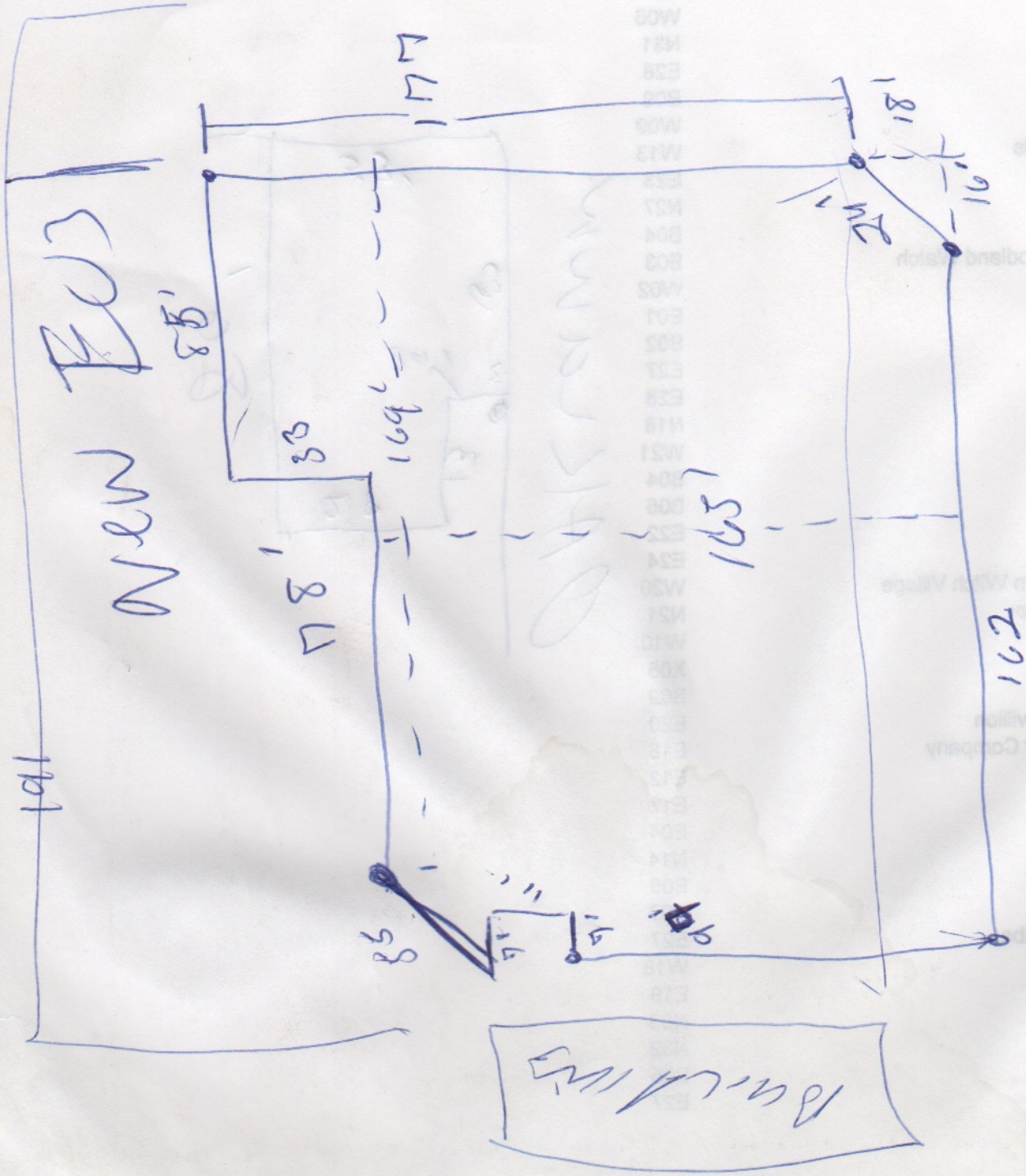

BLOCK B01

FOR

PENNSIC XXXIV

TOTAL AREA: 17342 S.F.

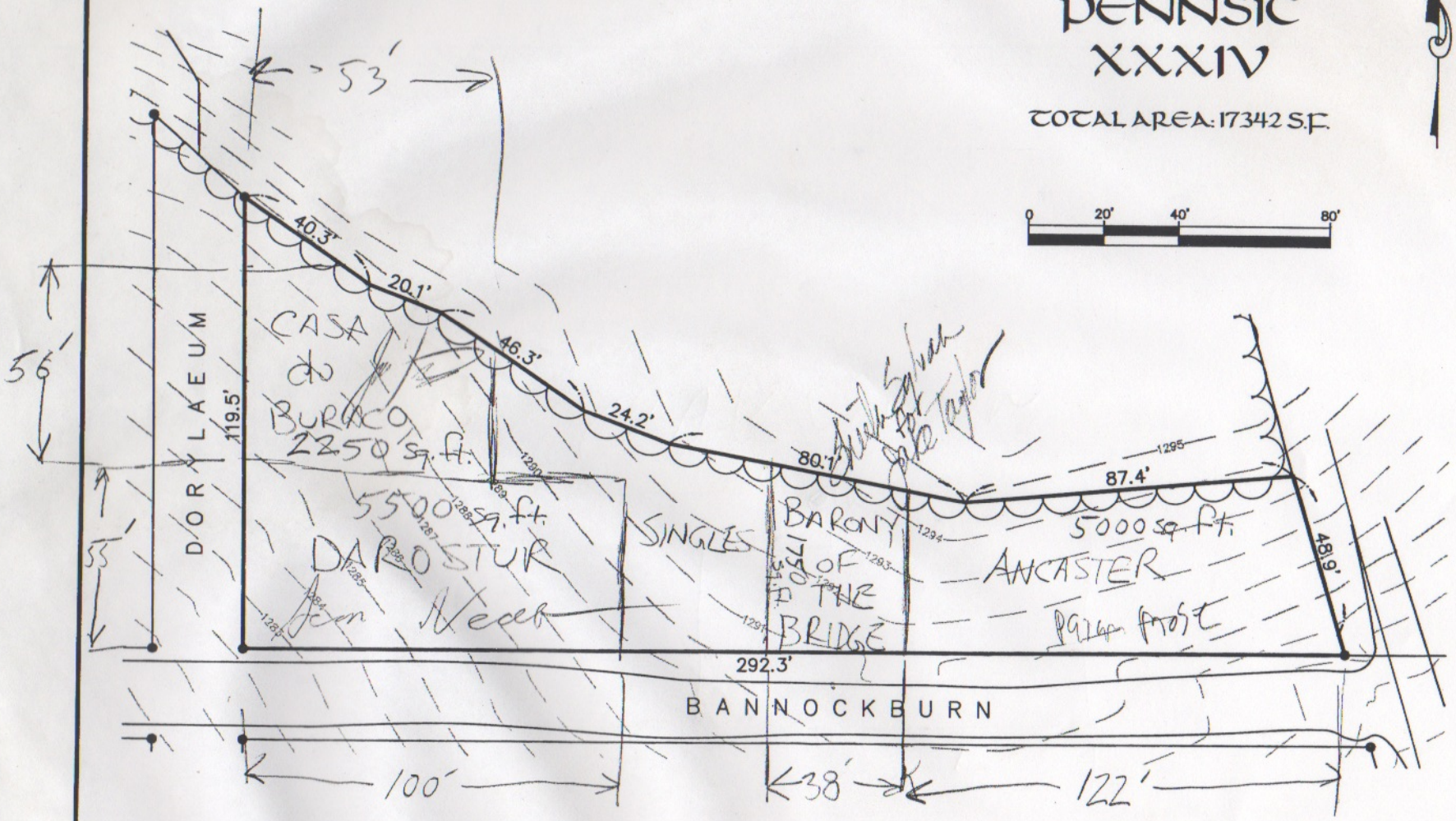

This map prepared by Geoffrey of Wroxeter, Pennsic Cartographer - © 2005 Eric Browning

BLOCK B02

FOR

PENNSIC XXXV

TOTAL AREA: 59187 S.F.

WOODED AREA (80% CAMPABLE): 22436 S.F.

PUBLIC AREA (3'X3' SQUARE AROUND WATER SPIGOT): 9 S.F.

NET CAMPABLE AREA: 54691 S.F.

7/28/11
Move South pins North 3'
Est. Loss of $ 600 $

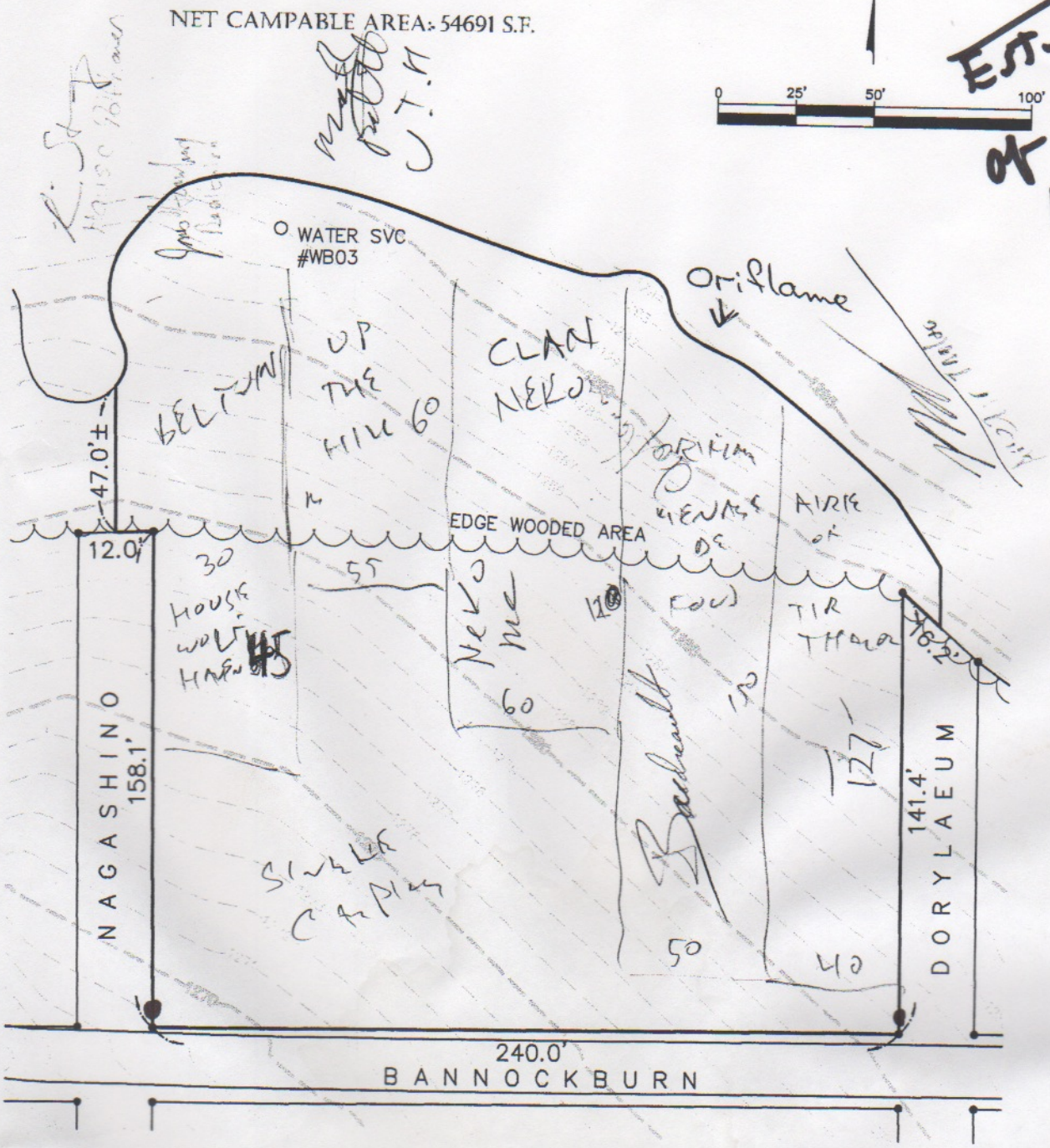

This map prepared by Geoffrey of Wroxeter, Pennsic Cartographer - © 2006 Eric Browning

BLOCK B03

FOR

PENNSIC XXXIV

*Summers Keep 500 sqft
Late Land grab
Fill in when they
Show
Baron Angus Tailor

TOTAL AREA: 77951 S.F.
WOODED AREA (80% CAMPABLE): 26100 S.F.
PUBLIC AREA (TWO 3'x3' SQUARES AROUND WATER SPIGOTS): 18 S.F.
NET CAMPABLE AREA: 72713 S.F.

0 30' 60' 120'

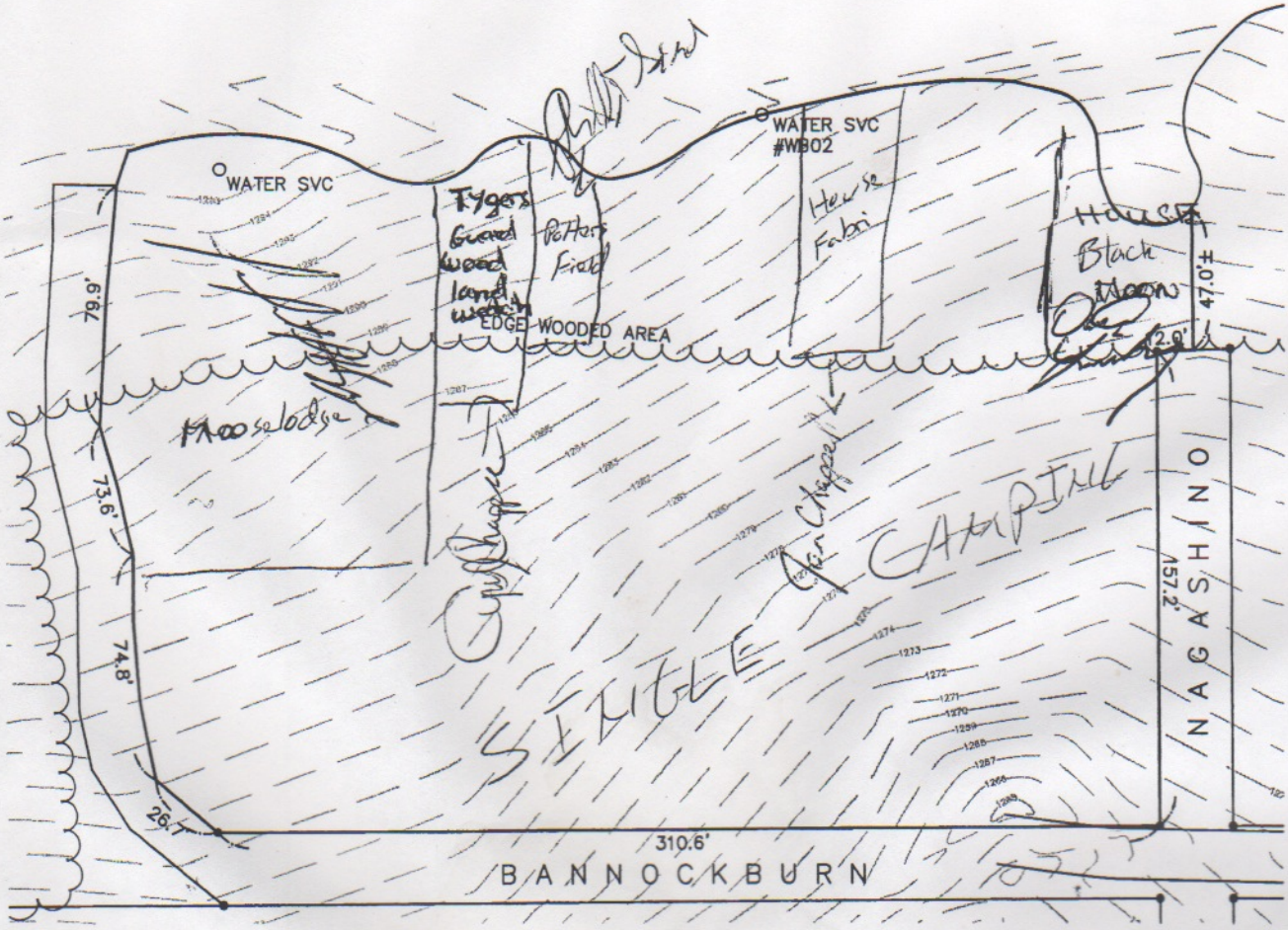

This map prepared by Geoffrey of Wroxeter, Pennsic Cartographer - © 2005 Eric Browning

BLOCK B04

FOR

PENNSIC XXXIV

TOTAL AREA: 59782 S.F.

PUBLIC AREA (TWO 3'x3' SQAURES AROUND WATER SPIGOTS): 18 S.F.

NET AREA: 59764 S.F.

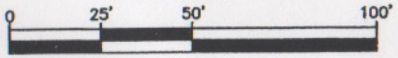

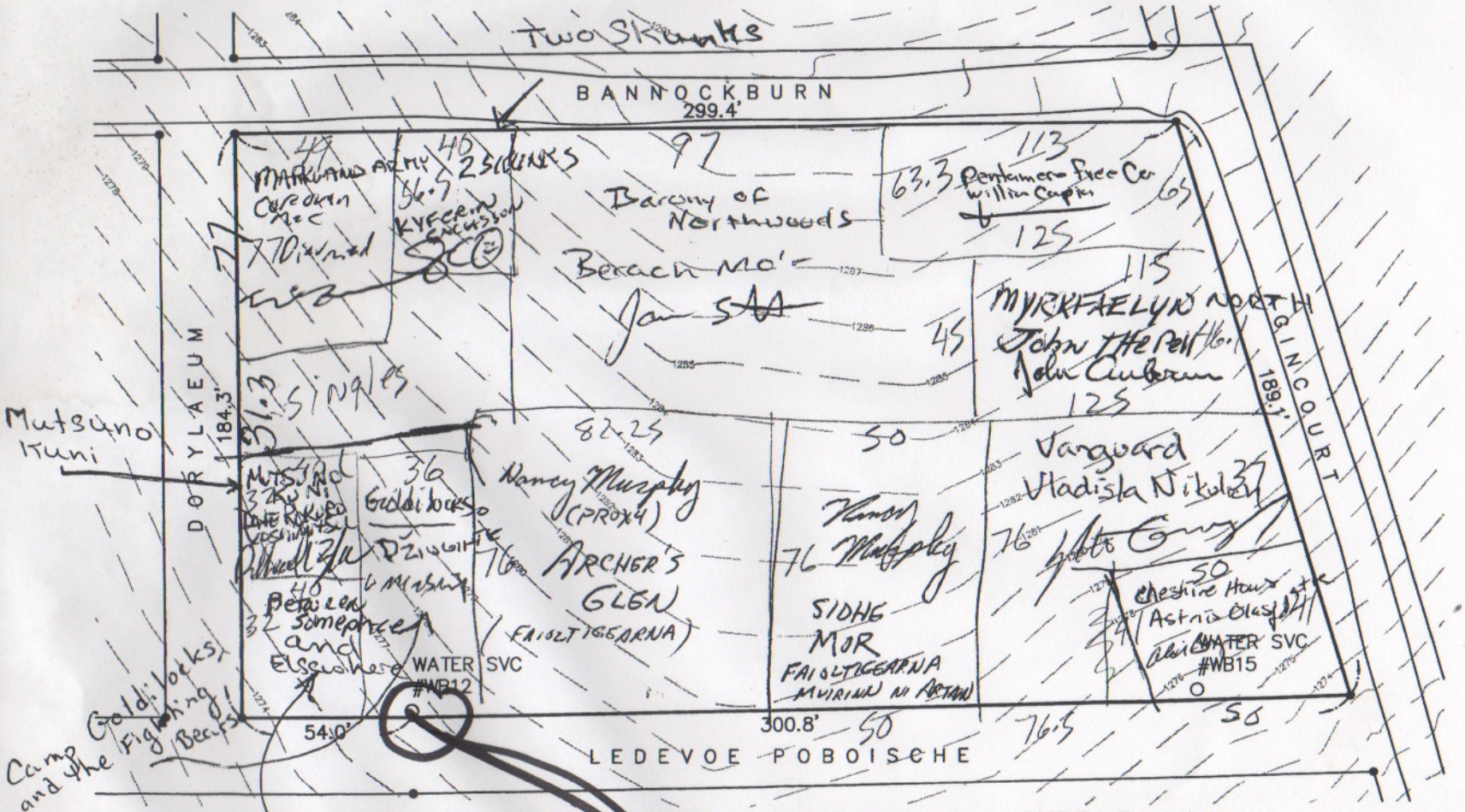

This map prepared by Geoffrey of Wroxeter, Pennsic Cartographer - © 2005 Eric Browning

BLOCK B05

FOR

PENNSIC XXXIV

TOTAL AREA: 44034 S.F.

PUBLIC AREA (3'x3' SQUARE AROUND WATER SPIGOT): 9 S.F.

NET AREA: 44025 S.F.

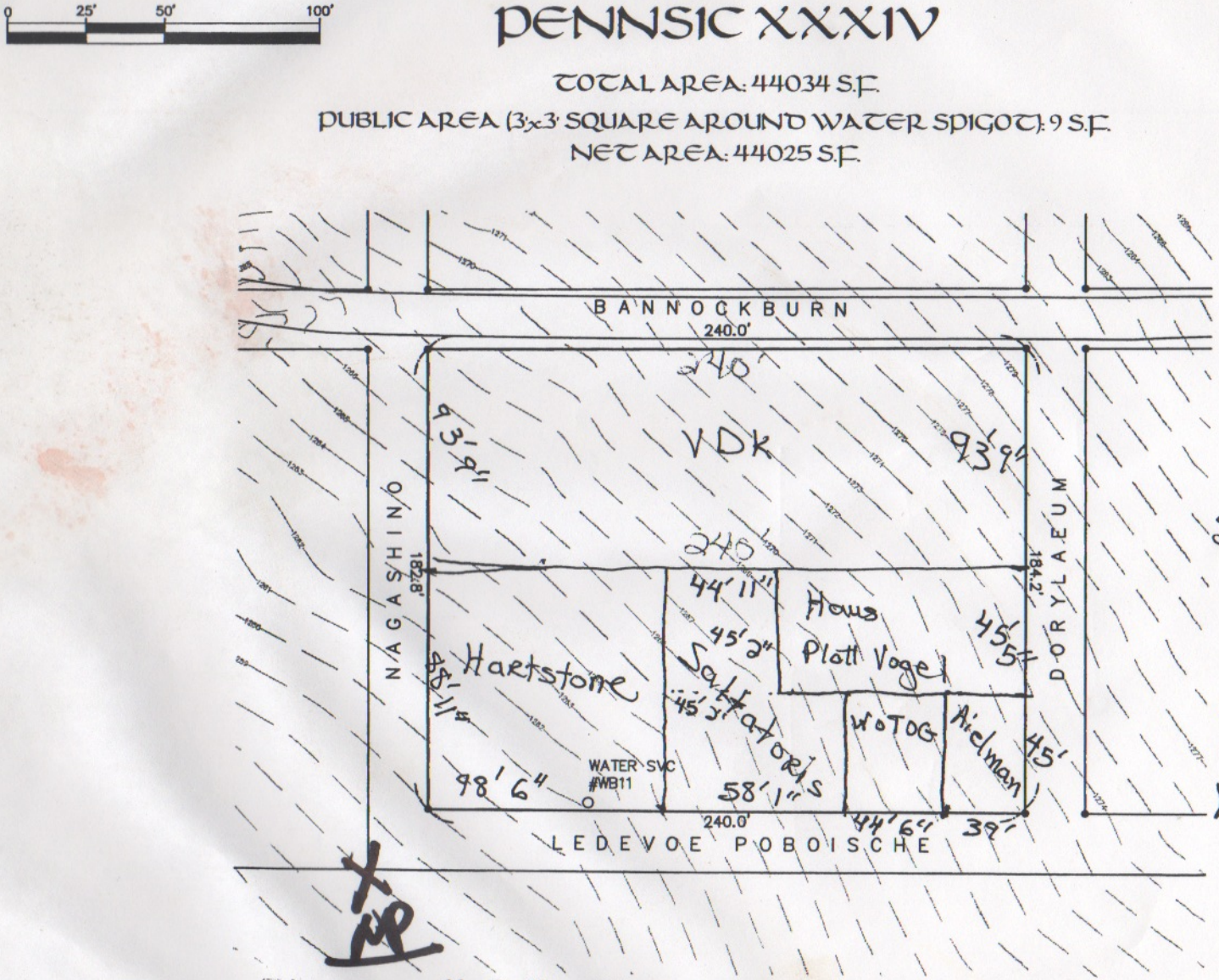

Saltatoris Dance Guild
Angela Schort
VDK
Hartstone
WOTOG – Matthew Miller
Haus Platt Vogel:
Angela Schort
Aielmen

This map prepared by Geoffrey of Wroxeter, Pennsic Cartographer - © 2005 Eric Browning

BLOCK B06

FOR

PENNSIC XXXIV

TOTAL AREA: 41966 S.F.

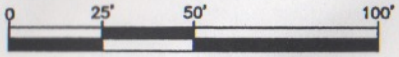

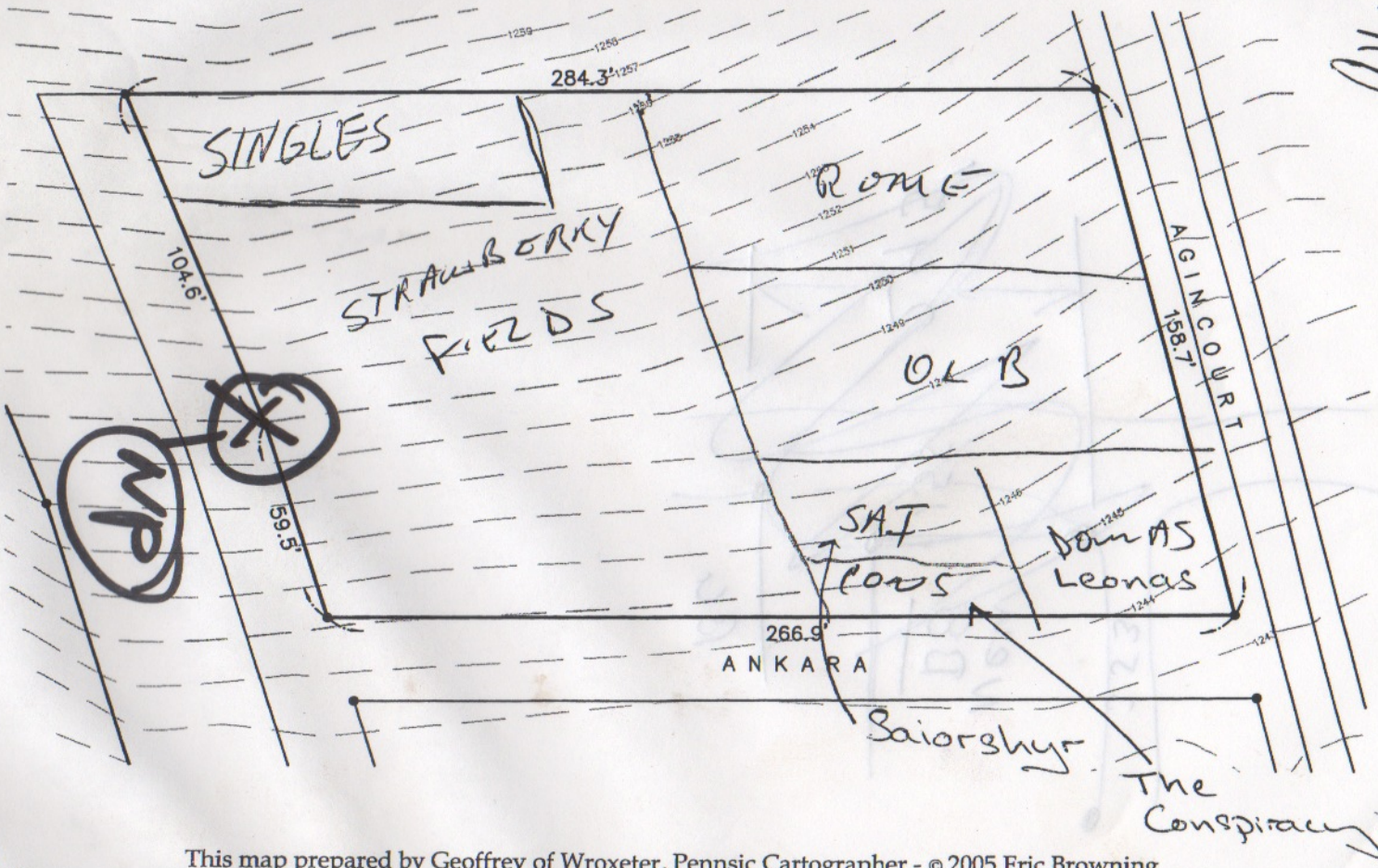

This map prepared by Geoffrey of Wroxeter, Pennsic Cartographer - © 2005 Eric Browning

104.6
59.5
155.1

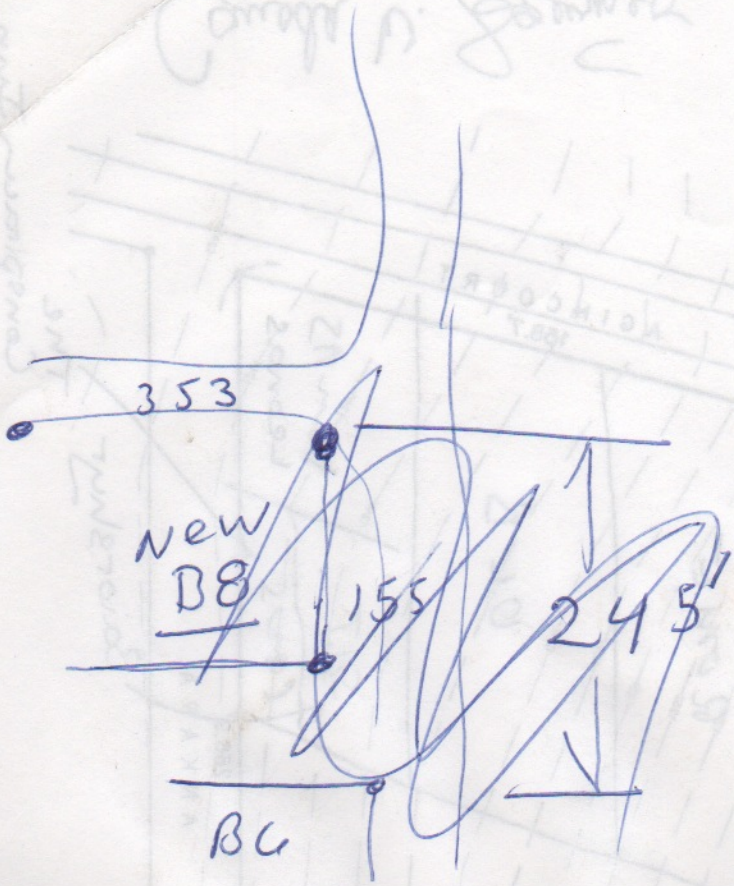
353
New
B8
155
245'
BG

BLOCK B07

FOR

PENNSIC XXXIV

0 25' 50' 100'

TOTAL AREA: 40087 S.F.

PUBLIC AREA (WATER SPIGOT AND RESTROOM AREA): 643 S.F.

NET AREA: 39444 S.F.

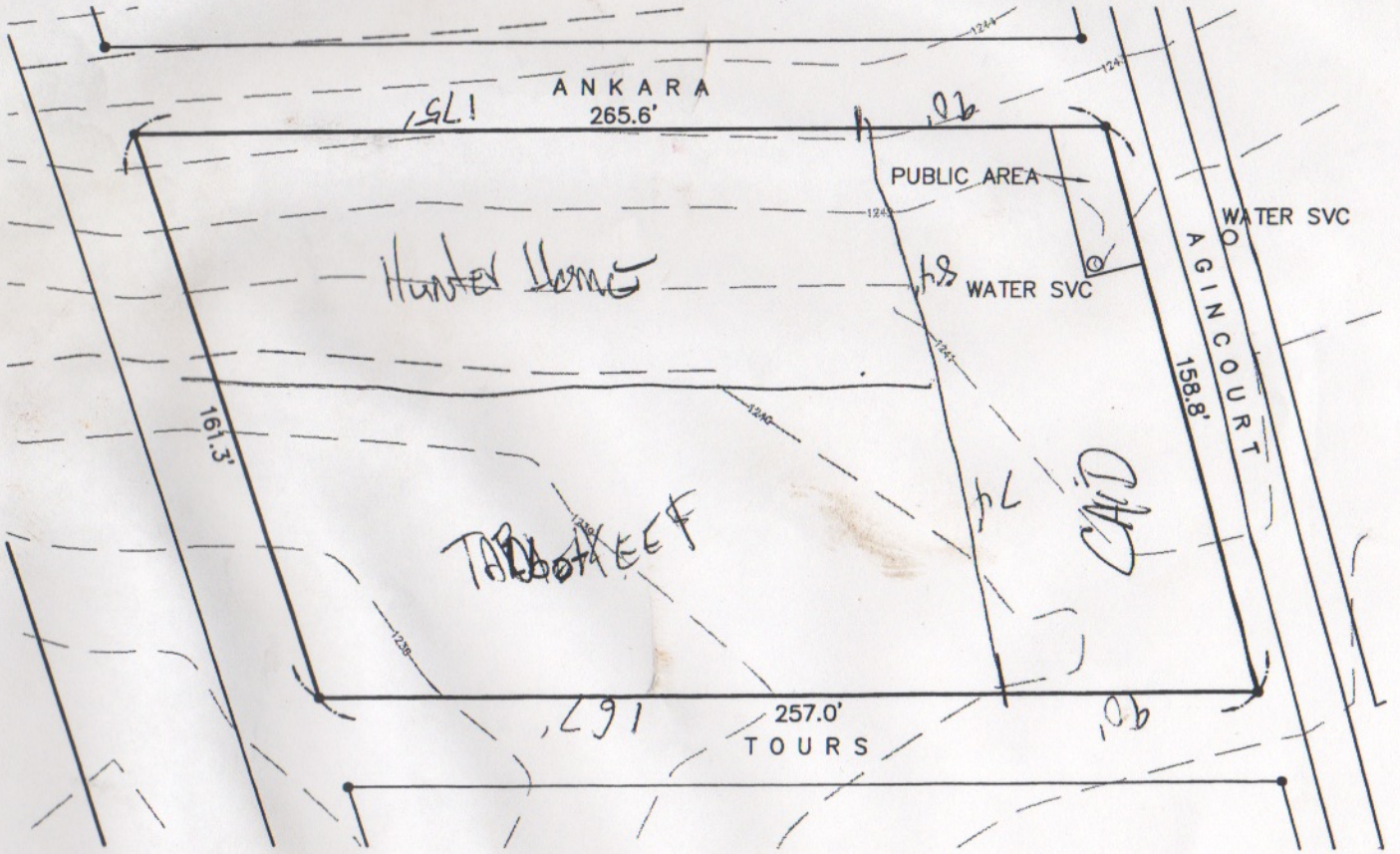

This map prepared by Geoffrey of Wroxeter, Pennsic Cartographer - © 2005 Eric Browning

For measurements see attached block map.

BLOCK B08

FOR

PENNSIC XXXIV

TOTAL AREA: 40091 S.F.

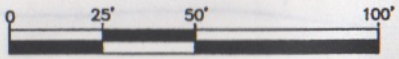

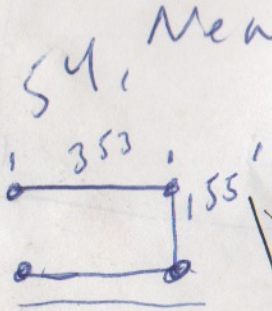

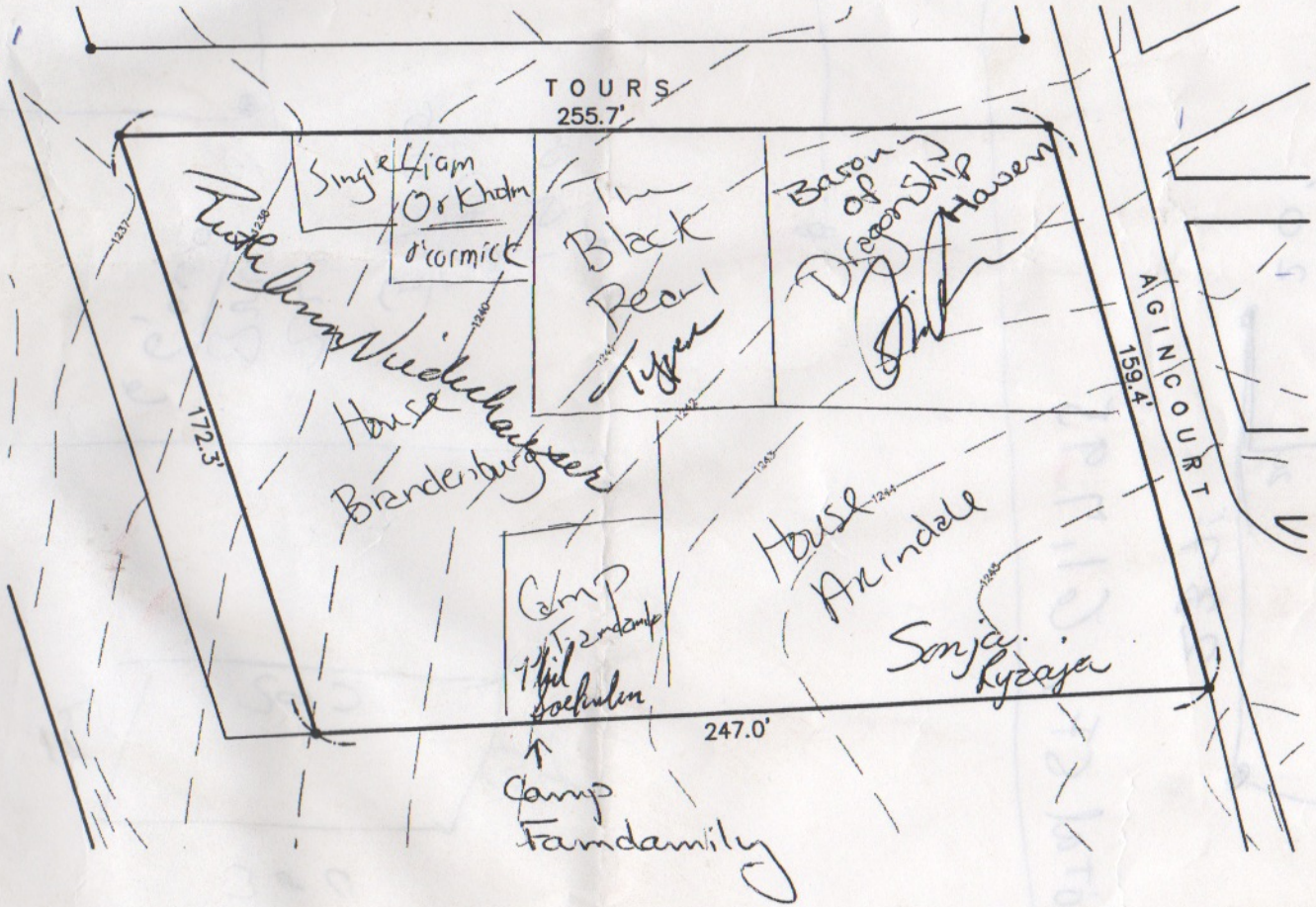

This map prepared by Geoffrey of Wroxeter, Pennsic Cartographer - © 2005 Eric Browning

Total SF, 61,795

BLOCK B09

FOR

PENNSIC XXXIV

TOTAL AREA: 196212 S.F.

WOODED AREA (80% CAMPABLE): 63903 S.F.

PUBLIC AREAS (3'X3' AREAS AROUND WATER SPIGOT AND ELECTRIC SERVICE): 18 S.F.

EQ. CAMPABLE AREA: 178085 S.F.

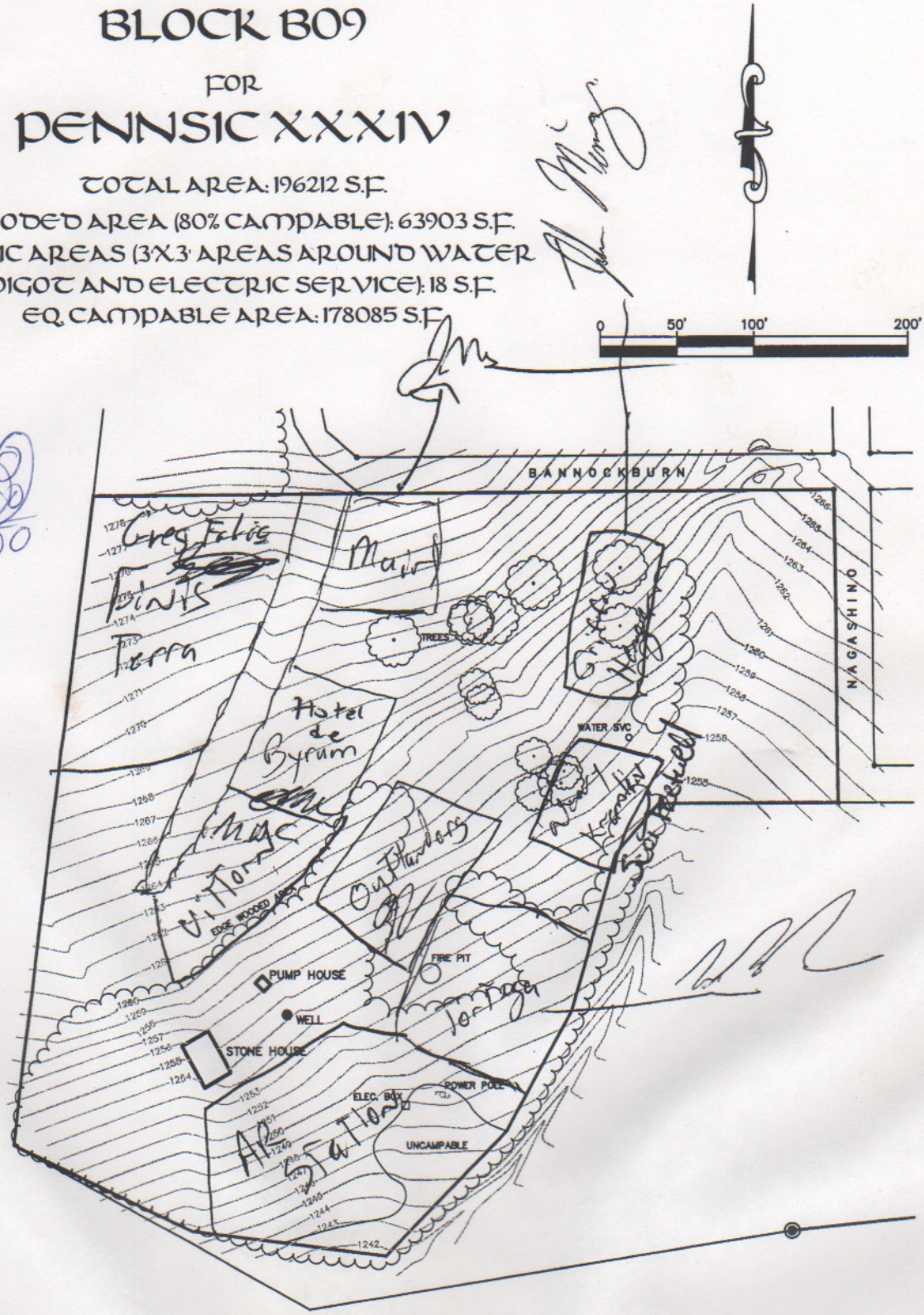

This map prepared by Geoffrey of Wroxeter, Pennsic Cartographer - © 2005 Eric Browning

BLOCK E01

FOR

PENNSIC XXXV

TOTAL AREA: 55442 S.F.
PUBLIC AREA (AROUND WATER SPIGOTS AND POWER POLES): 541 S.F.
NET AREA: 54901 S.F.

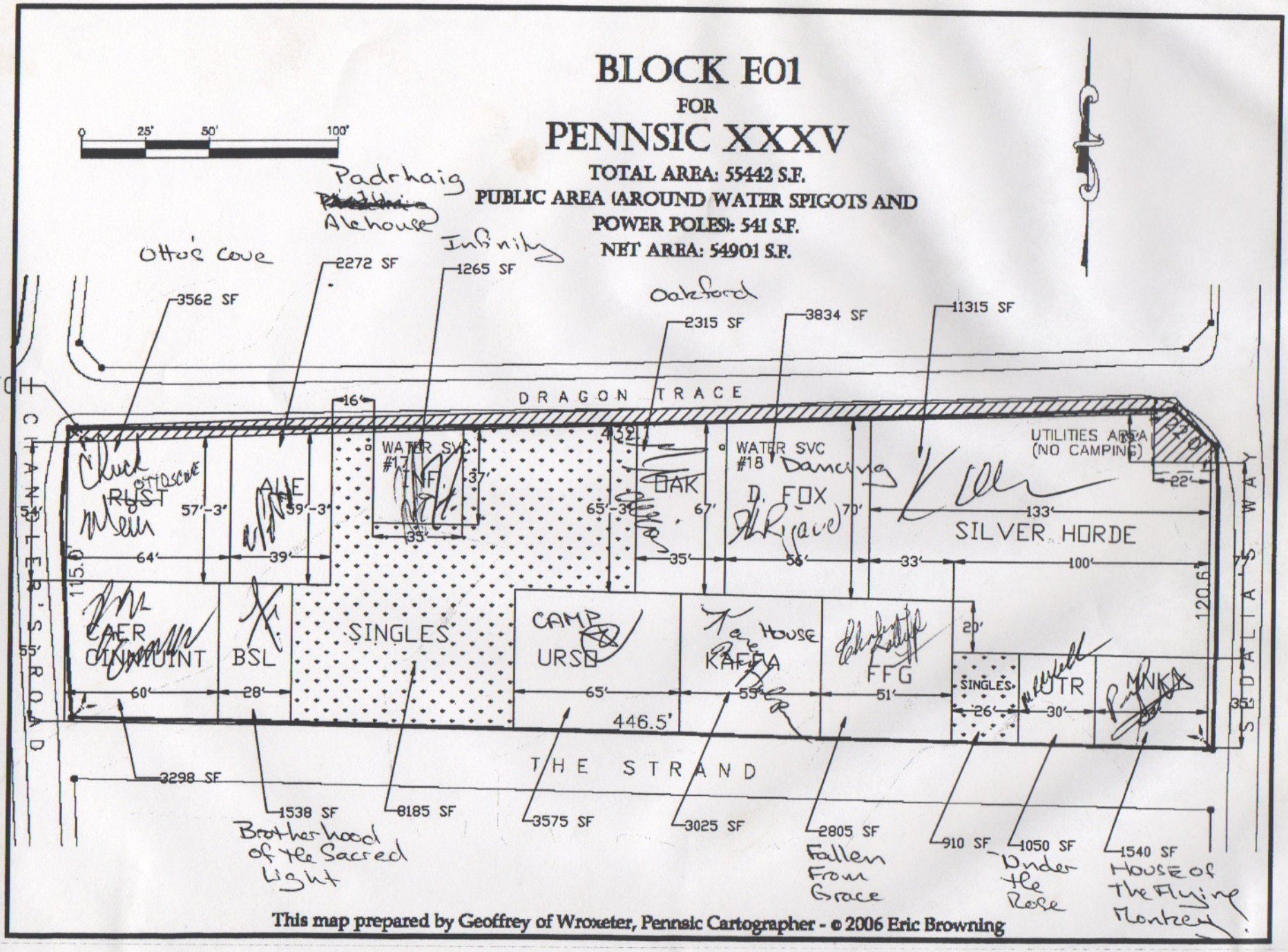

This map prepared by Geoffrey of Wroxeter, Pennsic Cartographer - © 2006 Eric Browning

BLOCK E02

FOR

PENNSIC XXXIV

TOTAL AREA: 69640 S.F.

UNCAMPABLE AREA DUE TO SOLAR SHOWER, AND CAMPGROUND SIGN: 7148 S.F.

PUBLIC AREA (3'X3' SQUARE AROUND WATER SPIGOT): 9 S.F.

NET AREA: 62483 S.F.

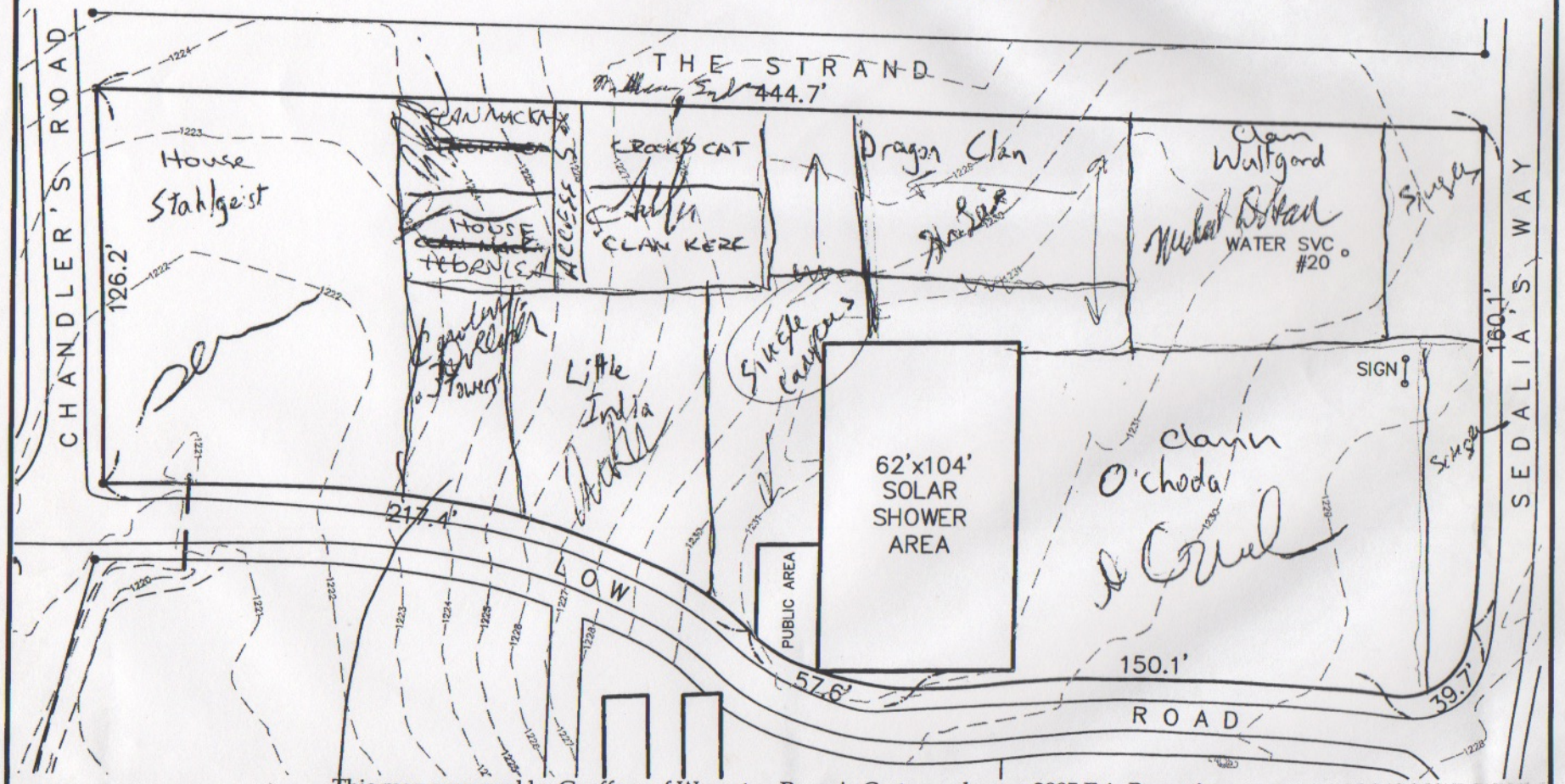

This map prepared by Geoffrey of Wroxeter, Pennsic Cartographer - © 2005 Eric Browning

Marche of the Three Towers

PW 40 - New E03

Created July 9, 2011
Updated -
July 10, 2001 - 12:37PM
Pinned July 10, 2011

CREATED IN
VECTORWORKS 11.5

TOTAL SQ.FT:
32033.354

SCALE 1" = 30'0"

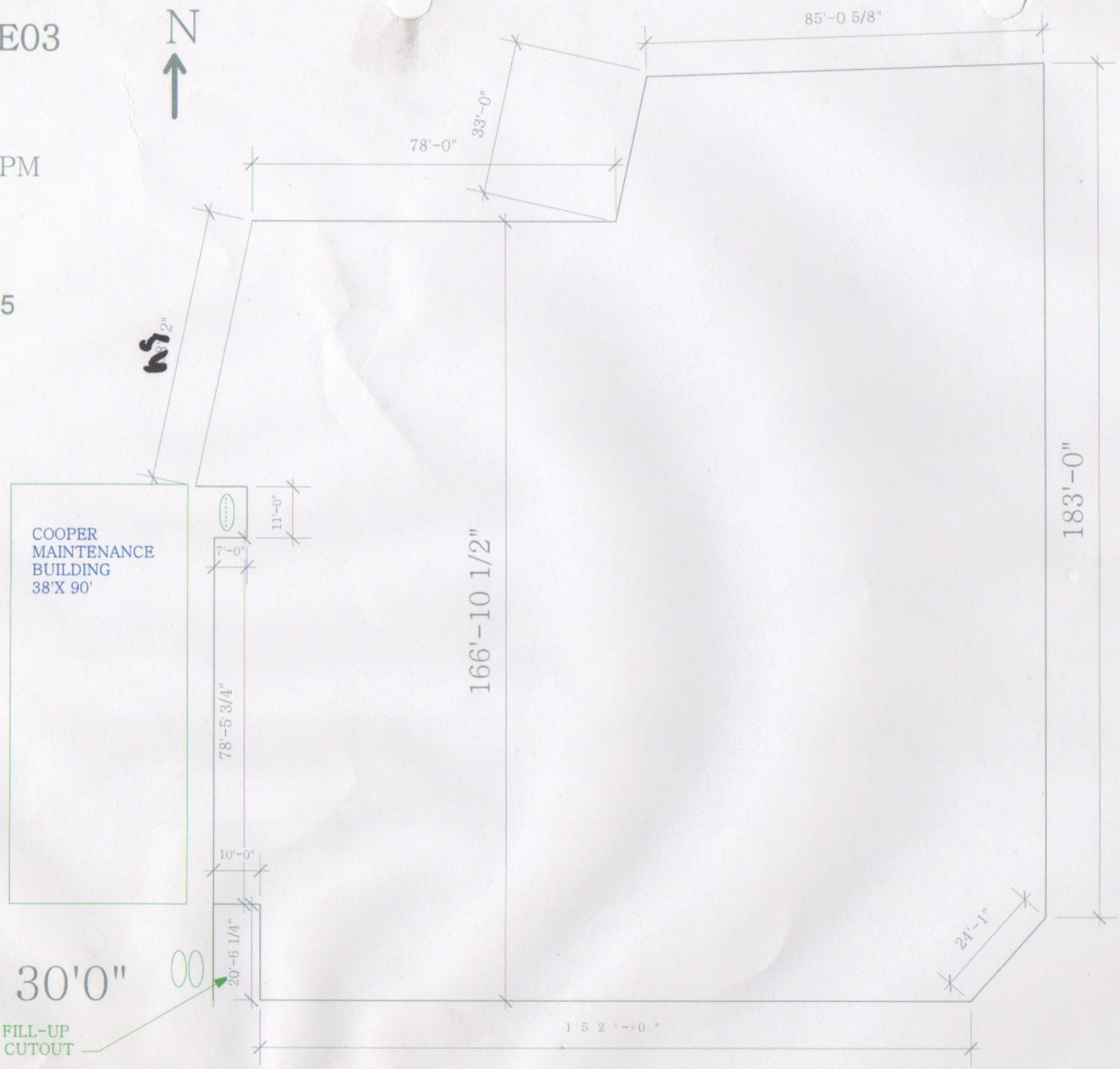

Singles: 7333

29605.4

BLOCK E03

FOR

PENNSIC XXXIV

TOTAL AREA: 33059 S.F.

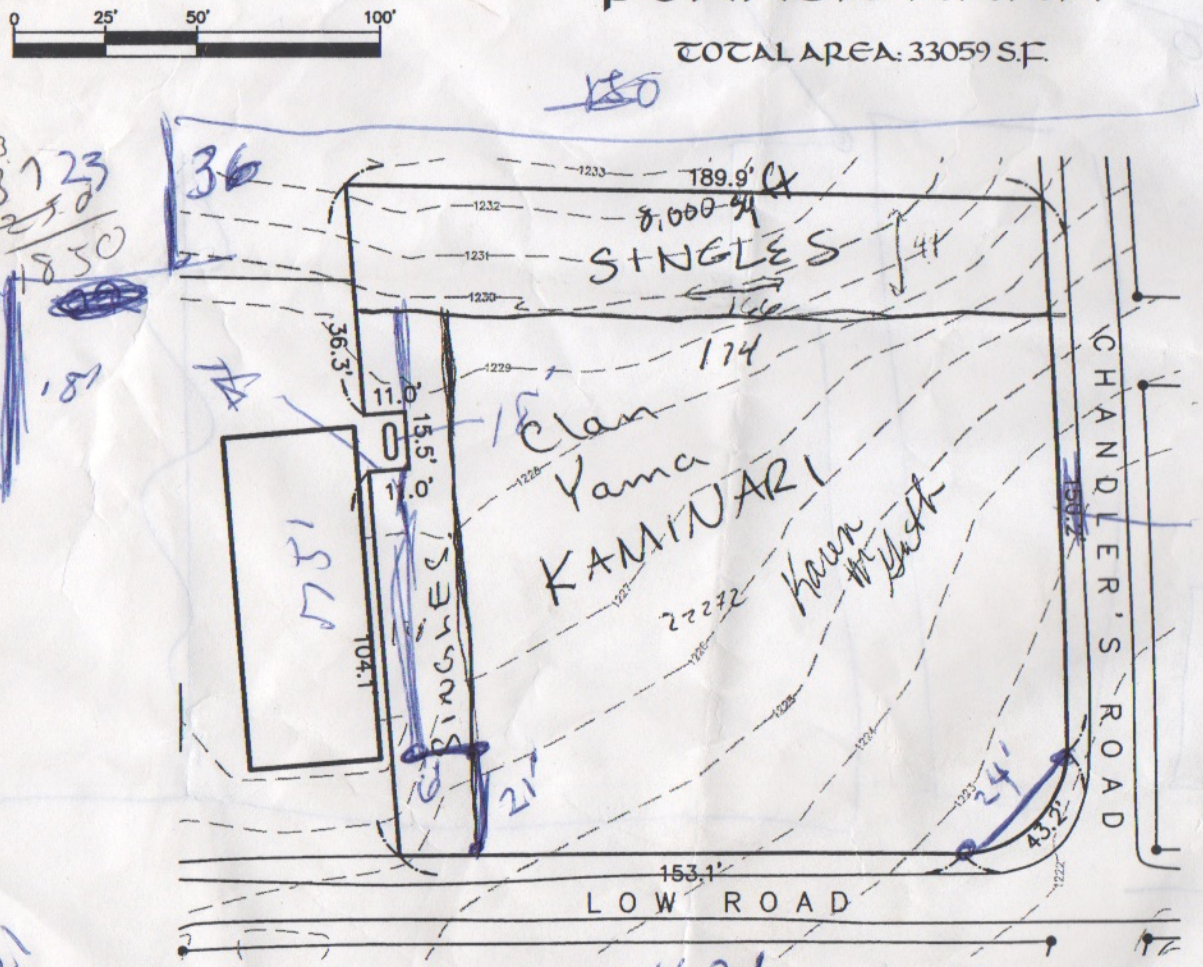

32,149.488

perimeter 748.41'

This map prepared by Geoffrey of Wroxeter, Pennsic Cartographer - © 2005 Eric Browning

4
250
91
250
2250
22750
7500
30,250

250
31
7,500

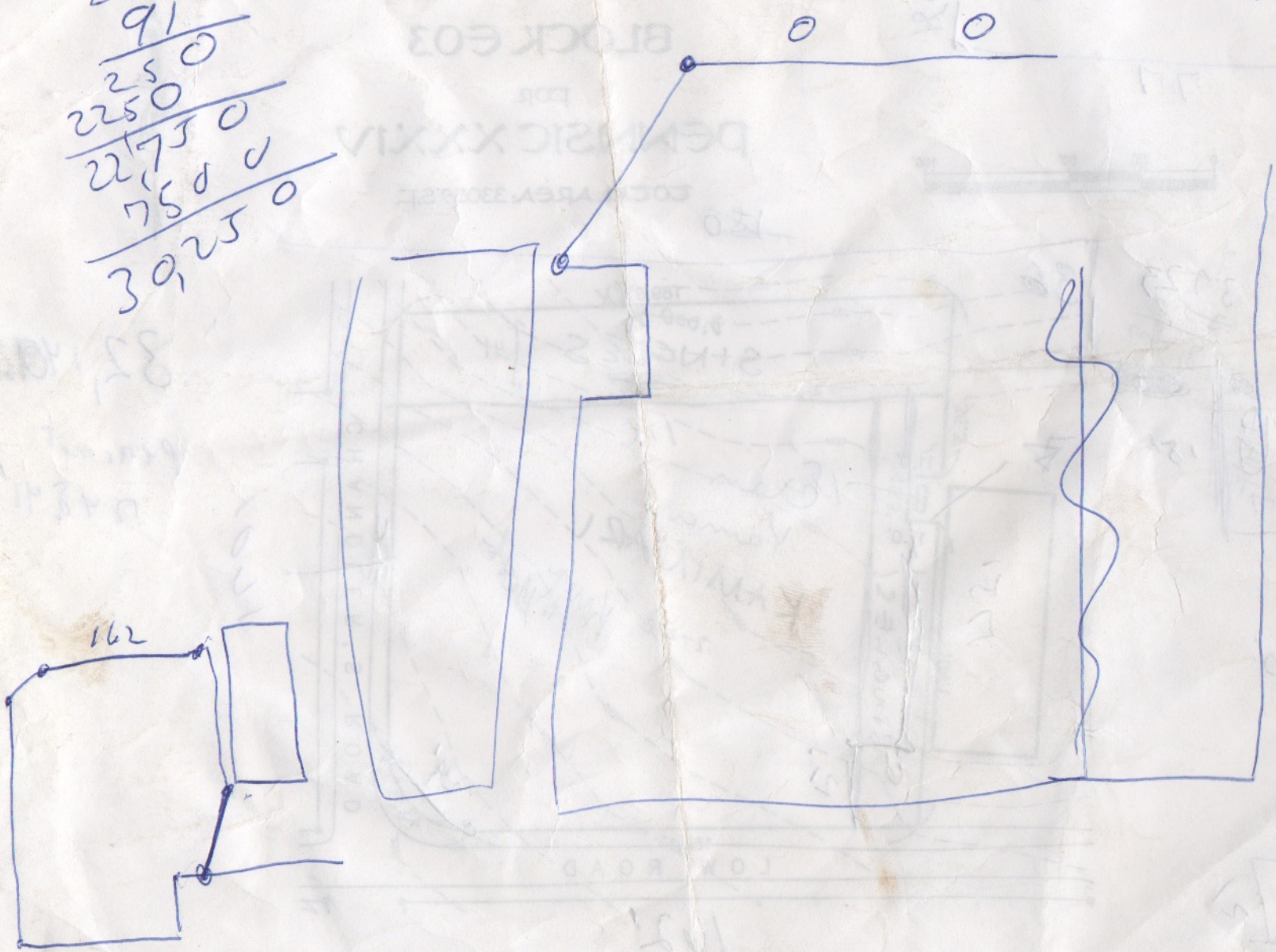

BLOCK E04

FOR

PENNSIC XXXIV

0 30' 60' 120'

total AREA: 65185 S.F.

public area (3'X3' square around water spigot): 9 s.f.

uncampable area due to ditch: 2137 s.f.

net area: 63039 s.f.

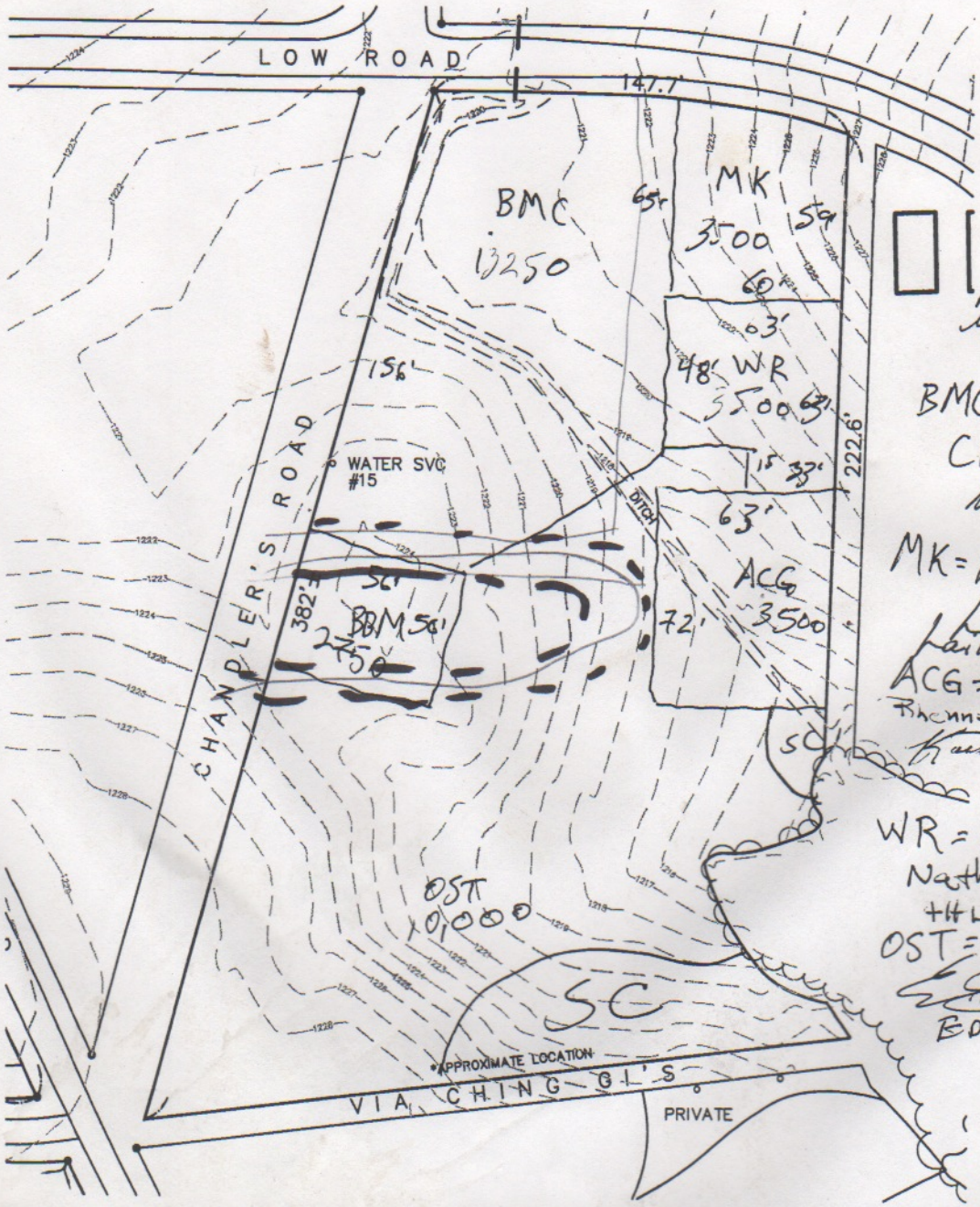

BBM = Barony of Blackstone Mountain

BMC = Blood Moon Clan Solace

MK = Mongols Keep

ACG = ACG

WR = Wayfarers Rest

OST = Ostgardr

This map prepared by Geoffrey of Wroxeter, Pennsic Cartographer - © 2005 Eric Browning

BLOCK E05

FOR

PENNSIC XXXIV

TOTAL AREA: 42125 S.F.

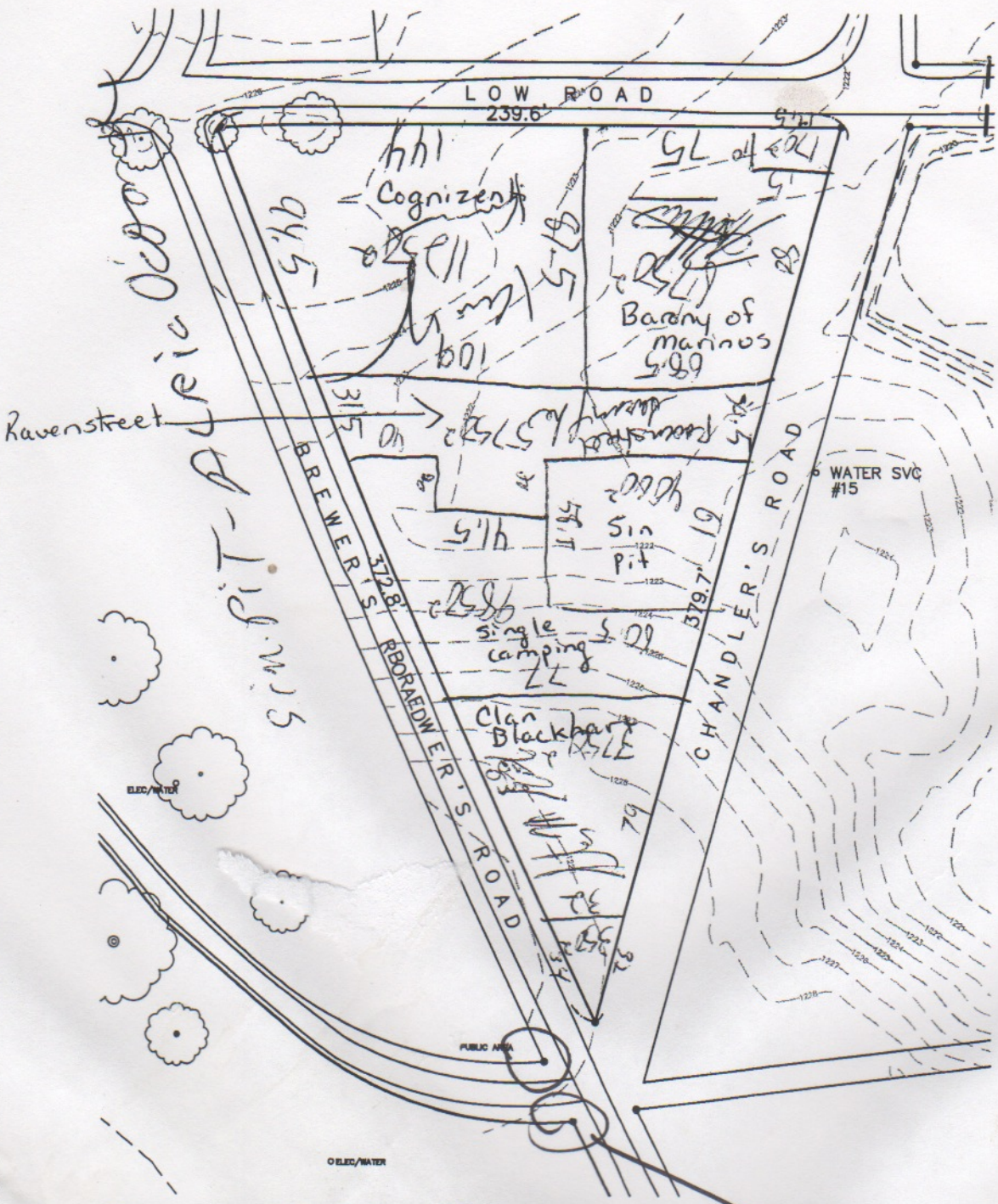

This map prepared by Geoffrey of Wroxeter, Pennsic Cartographer © 2005 Eric Browning

BLOCK E06

FOR

PENNSIC XXXIV

TOTAL AREA: 46088 S.F.

PUBLIC AREA (FIVE 3'x3' SQUARE AROUND WATER SPIGOTS AND RESTROOM AND DUMPSTER AREA): 470 S.F.

NET AREA: 45618 S.F.

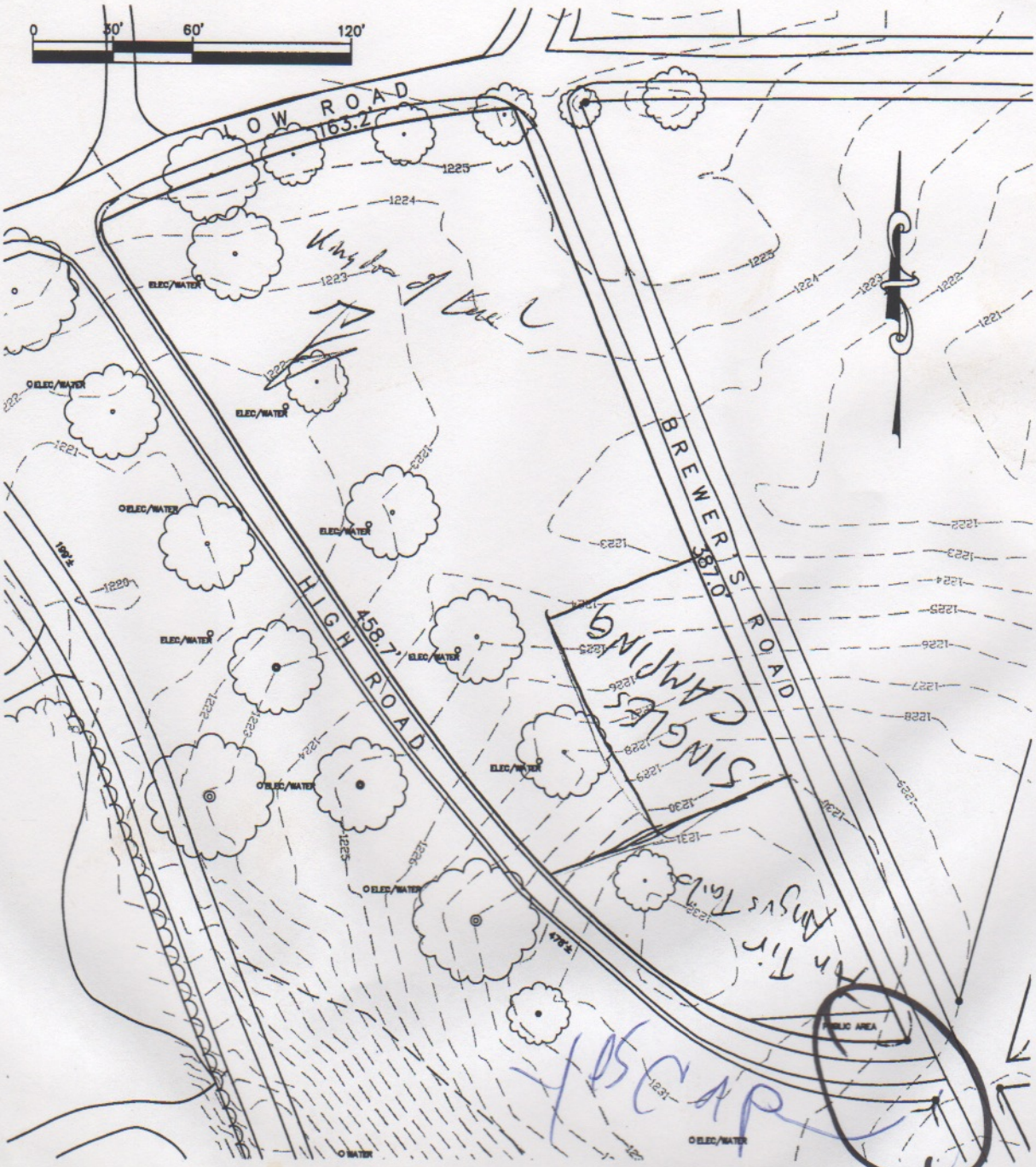

This map prepared by Geoffrey of Wroxeter, Pennsic Cartographer - © 2005 Eric Browning

BLOCK E07

FOR

PENNSIC XXXIV

TOTAL AREA: 7700 S.F.

ACCES ROAD AND PUBLIC AREA: 1483 S.F.

NET AREA: 6217 S.F.

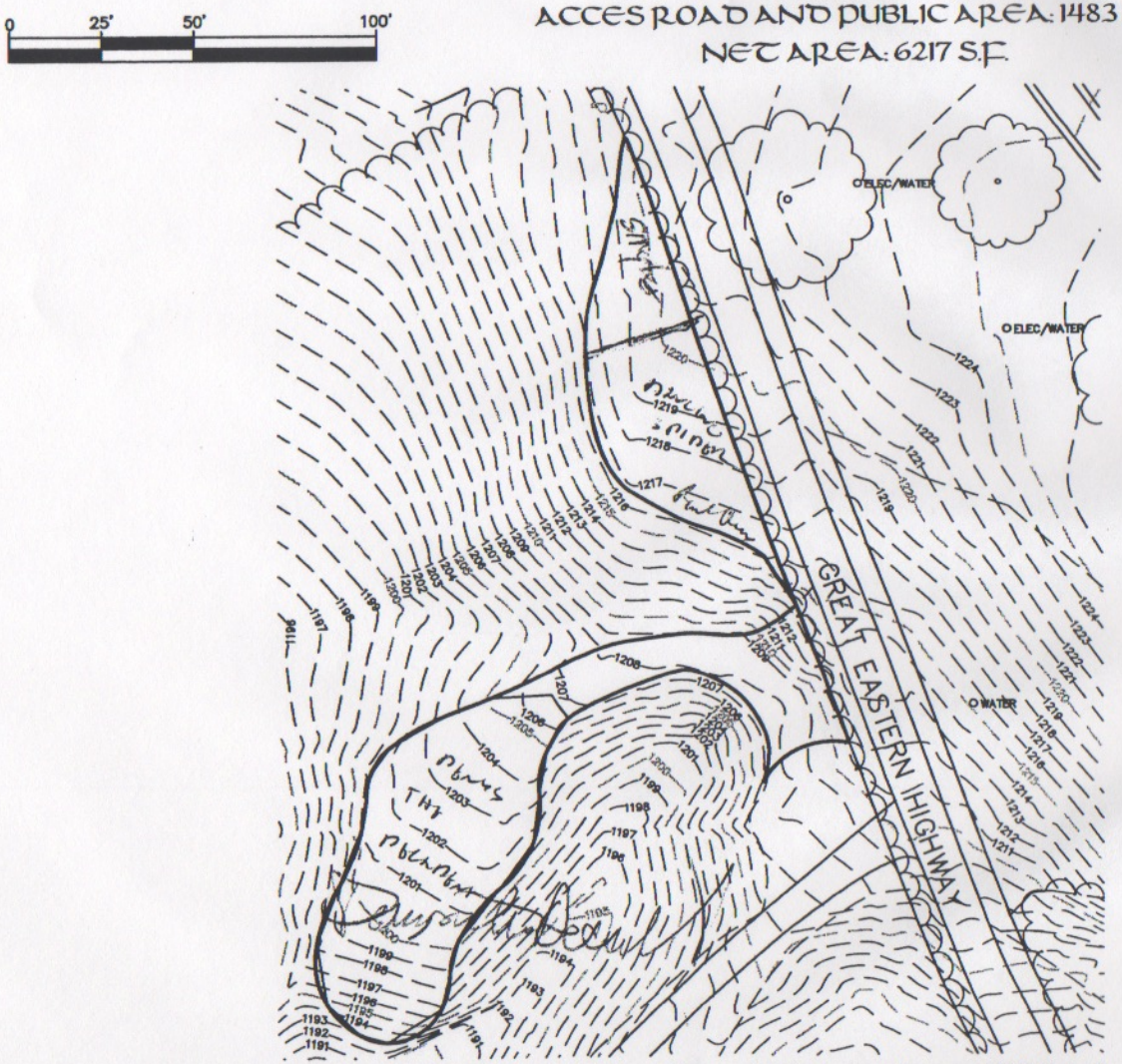

This map prepared by Geoffrey of Wroxeter, Pennsic Cartographer - © 2005 Eric Browning

Bear
Paul Acks

BLOCK E08

FOR

PENNSIC XXXIV

TOTAL AREA: 8103 S.F.

GRAVEL ROAD AND PUBLIC AREAS: 2126 S.F.

NET AREA: 5977 S.F.

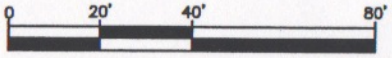

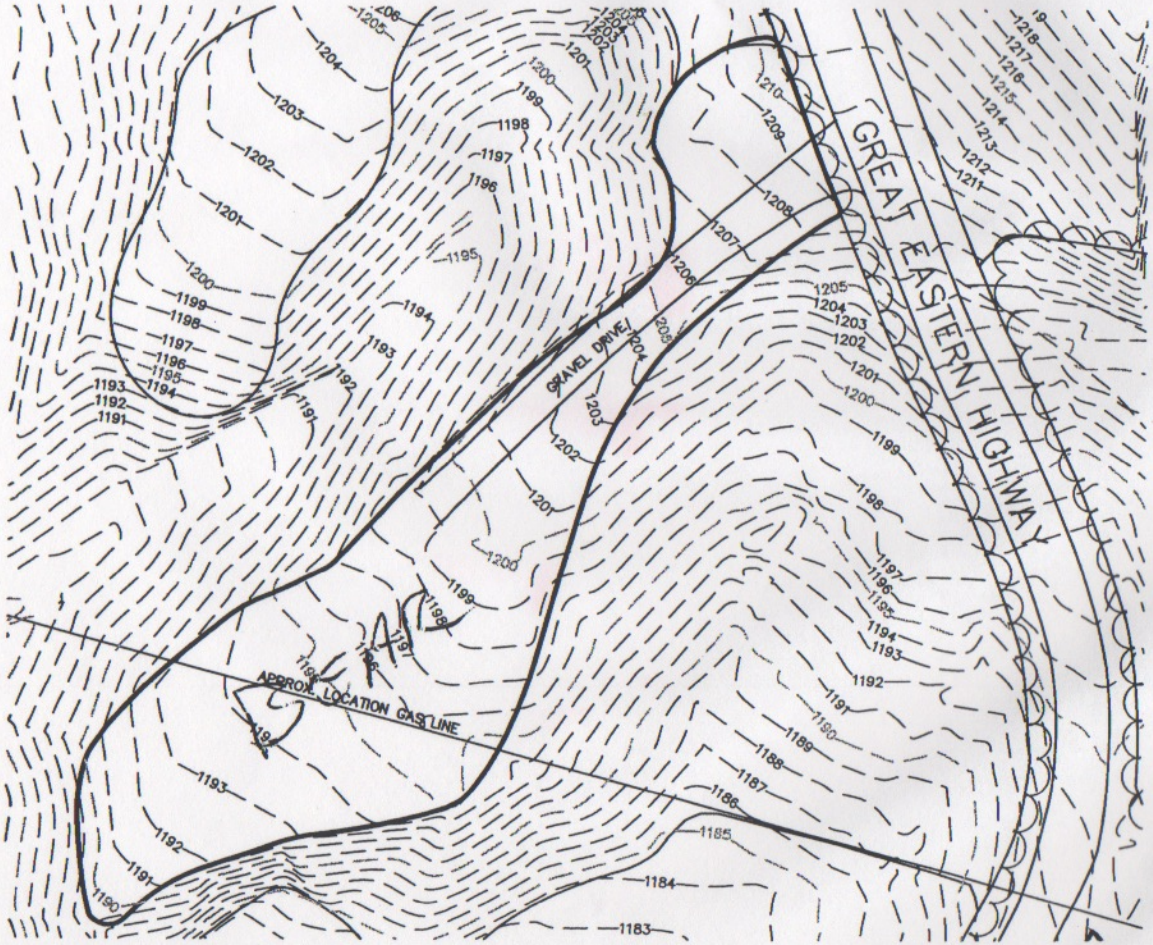

This map prepared by Geoffrey of Wroxeter, Pennsic Cartographer - © 2005 Eric Browning

BLOCK E09
PENNSIC XXXIV

TOTAL AREA: 35316 S.F.
UNCAMPABLE AREA DUE TO EXCESSIVE SLOPE: 13790 S.F.
EXCLUDED PRIVATE AREA: 1341 S.F.
NET AREA: 11016 S.F.

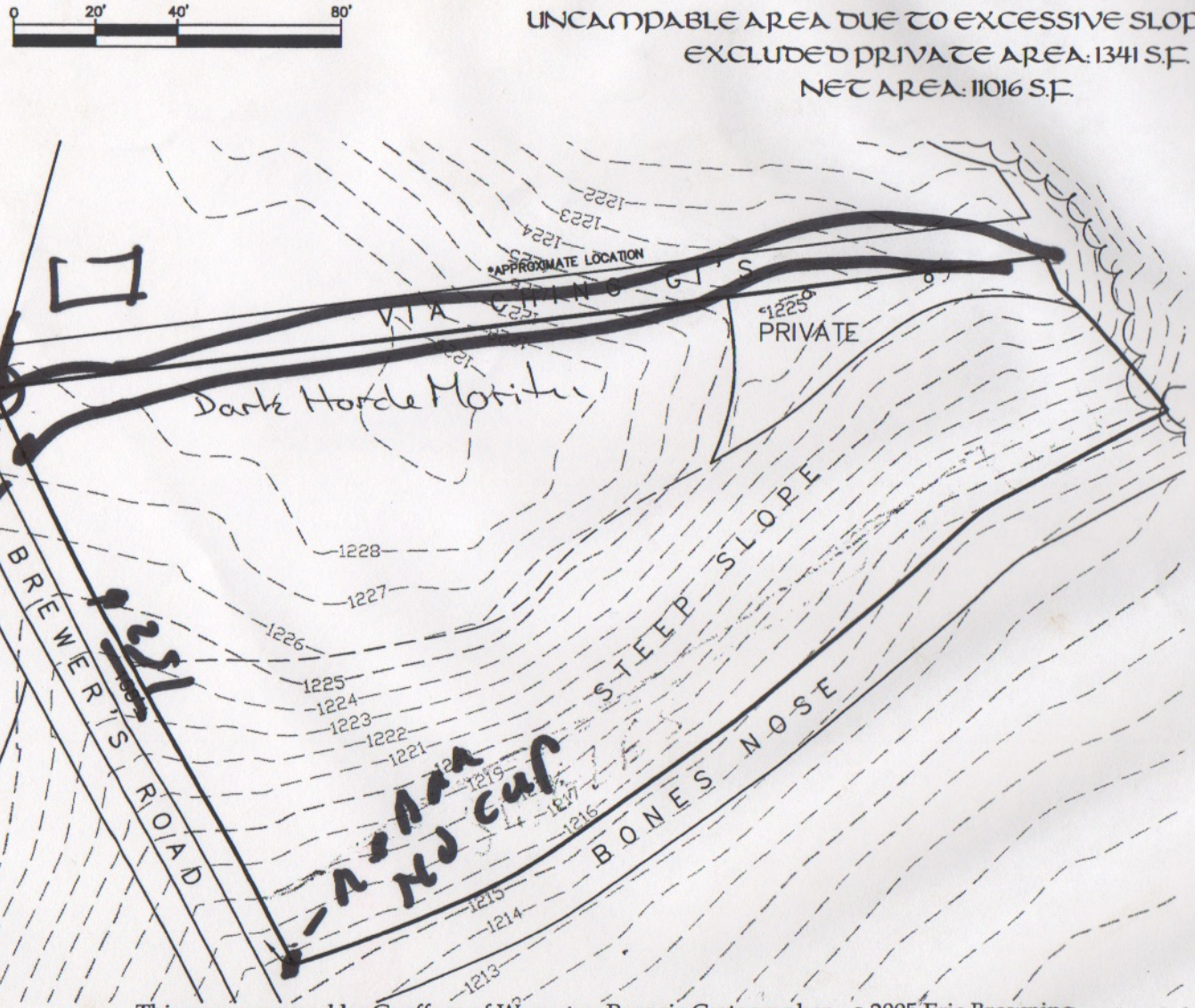

This map prepared by Geoffrey of Wroxeter, Pennsic Cartographer - © 2005 Eric Browning

BLOCK E10

FOR

PENNSIC XXXIV

TOTAL AREA: 60317 S.F.
UNCAMPABLE AREA DUE TO EXCESSIVE SLOPE: 9508 S.F.
PUBLIC AREA (SIX 3'X3' SQUARES AROUND WATER/ELECTRIC): 54 S.F.
NET AREA: 50755 S.F.

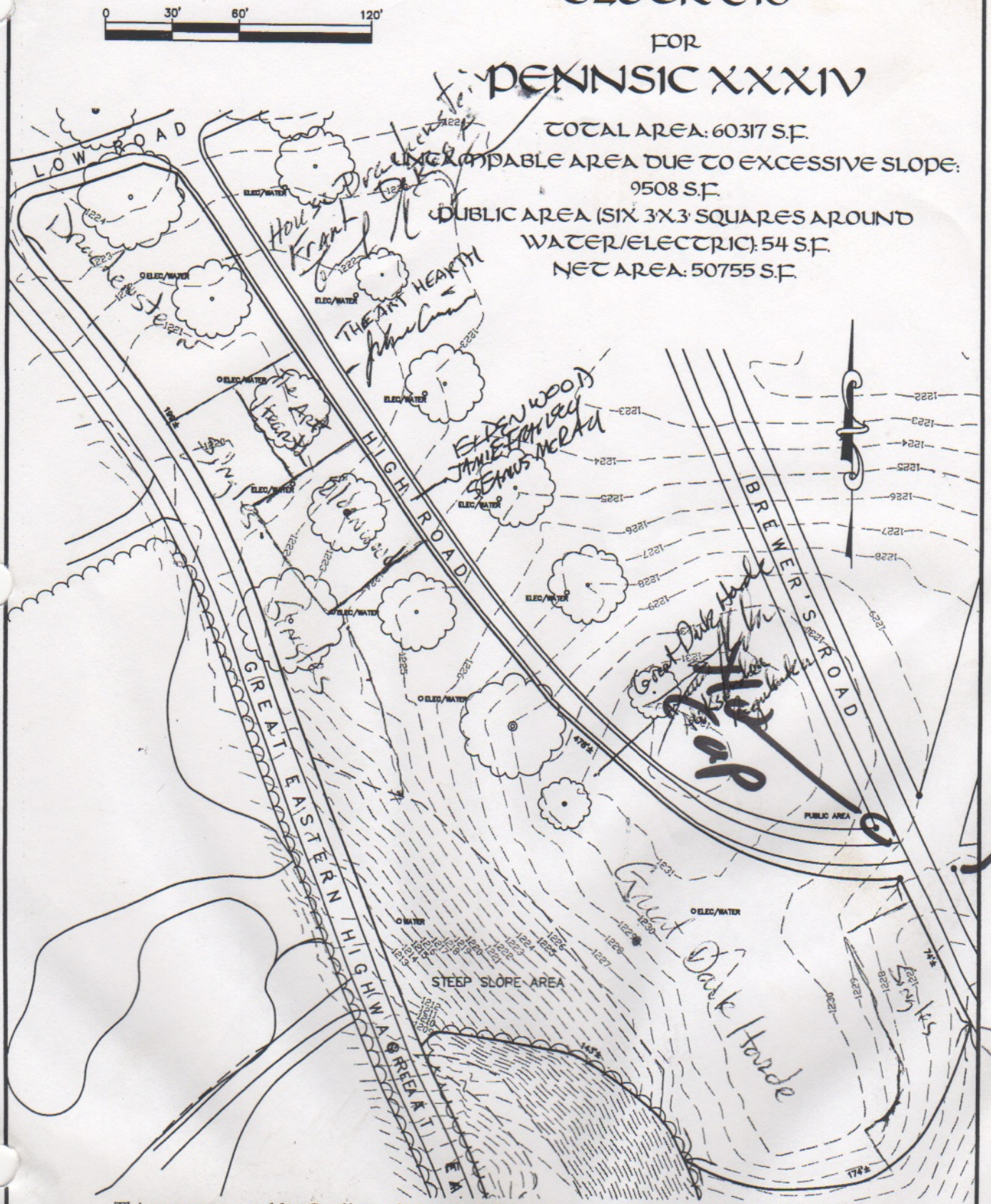

This map prepared by Geoffrey of Wroxeter, Pennsic Cartographer - © 2005 Eric Browning

BLOCK E11

FOR

PENNSIC XXXIV

TOTAL AREA: 41676 S.F.
ROAD AREA: 1399 S.F.
NET AREA: 40277 S.F.

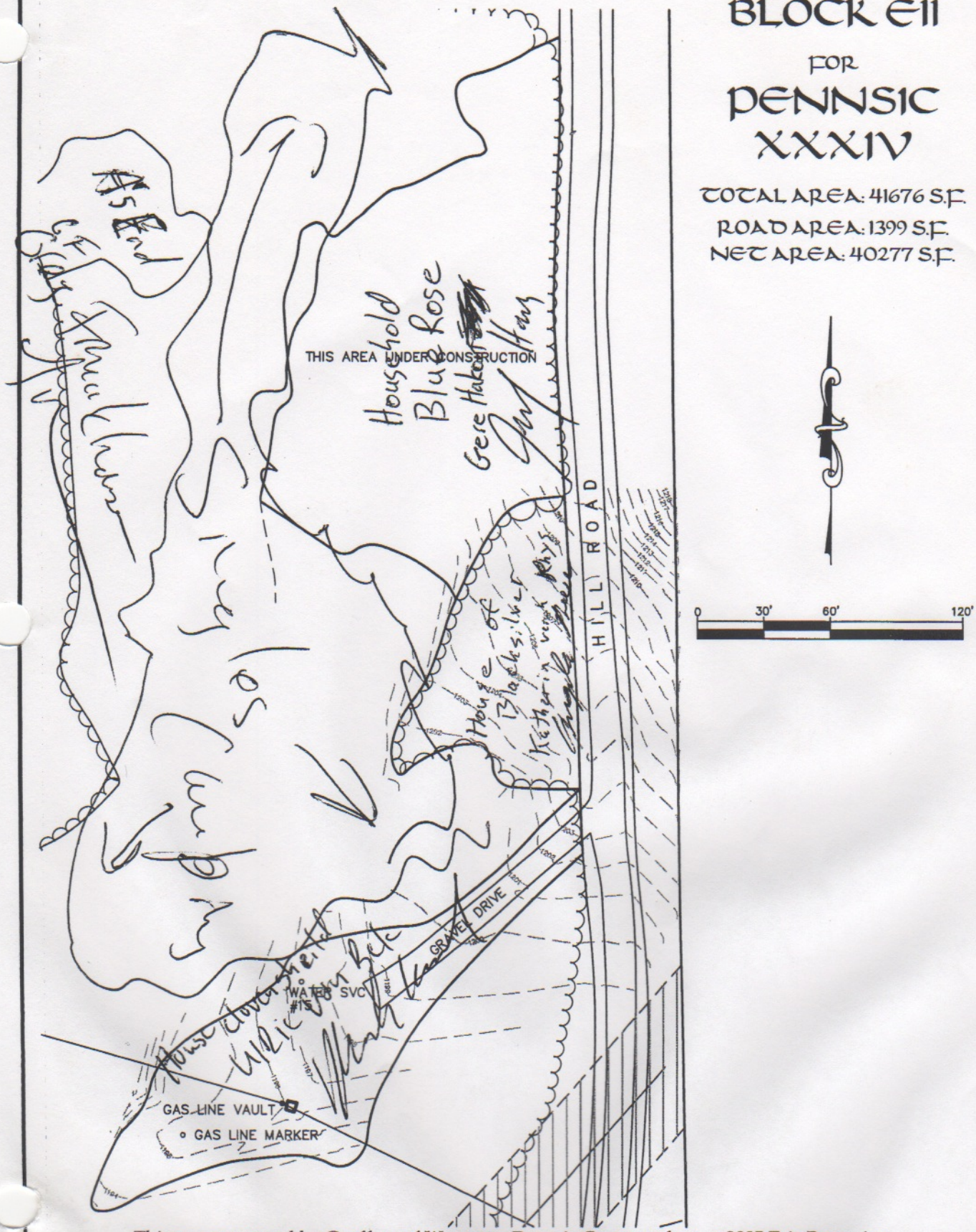

This map prepared by Geoffrey of Wroxeter, Pennsic Cartographer - © 2005 Eric Browning

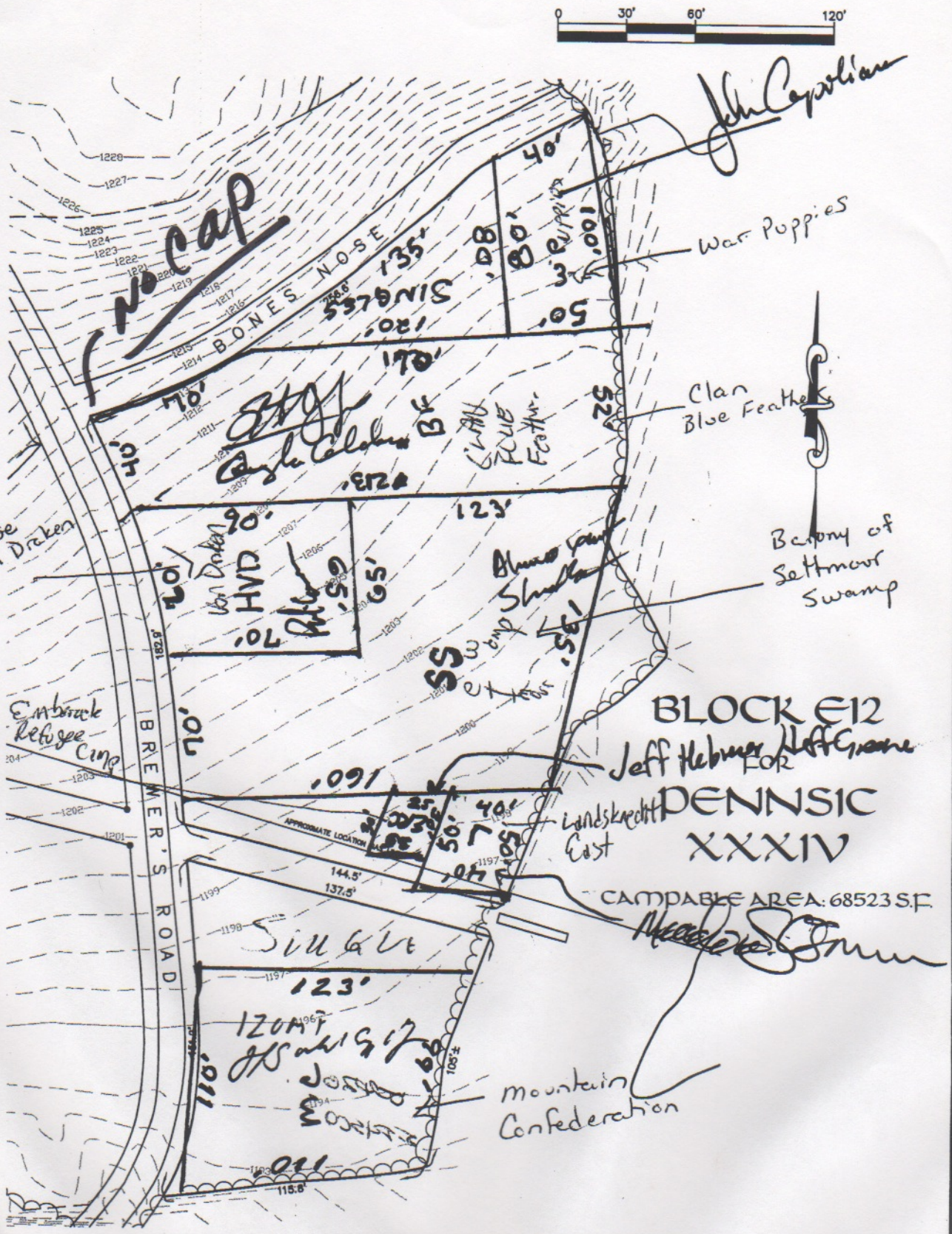

This map prepared by Geoffrey of Wroxeter, Pennsic Cartographer - © 2005 Eric Browning

BLOCK E13

FOR

PENNSIC XXXIV

TOTAL AREA: 21812 S.F.

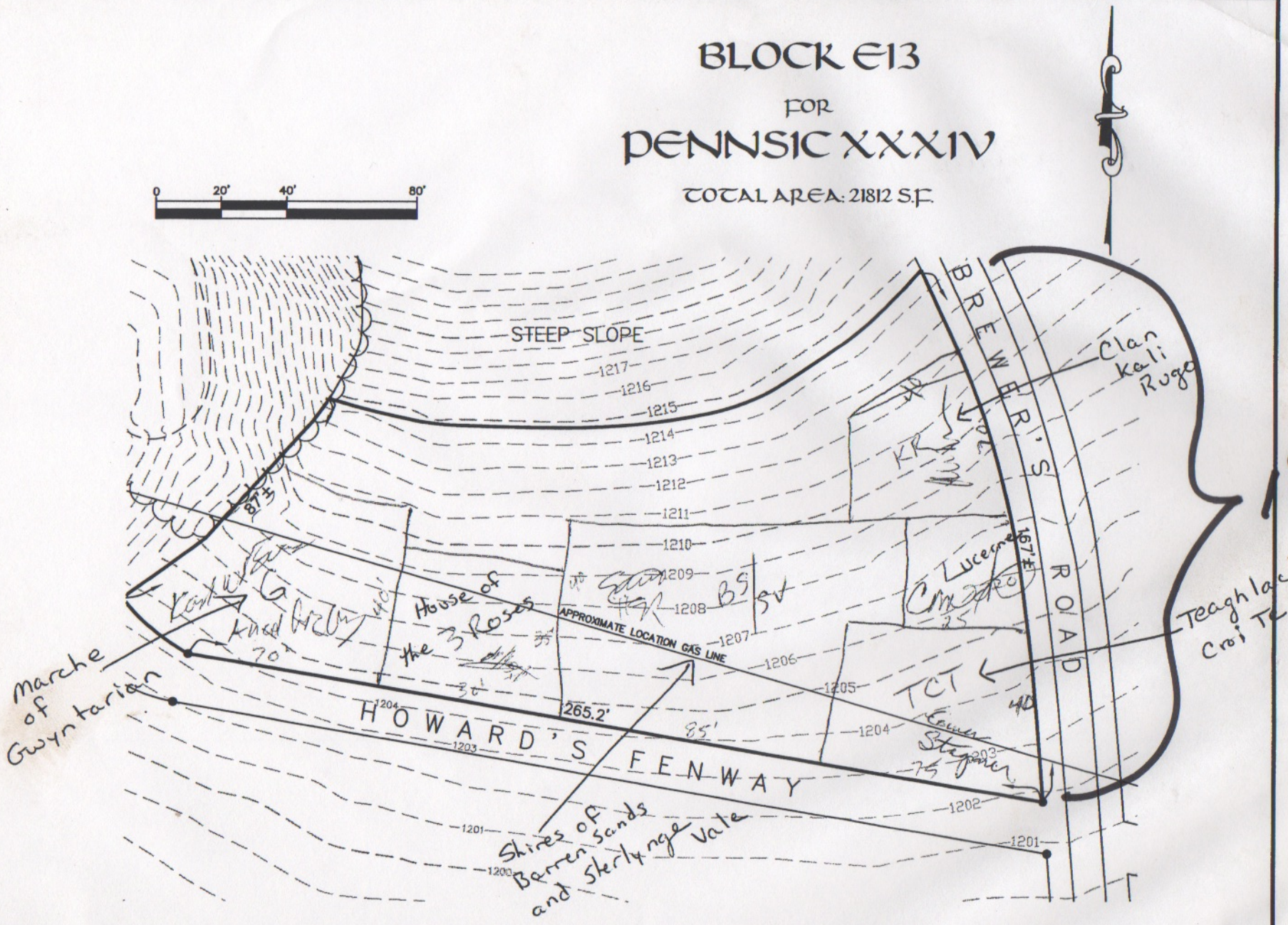

This map prepared by Geoffrey of Wroxeter, Pennsic Cartographer - © 2005 Eric Browning

BLOCK E14

FOR

PENNSIC XXXIV

TOTAL AREA: 14147 S.F.
NON-CAMPABLE AREA DUE TO EXCESSIVE SLOPE: 11435 S.F.
NET AREA: 2712 S.F.

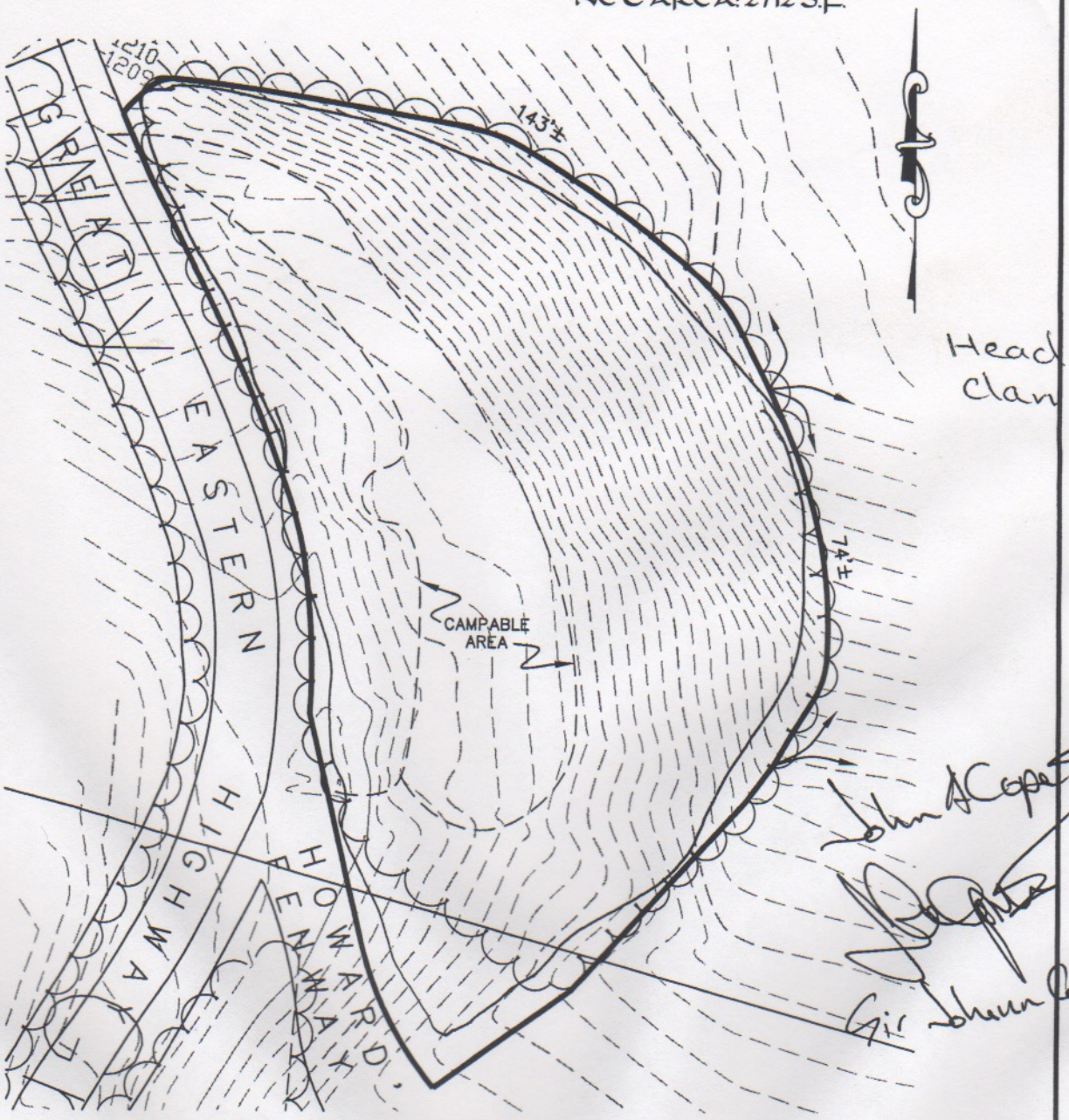

This map prepared by Geoffrey of Wroxeter, Pennsic Cartographer - © 2005 Eric Browning

BLOCK E15
FOR
PENNSIC XXXV

TOTAL AREA: 65620 S.F.
UNCAMPABLE AREA DUE TO EXCESSIVE SLOPE: 30739 S.F.
NET AREA: 34881 S.F.

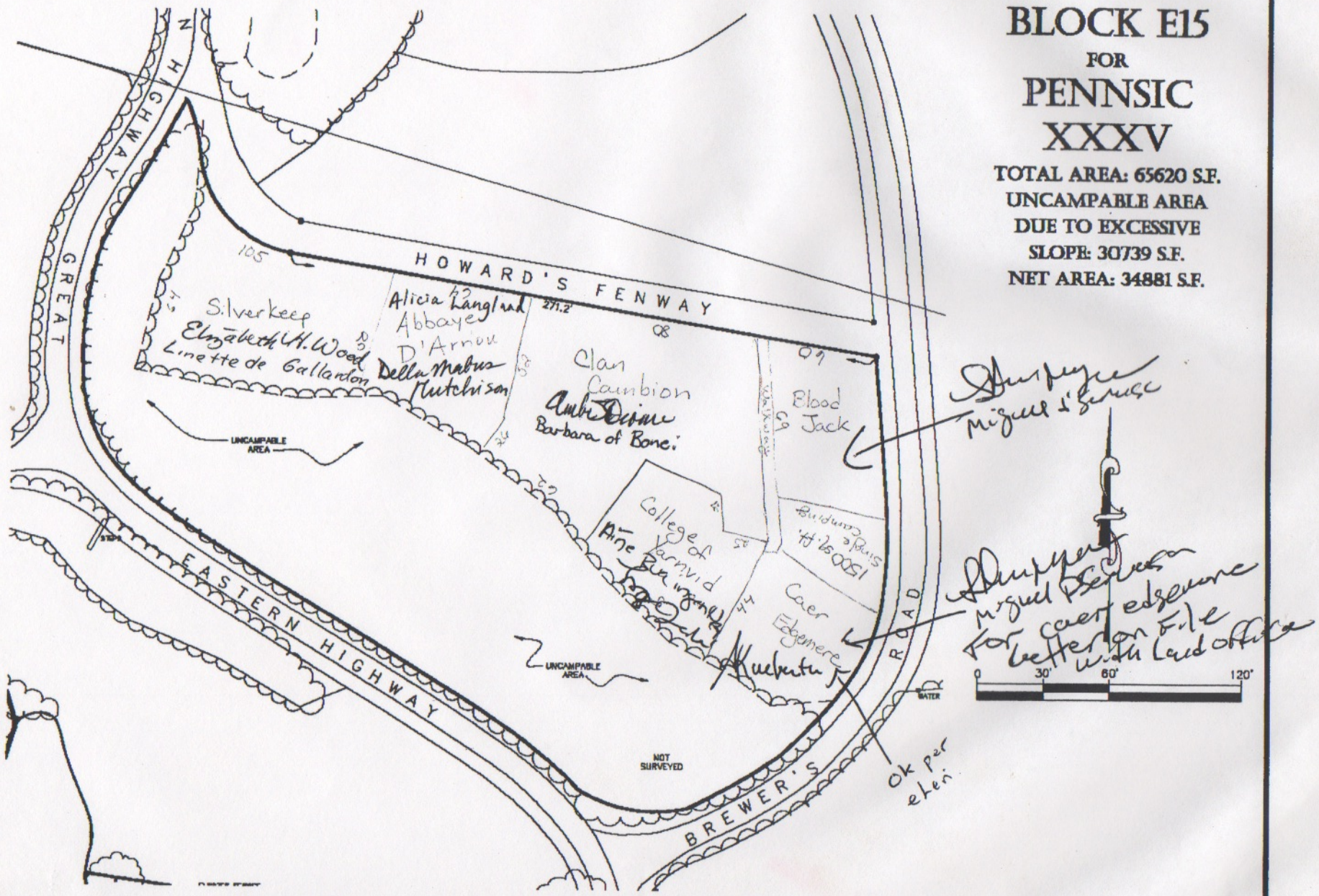

This map prepared by Geoffrey of Wroxeter, Pennsic Cartographer - © 2006 Eric Browning

Pentwyvern
Deasa Cachrachie
Azhrde Fassaresta
Irene von Schwetterleng
Wendy Colbert
Mermayde Keep

BLOCK E16

FOR

PENNSIC XXXIV

CAMPABLE AREA: 24723 S.F.
PUBLIC AREA (3'X3' SQUARE AROUND WATER SPIGOT): 9 S.F.
NET AREA: 24714 S.F.

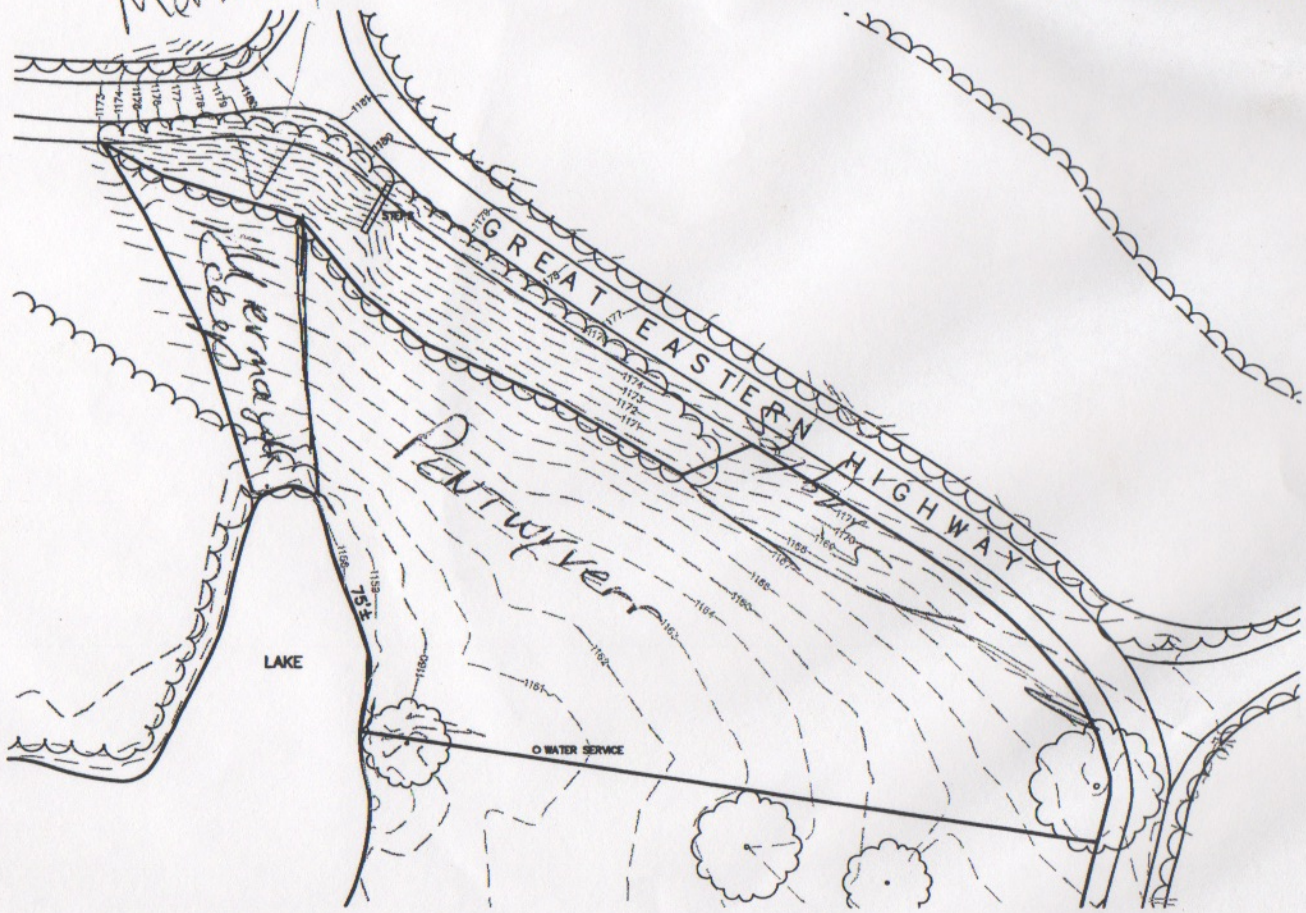

This map prepared by Geoffrey of Wroxeter, Pennsic Cartographer - © 2005 Eric Browning

BLOCK E17

FOR

PENNSIC XXXIV

TOTAL AREA: 79184 S.F.

UNCAMPABLE AREA DUE TO EXCESSIVE SLOPE: 9579 S.F.

PUBLIC AREA (3X3' SQUARE AROUND WATER SPIGOT): 9 S.F.

NET AREA: 69596 S.F.

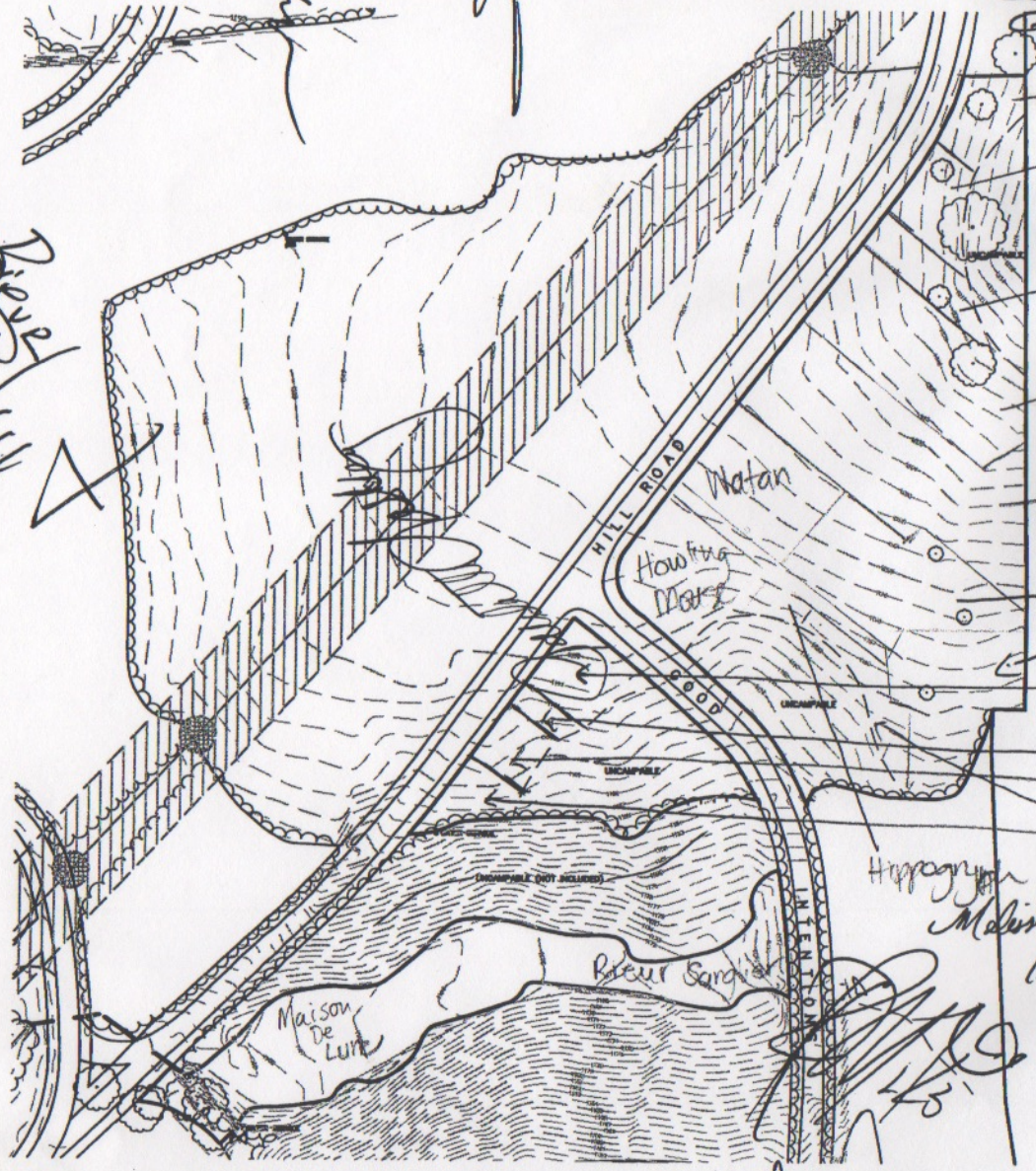

This map prepared by Geoffrey of Wroxeter, Pennsic Cartographer - © 2005 Eric Browning

Block E18

Pennsic XXXIX

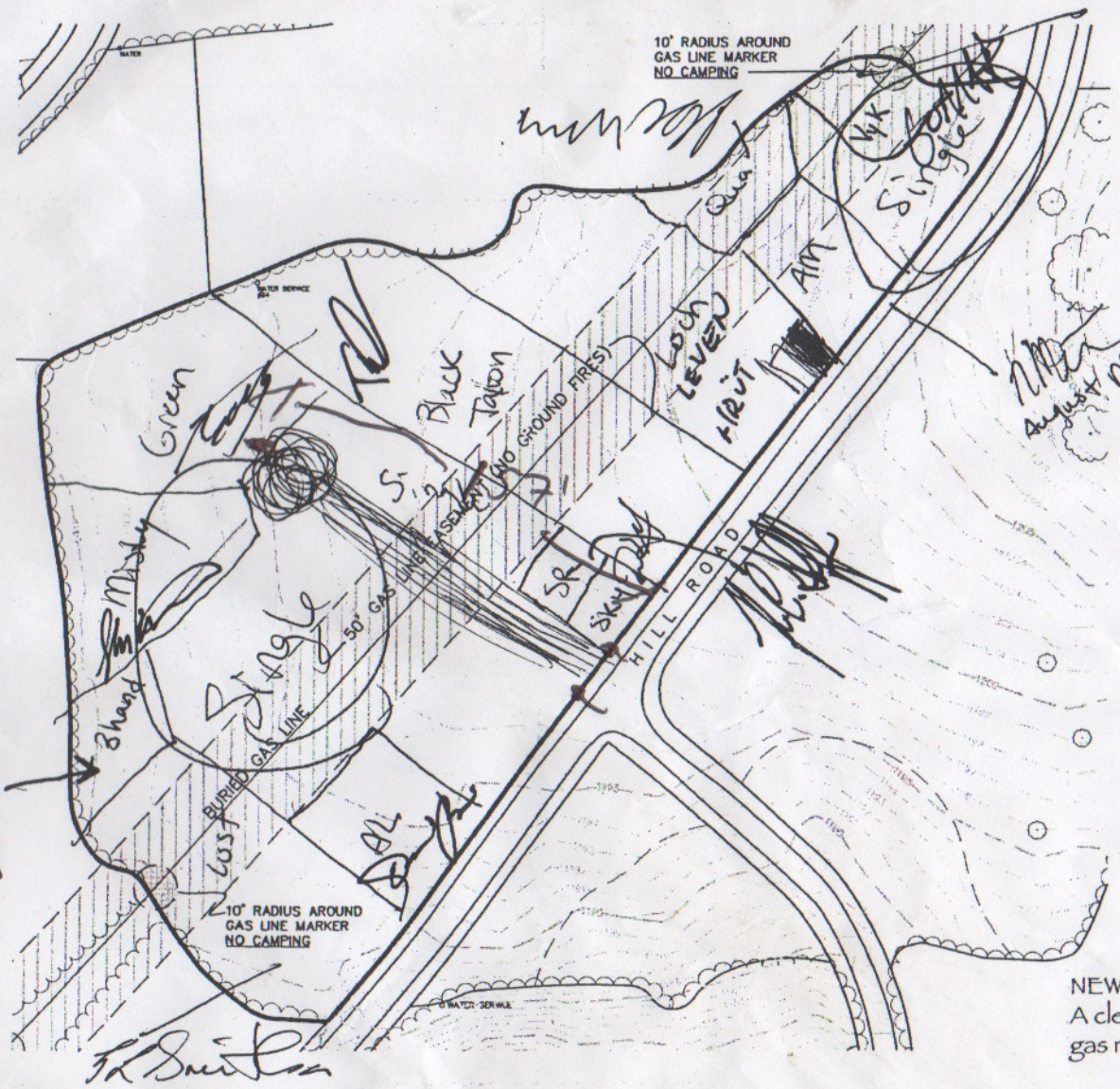

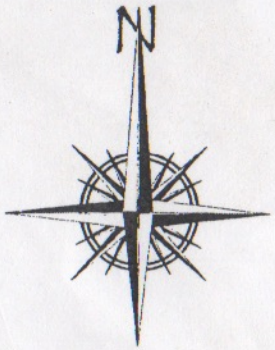

Total Area: 94,486 sq. ft.
Net Area: 94,020 sq. ft.
Public/Unusable Area:
Water Spigot: 9 sq. ft.
Gas Line Markers: 457 sq. ft.

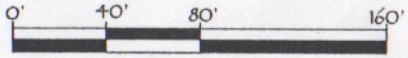

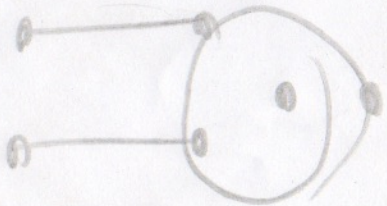

NEW RULE REGARDING GAS LINE MARKERS:
A clear passageway must be maintained from each gas marker to the nearest public road at all times.

BLOCK E18

FOR

PENNSIC XXXIV

TOTAL AREA: 94486 S.F.
PUBLIC AREA (3'X3' SQUARE AROUND WATER SPIGOT): 9 S.F.
RESTRICTED AREA AROUND GAS LINE MARKERS: 457 S.F.
NET AREA: 94020 S.F.

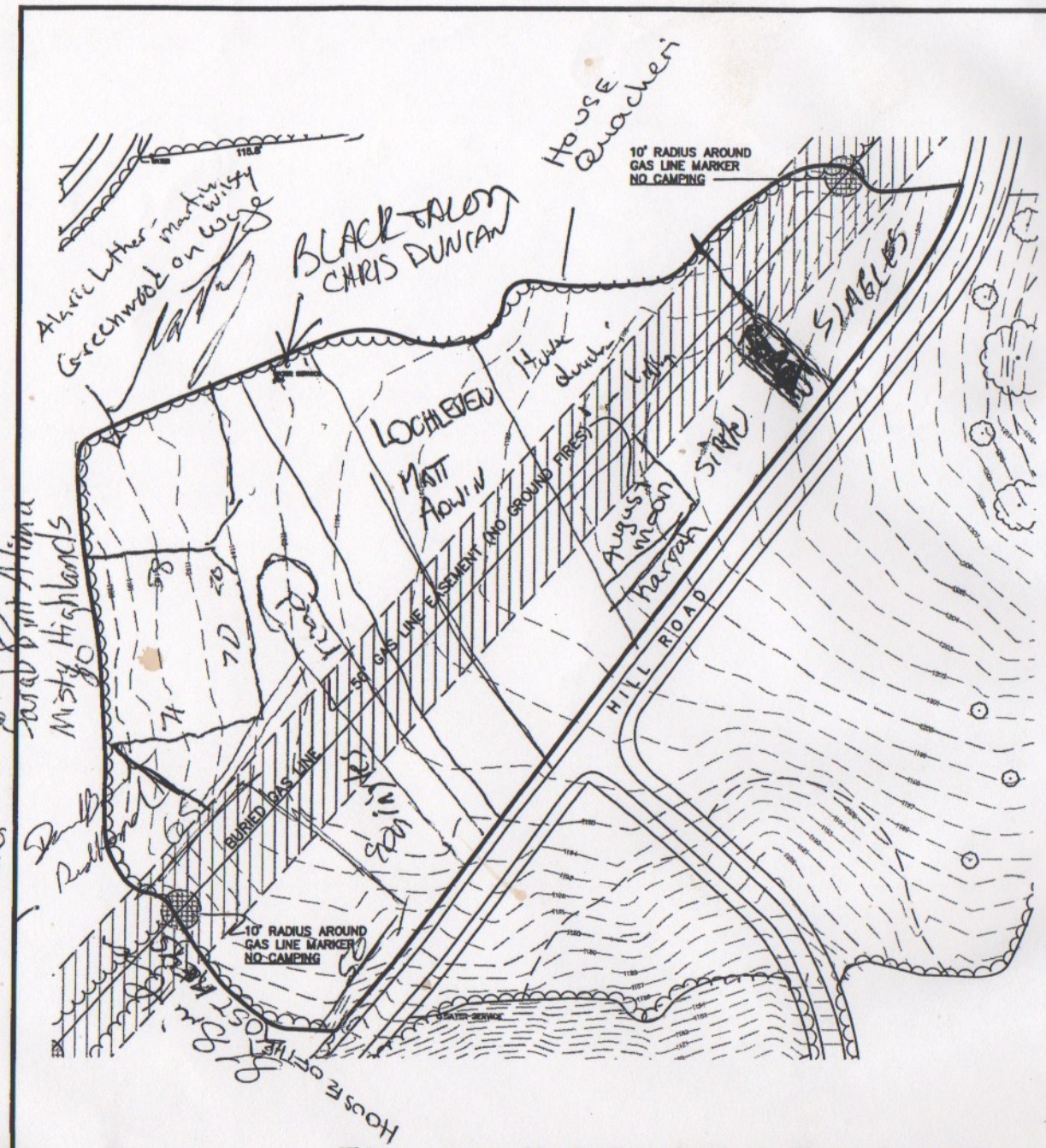

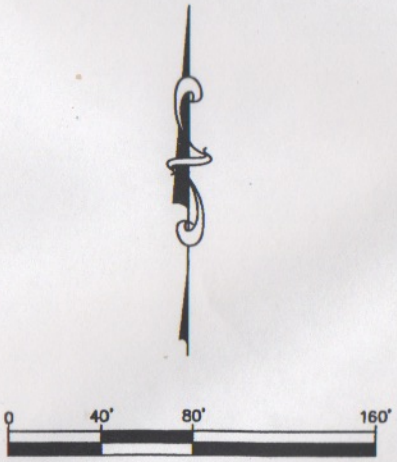

This map prepared by Geoffrey of Wroxeter, Pennsic Cartographer - © 2005 Eric Browning

BLOCK E19

FOR

PENNSIC XXXV

TOTAL AREA: 65060 S.F.

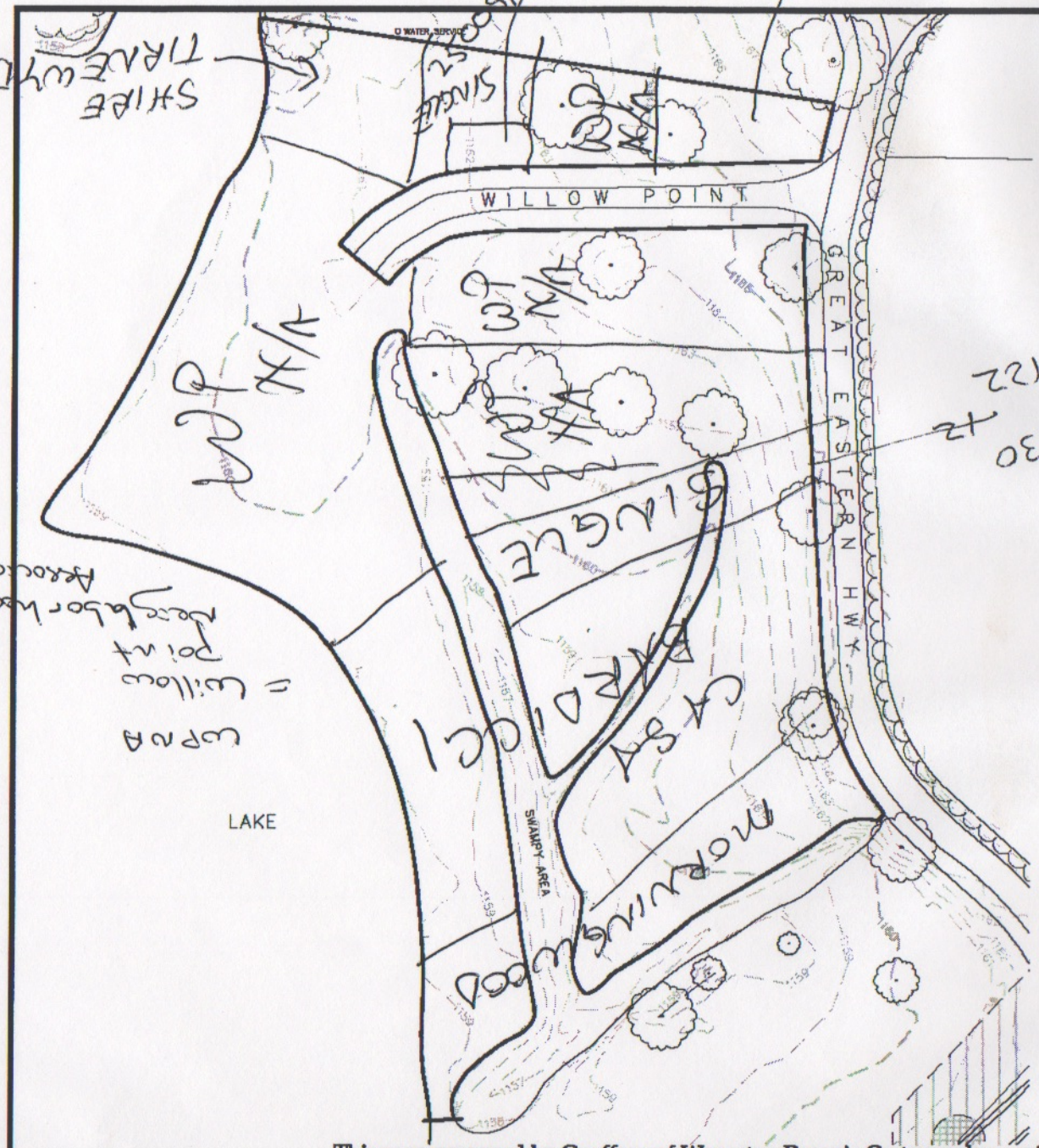

Pamela Mason
WPNA

James Thorpe
Christine Nichols

This map prepared by Geoffrey of Wroxeter, Pennsic Cartographer - © 2006 Eric Browning

BLOCK E20

FOR

PENNSIC XXXIV

TOTAL AREA: 50235 S.F.
UNCAMPABLE AREA DUE TO SWAMP: 7365 S.F.
RESTRICTED AREA AROUND GAS LINE MARKERS: 484 S.F.
PUBLIC AREA (3'X3' SQUARE AROUND WATER SPIGOT): 9 S.F.
NET AREA: 42377 S.F.

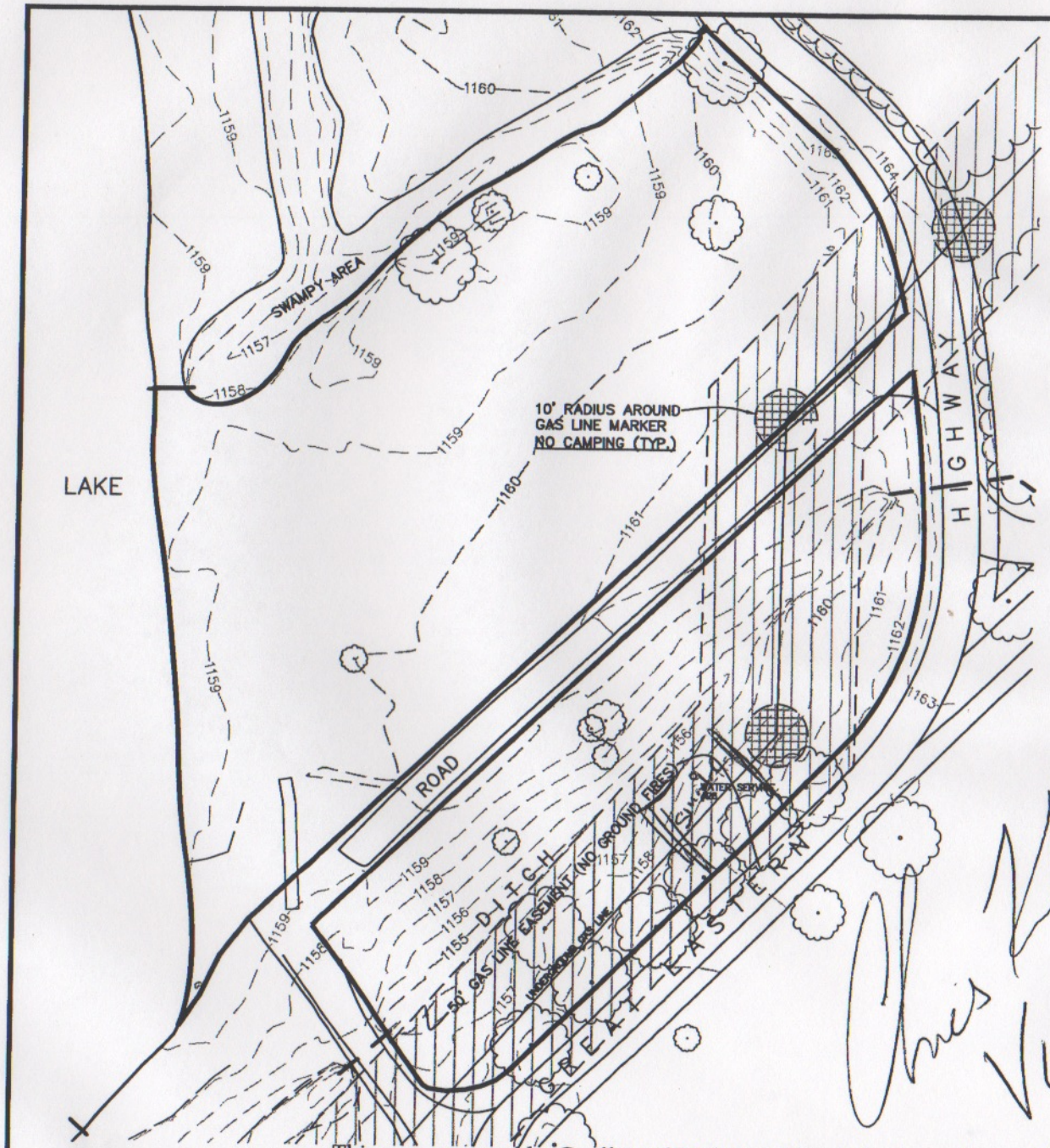

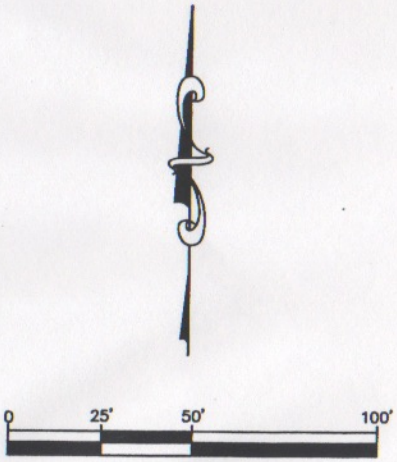

Chris Vlad

This map prepared by Geoffrey of Wroxeter, Pennsic Cartographer - © 2005 Eric Browning

BLOCK E21

FOR

PENNSIC XXXIV

TOTAL AREA: 63251 S.F.
WOODED AREA (80% CAMPABLE): 63251 S.F.
CAMPABLE AREA: 50601 S.F.

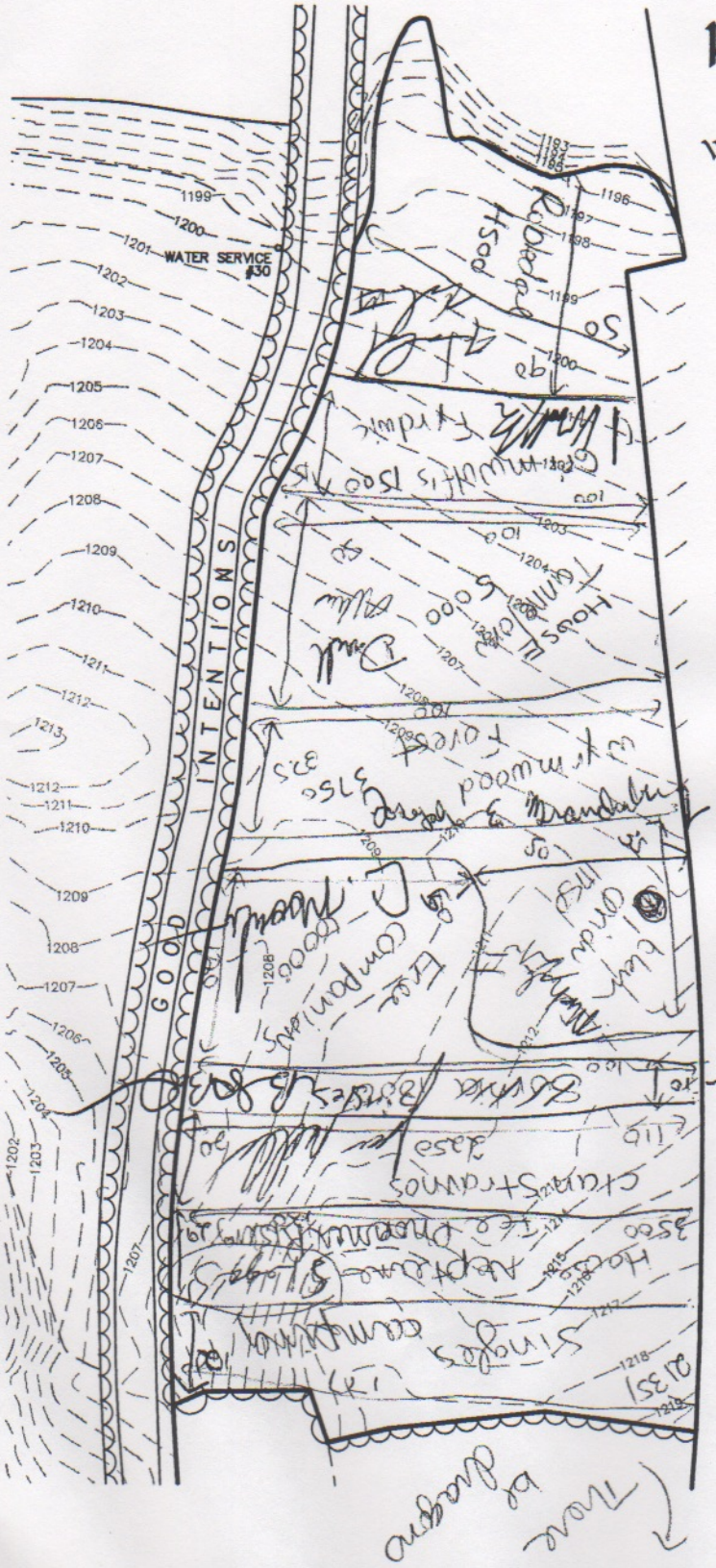

This map prepared by Geoffrey of Wroxeter, Pennsic Cartographer - © 2005 Eric Browning

BLOCK E22

FOR

PENNSIC XXXIV

GROSS CAMPABLE AREA: 41663 S.F.
WOODED AREA (80% CAMPABLE): 100%
CAMPABLE AREA: 41663 S.F.
PUBLIC AREA (3'X3' SQUARE AROUND WATER SPIGOT): 9 S.F.
NET CAMPABLE AREA: 33321 S.F.

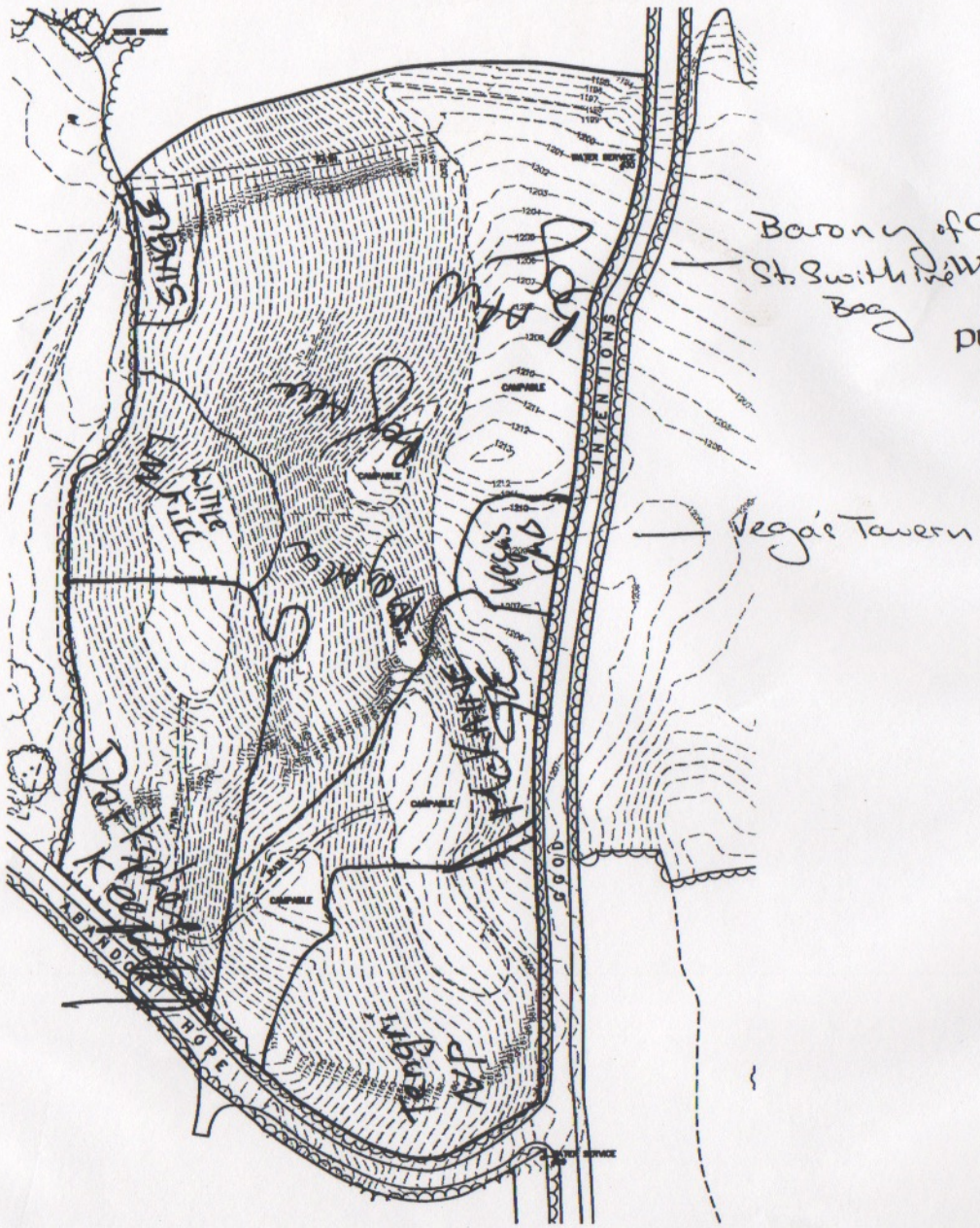

This map prepared by Geoffrey of Wroxeter, Pennsic Cartographer - © 2005 Eric Browning

7/23/11
X = road pins

BLOCK N21

FOR

PENNSIC XXXV

TOTAL AREA: 135062 S.F.

LOW AREA ROUND DRAINAGE PIPE: 308 S.F.

NET AREA: 134754 S.F.

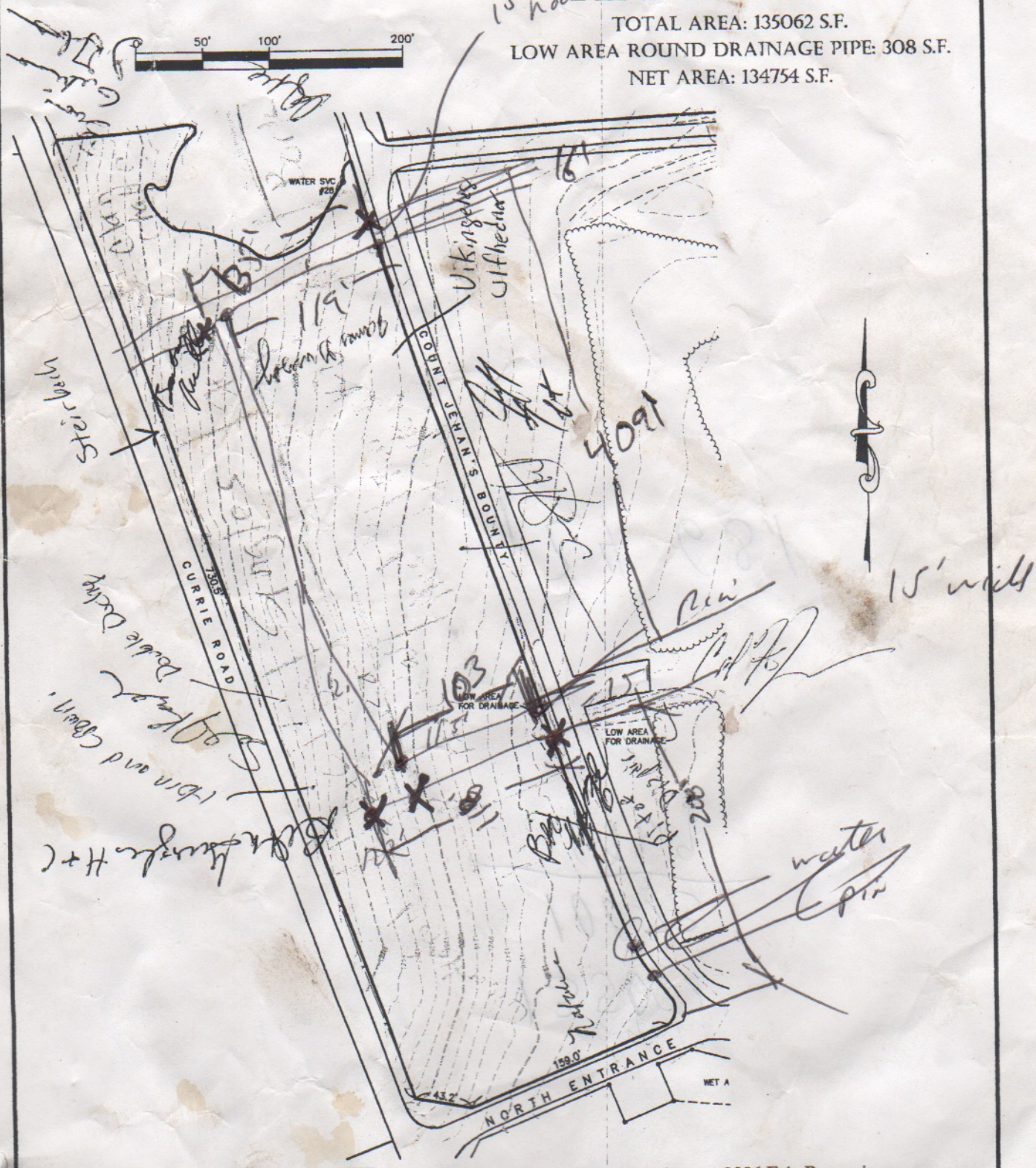

This map prepared by Geoffrey of Wroxeter, Pennsic Cartographer - © 2006 Eric Browning

WhiTe Bull

4 9 15

135062

10073

4989

124 681

BLOCK E23
FOR
PENNSIC XXXV

TOTAL AREA: 90769 S.F.
UNCAMPABLE AREA DUE TO DITCHES: 9591 S.F.
NET AREA: 81178 S.F.

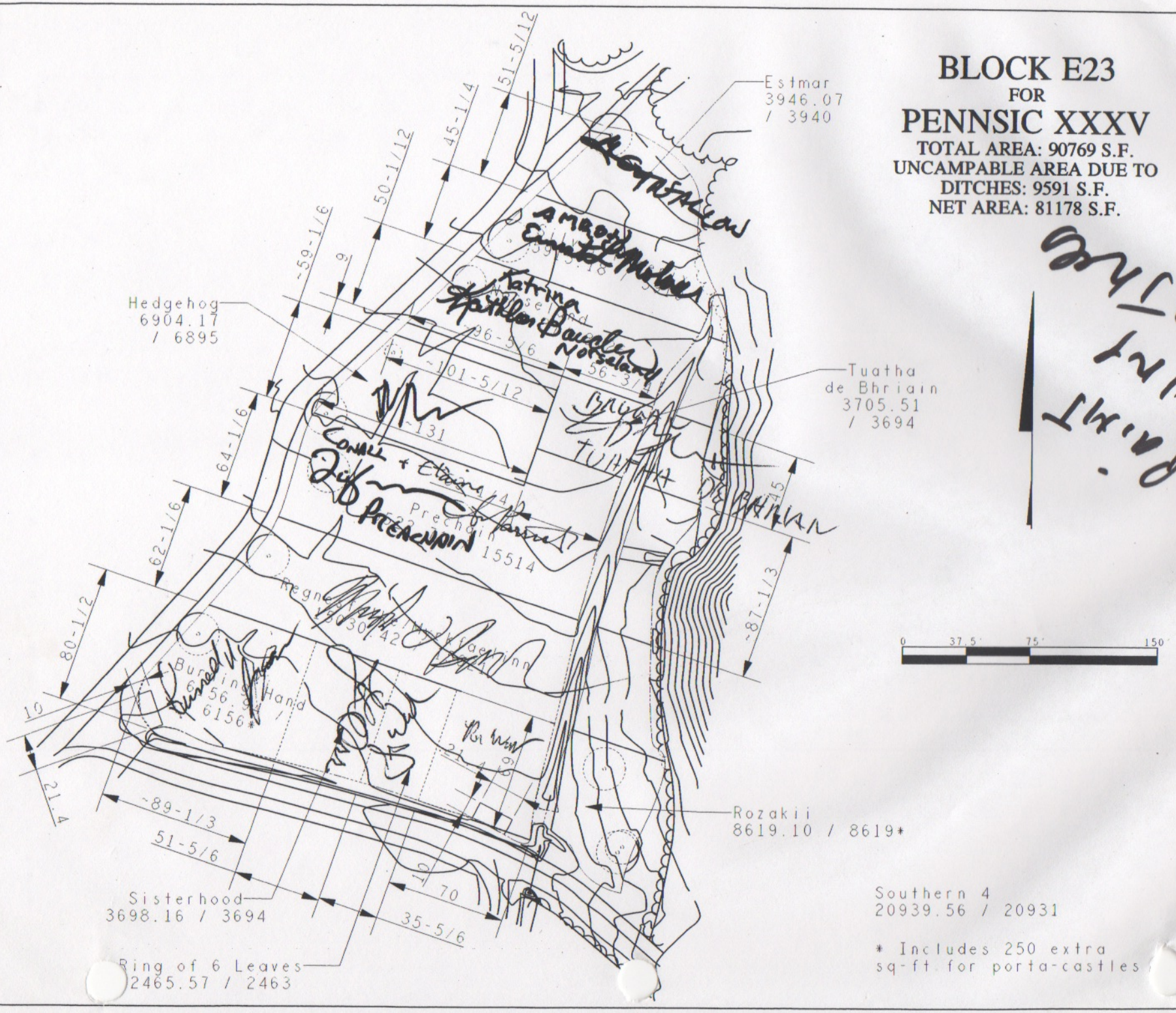

BLOCK E24

FOR

PENNSIC XXXIV

TOTAL AREA: 44804 S.F.
UNCAMPABLE AREA DUE TO STREAM AND BERM AREA: 19270 S.F.
RESTRICTED AREA AROUND GAS LINE MARKER: 314 S.F.
PUBLIC AREA (3'X3' SQUARE AROUND WATER SPIGOT): 9 S.F.
NET AREA: 25211 S.F.

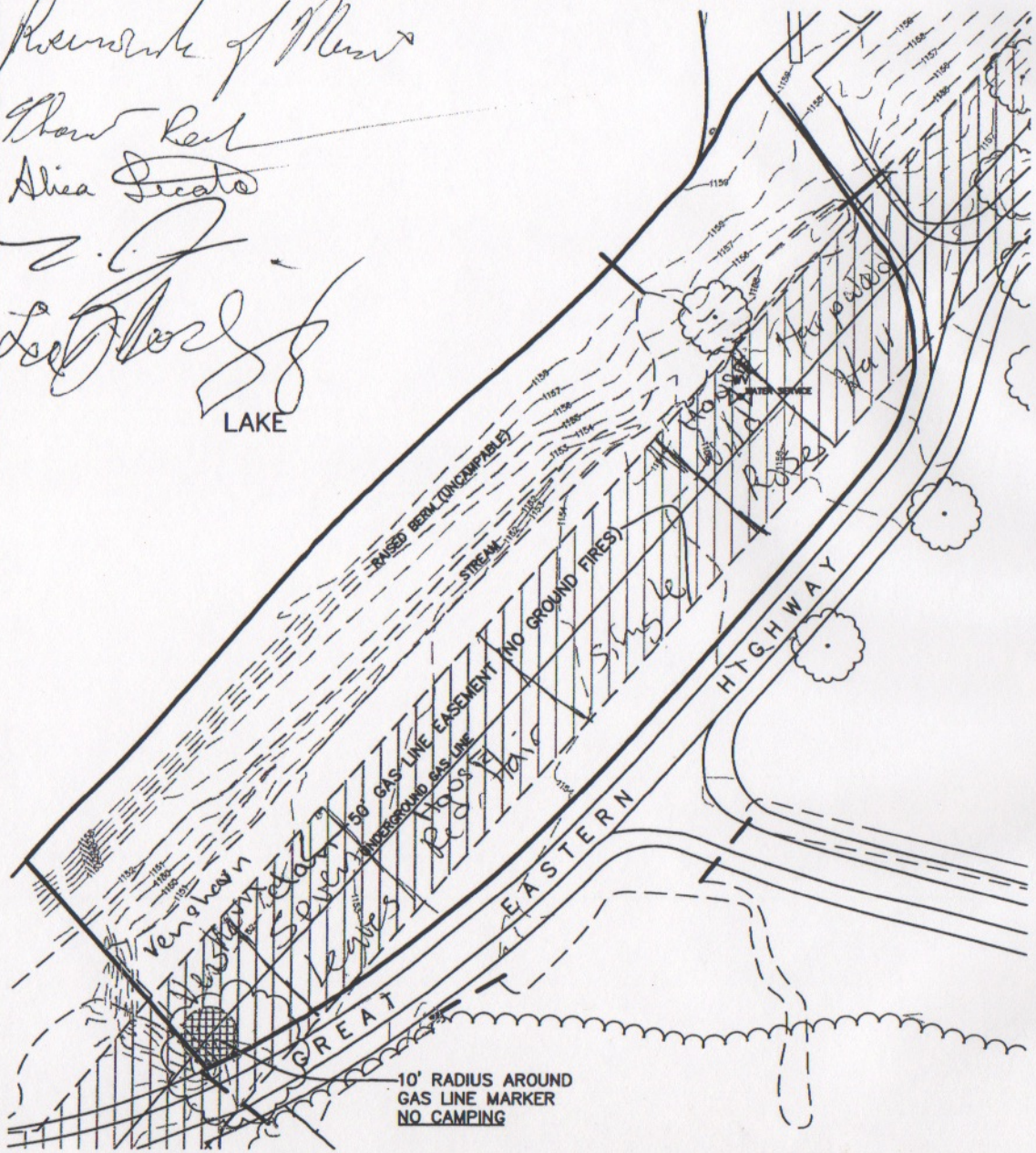

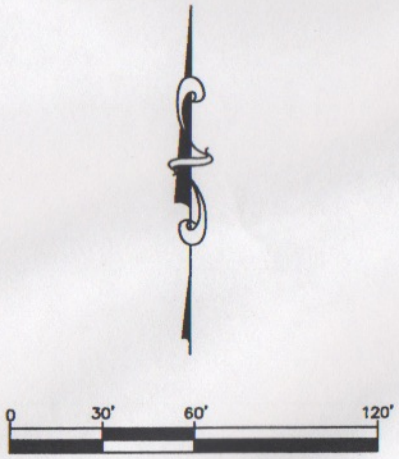

This map prepared by Geoffrey of Wroxeter, Pennsic Cartographer - © 2005 Eric Browning

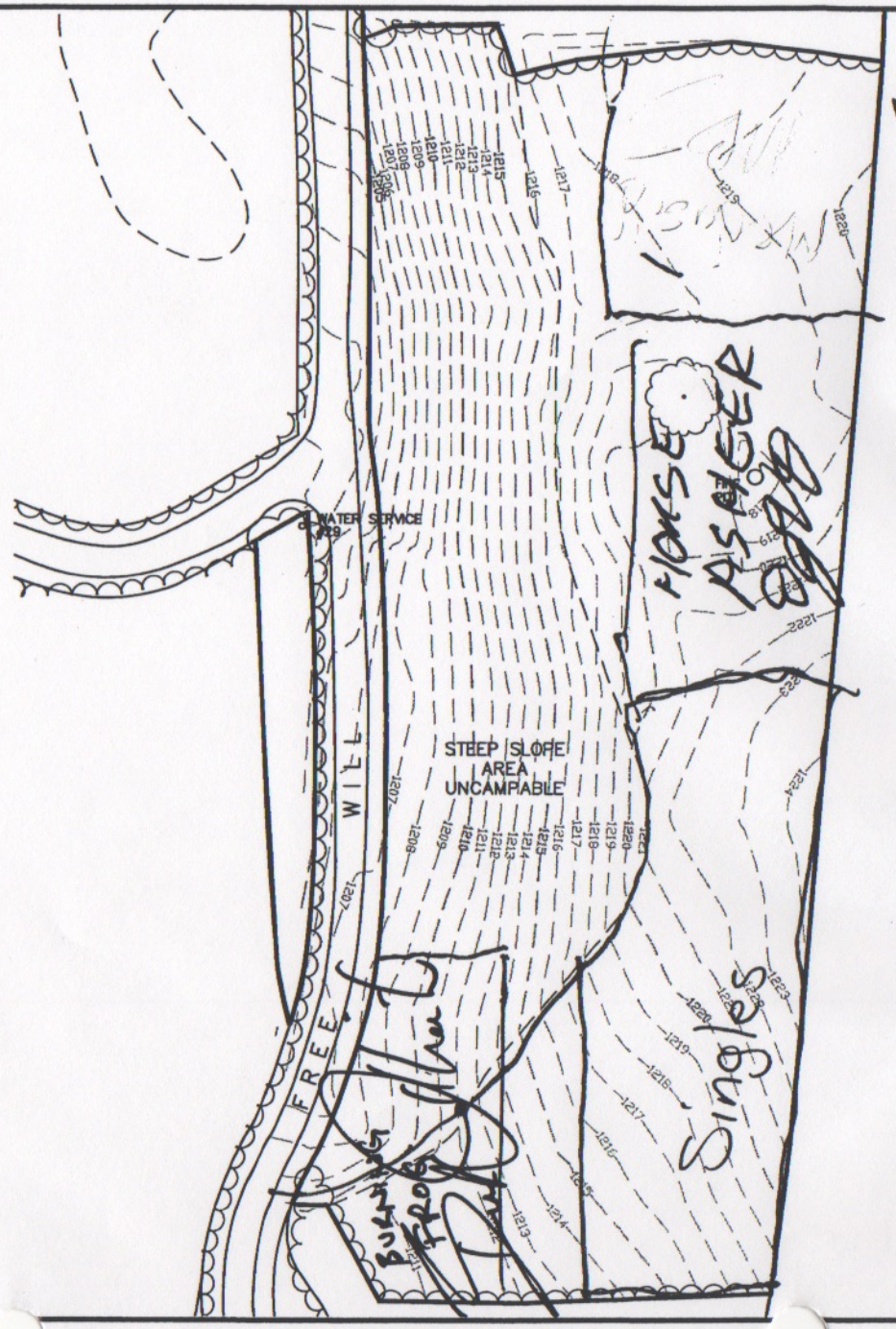

BLOCK E25

FOR

PENNSIC XXXIV

TOTAL AREA: 68912 S.F.

UNCAMPABLE AREA DUE TO EXCESSIVE SLOPE: 25016 S.F.

PUBLIC AREA (3'X3' SQUARE AROUND WATER SPIGOT): 9 S.F.

NET AREA: 43887 S.F.

0 30' 60' 120'

This map prepared by Geoffrey of Wroxeter, Pennsic Cartographer - © 2005 Eric Browning

BLOCK E26

FOR

PENNSIC XXXIV

CAMPABLE AREA: 124558 S.F.

WOODED AREA (80% CAMPABLE): 100%

NET AREA: 99646 S.F.

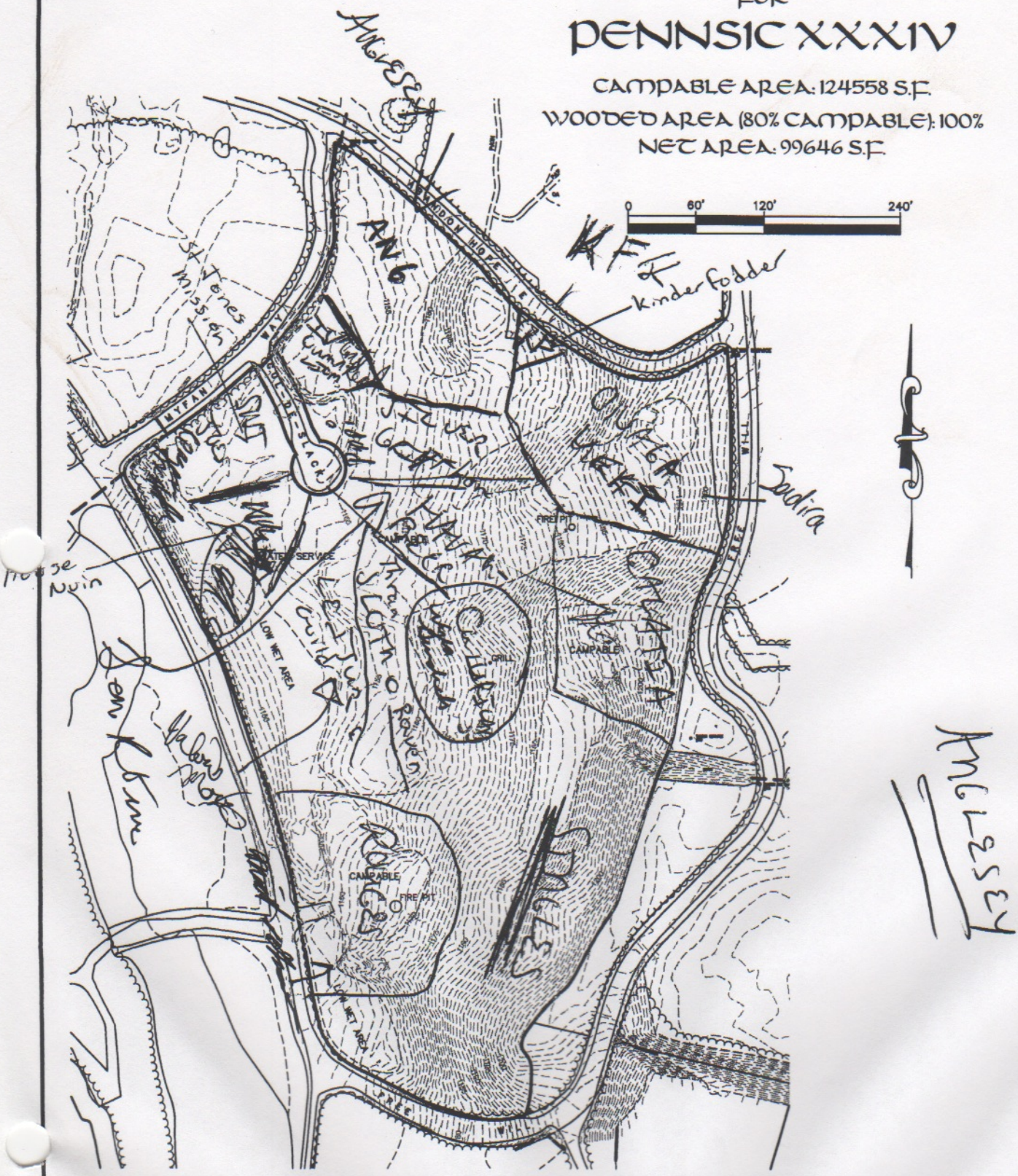

This map prepared by Geoffrey of Wroxeter, Pennsic Cartographer - © 2005 Eric Browning

BLOCK E27

FOR

PENNSIC XXXIV

TOTAL AREA: 69895 S.F.

UNCAMPABLE AREA DUE TO DITCHES AND BOGS: 3936 S.F.

WOODED AREA (80% CAMPABLE): 53315 S.F.

CAMPABLE AREA: 55296 S.F.

This map prepared by Geoffrey of Wroxeter, Pennsic Cartographer - © 2005 Eric Browning

BLOCK E28

FOR

PENNSIC XXXIV

TOTAL AREA: 83360 S.F.
UNCAMPABLE AREA DUE TO DITCH: 8707 S.F.
ROAD AREA: 4211 S.F.
WOODED AREA (80% CAMPABLE): 67801 S.F.
RESTRICTED AREA AROUND GAS LINE MARKER: 257 S.F.
PUBLIC AREA (TWO 3'X3' SQUARES AROUND WATER SPIGOTS): 18 S.F.
NET AREA: 60818 S.F.

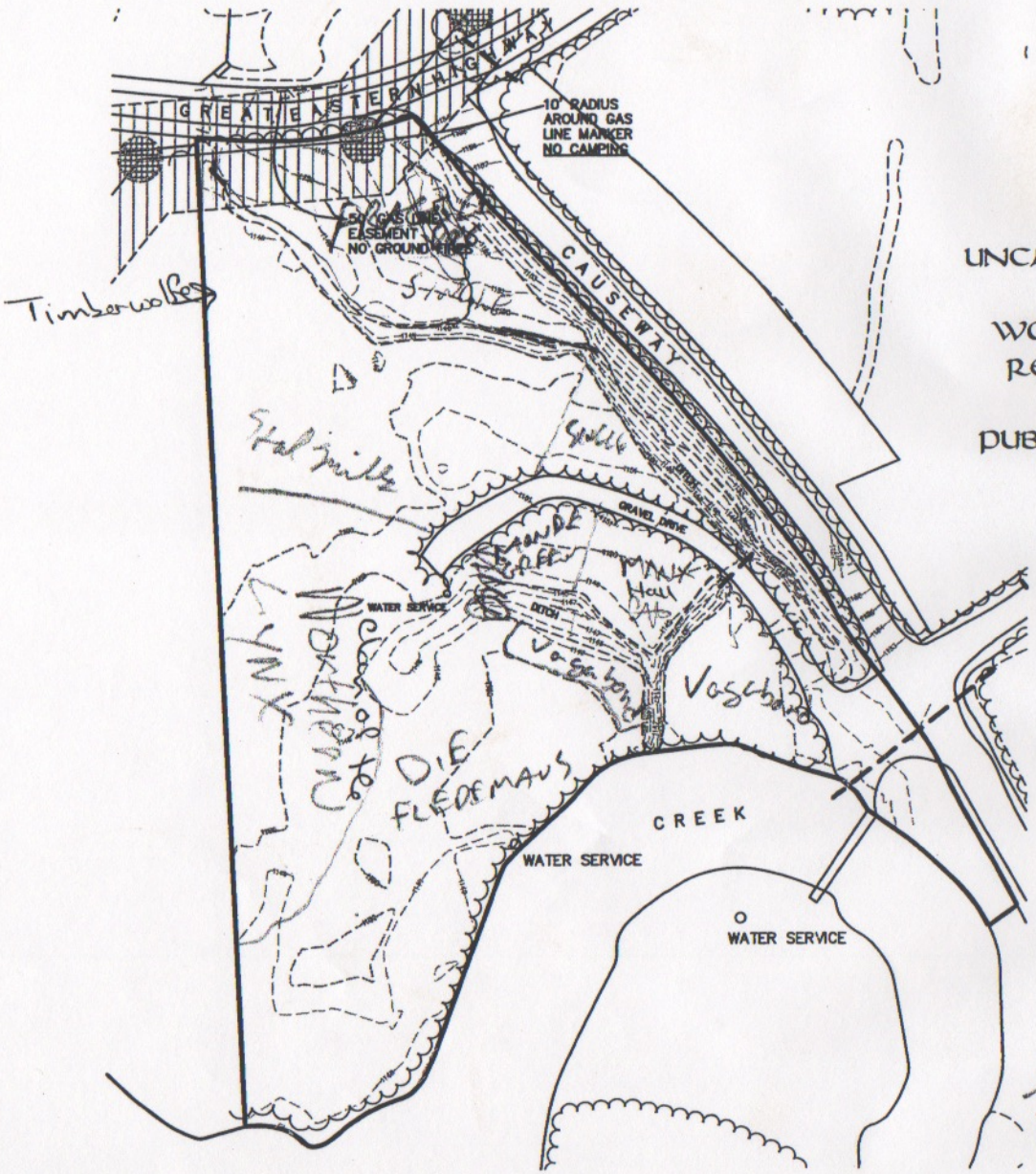

BLOCK E29

FOR

PENNSIC XXXIV

TOTAL AREA: 12931 S.F.

PUBLIC AREA (3X3' SQUARE AROUND WATER SPIGOT): 9 S.F.

NET AREA: 12922 S.F.

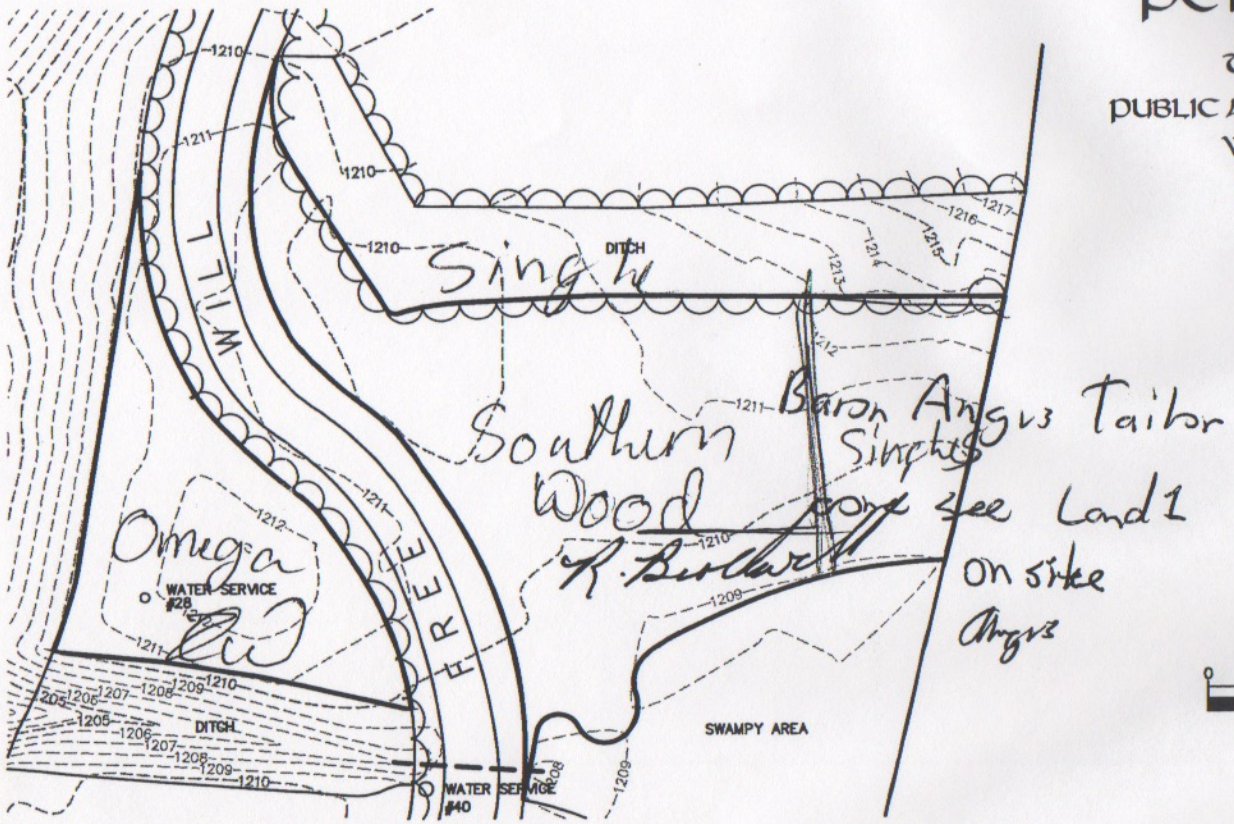

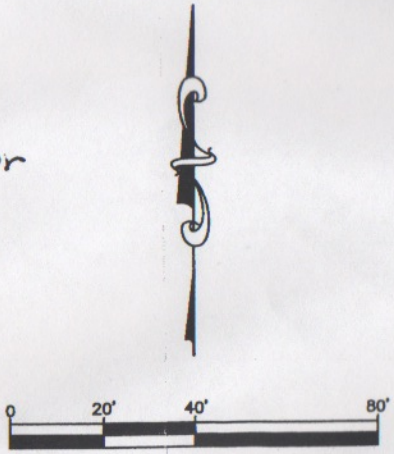

This map prepared by Geoffrey of Wroxeter, Pennsic Cartographer - © 2005 Eric Browning

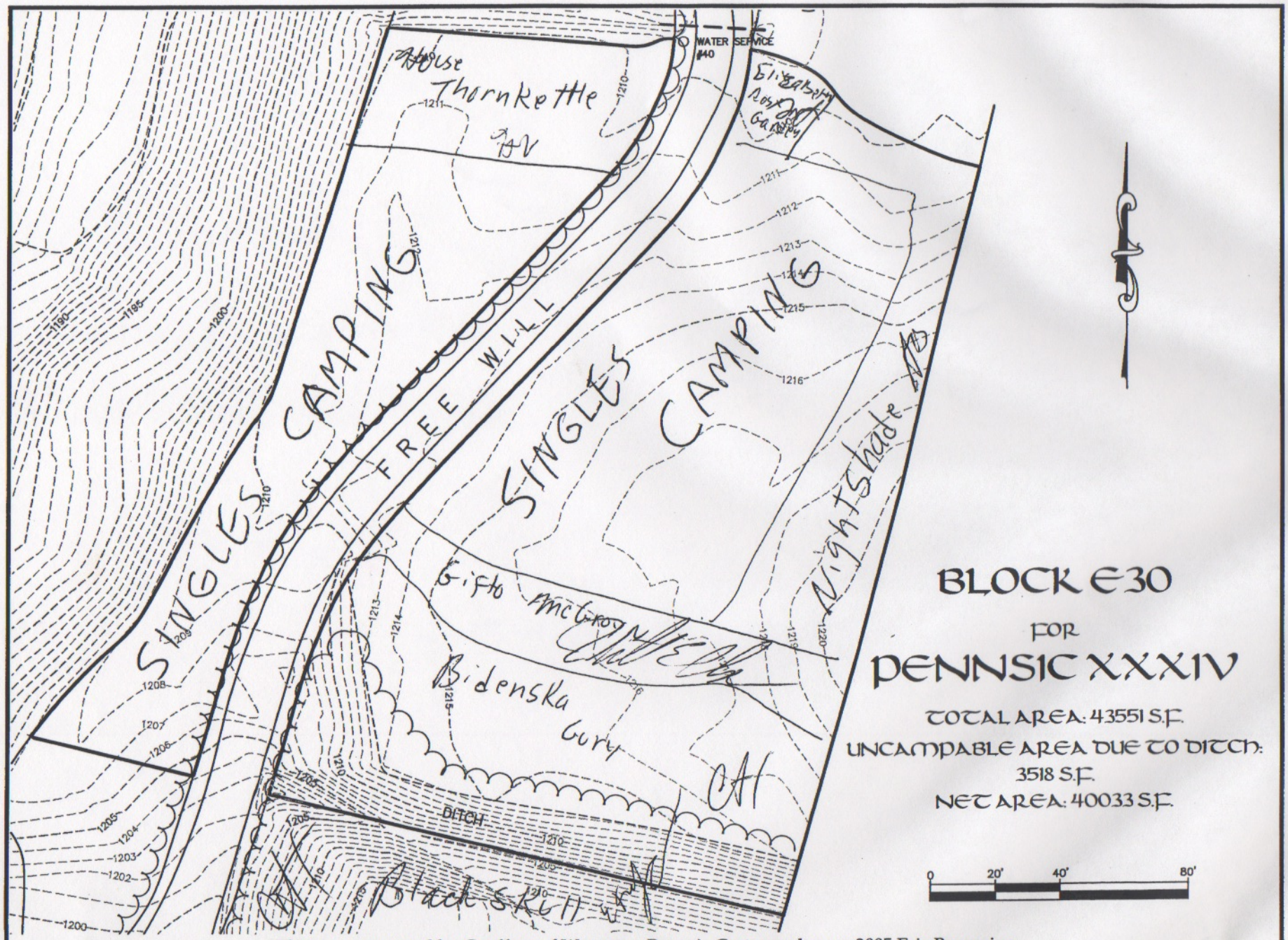

BLOCK E30

FOR

PENNSIC XXXIV

TOTAL AREA: 43551 S.F.

UNCAMPABLE AREA DUE TO DITCH: 3518 S.F.

NET AREA: 40033 S.F.

This map prepared by Geoffrey of Wroxeter, Pennsic Cartographer - © 2005 Eric Browning

Brotherhood

BLOCK E31

FOR

PENNSIC XXXIV

TOTAL AREA: 112701 S.F.
UNCAMPABLE AREA DUE TO DITCH: 1672 S.F.
ROAD AREA: 7276 S.F.
PUBLIC AREA (TWO 3'X3' SQUARES AROUND WATER SPIGOTS): 18 S.F.
CAMPABLE AREA: 103735 S.F.

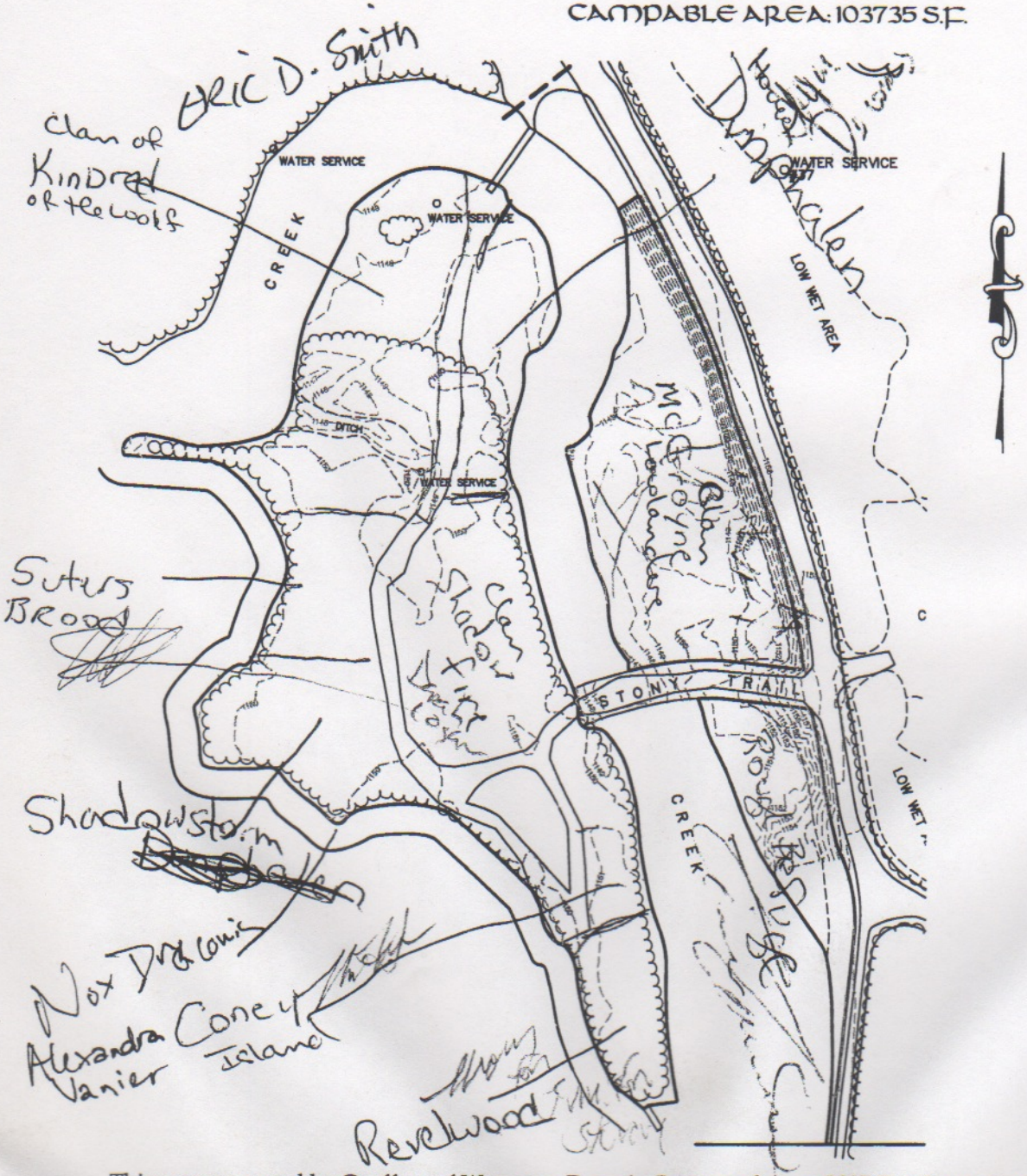

This map prepared by Geoffrey of Wroxeter, Pennsic Cartographer - © 2005 Eric Browning

BLOCK N01

FOR

PENNSIC XXXIV

TOTAL AREA: 52511 S.F.

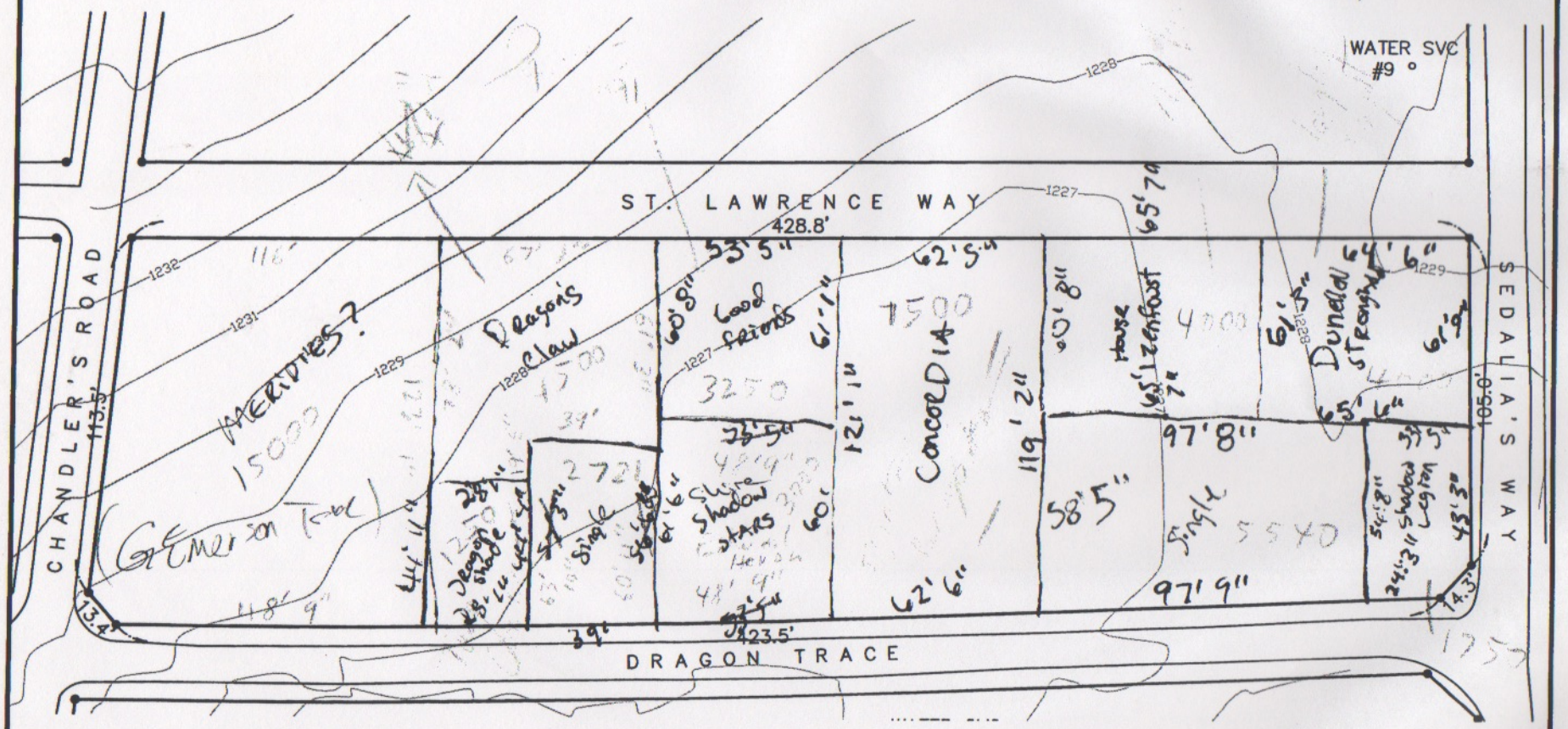

This map prepared by Geoffrey of Wroxeter, Pennsic Cartographer - © 2005 Eric Browning

BLOCK NO3

FOR

PENNSIC XXXIV

TOTAL AREA: 54982 S.F.
PUBLIC AREA (THREE 3'x3' SQUARES AROUND WATER SPIGOTS): 27 S.F.
NET AREA: 54955 S.F.

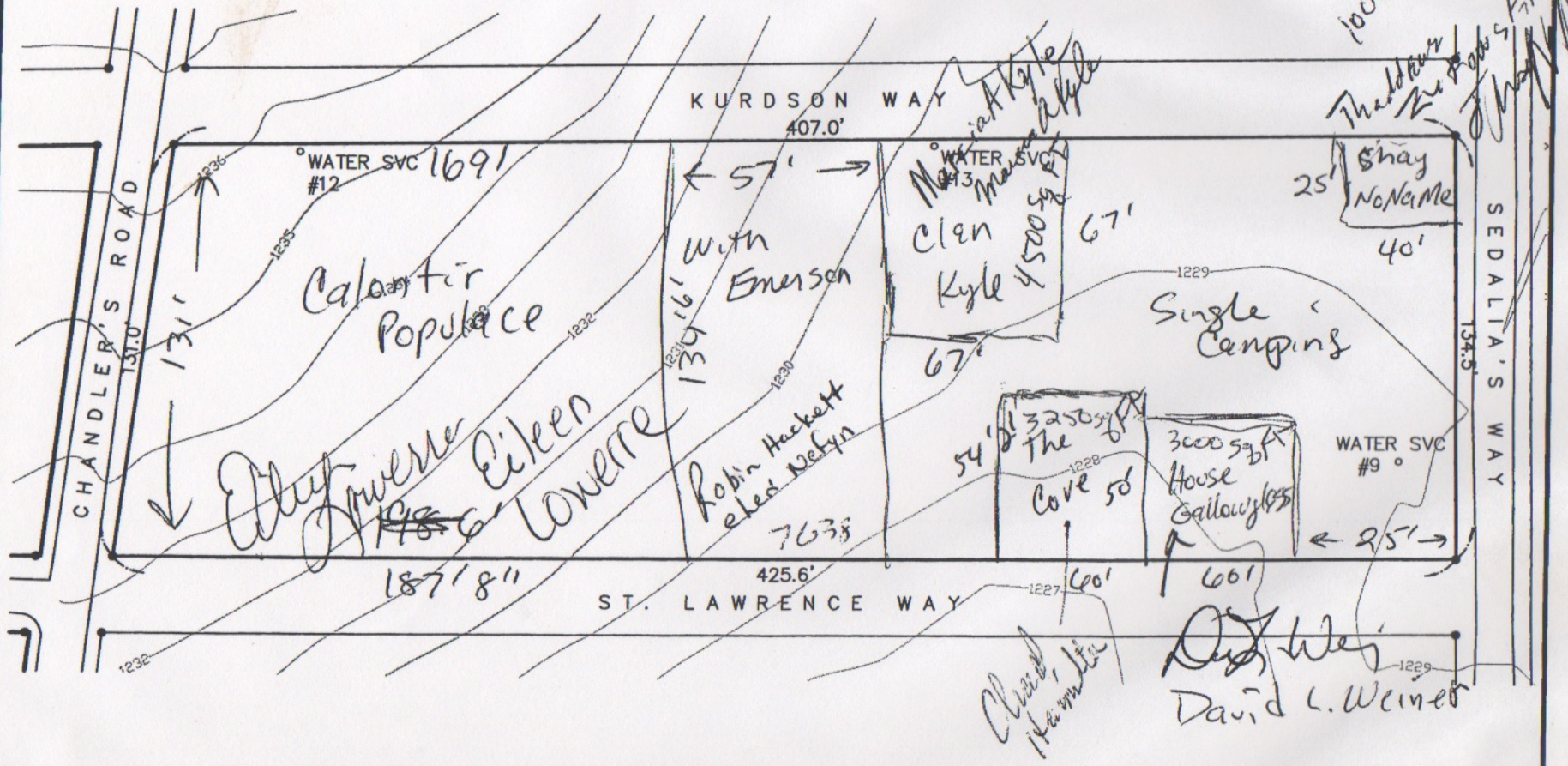

This map prepared by Geoffrey of Wroxeter, Pennsic Cartographer - © 2005 Eric Browning

BLOCK N04

FOR

PENNSIC XXXIV

TOTAL AREA: 19042 S.F.

PUBLIC AREA (TWO 3'x3' SQUARES AROUND WATER SPIGOTS & ELEC. SERVICE): 18 S.F.

NET AREA: 19024 S.F.

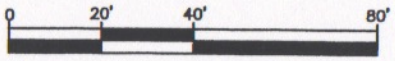

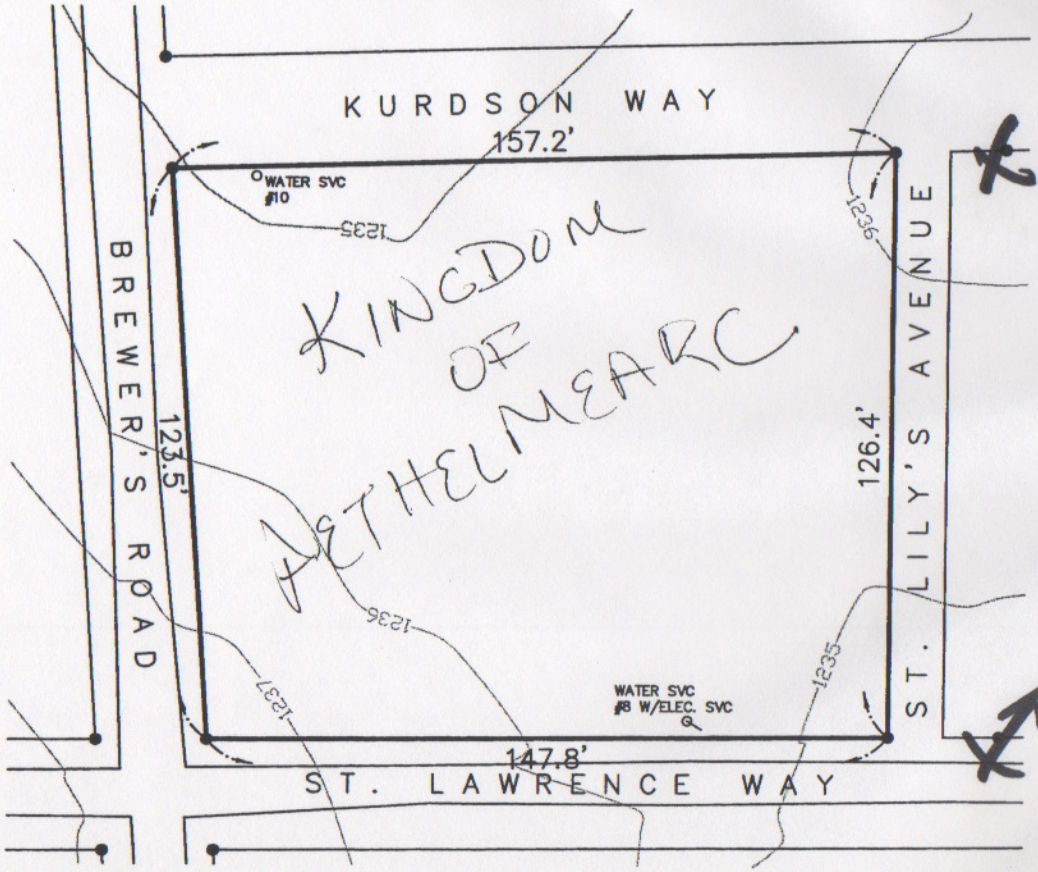

This map prepared by Geoffrey of Wroxeter, Pennsic Cartographer - © 2005 Eric Browning

BLOCK N05

FOR

PENNSIC XXXIV

TOTAL AREA: 47645 S.F.

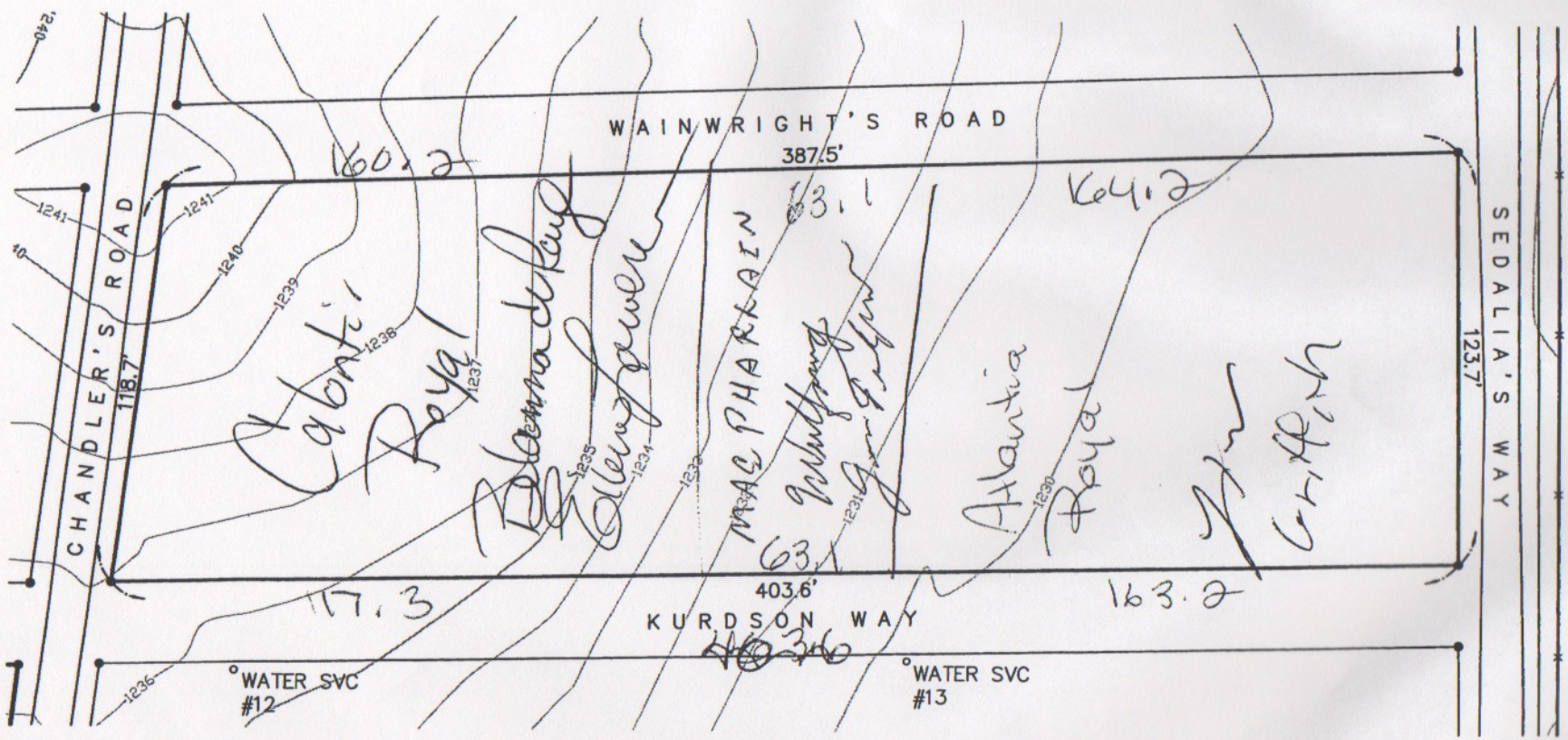

This map prepared by Geoffrey of Wroxeter, Pennsic Cartographer - © 2005 Eric Browning

BLOCK N06

FOR

PENNSIC XXXIV

TOTAL AREA: 36968 S.F.



This map prepared by Geoffrey of Wroxeter, Pennsic Cartographer - © 2005 Eric Browning

BLOCK N07

FOR

PENNSIC XXXIV

TOTAL AREA: 36984 S.F.

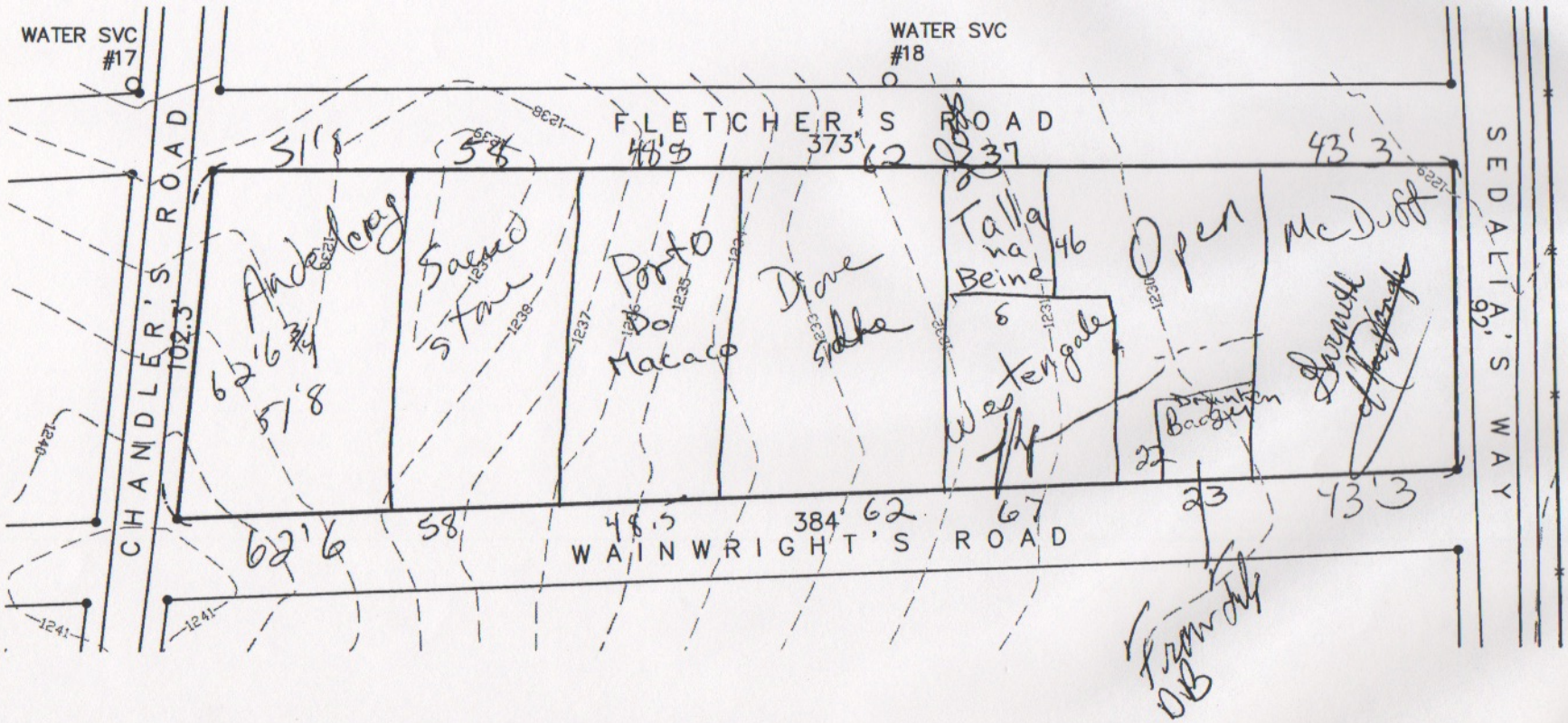

This map prepared by Geoffrey of Wroxeter, Pennsic Cartographer - © 2005 Eric Browning

BLOCK N08

FOR

PENNSIC XXXV

TOTAL AREA: 34725 S.F.

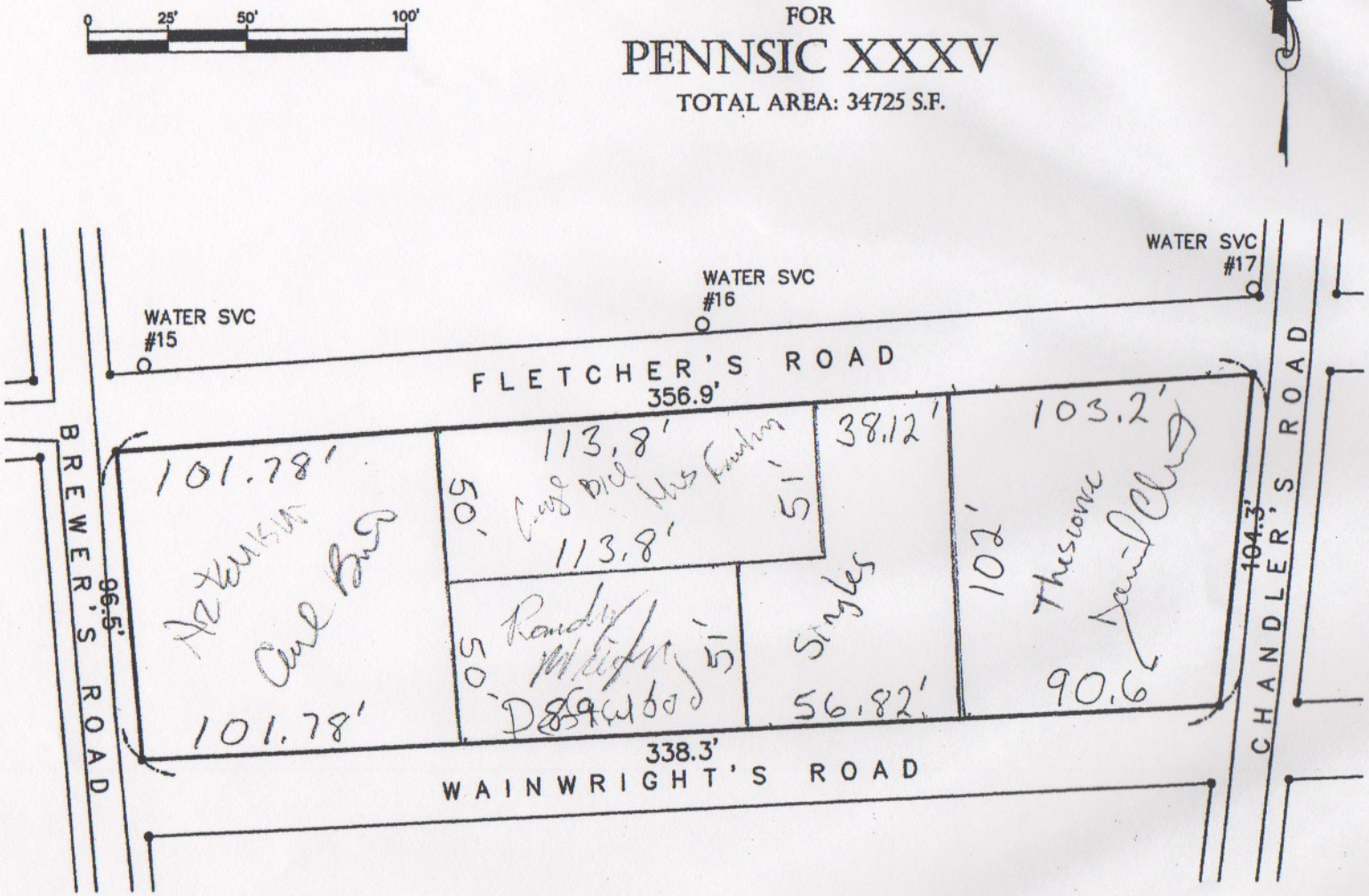

This map prepared by Geoffrey of Wroxeter, Pennsic Cartographer - © 2006 Eric Browning

BLOCK N09

FOR

PENNSIC XXXV

TOTAL AREA: 38908 S.F.

PUBLIC AREA (3'X3' SQUARE AROUND WATER SPIGOT): 9 S.F.

NET AREA: 38899 S.F.

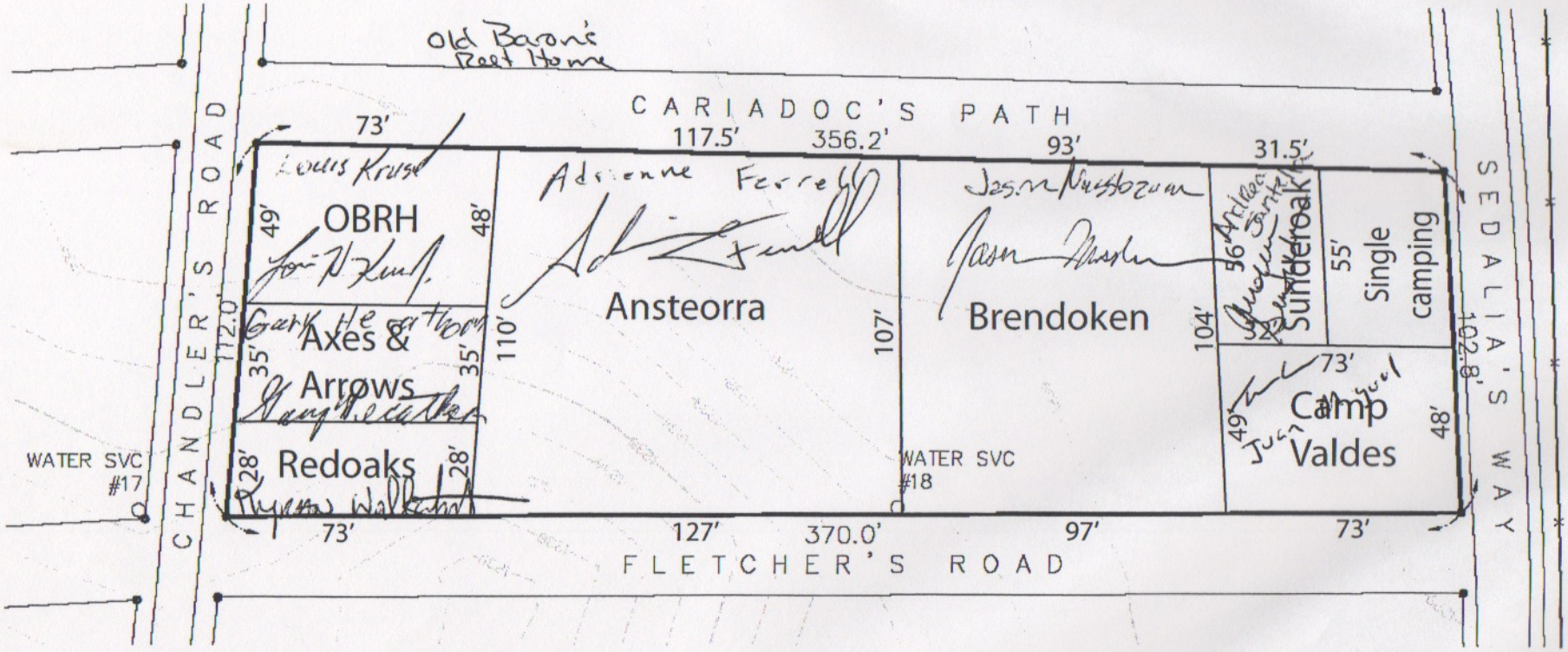

This map prepared by Geoffrey of Wroxeter, Pennsic Cartographer - © 2006 Eric Browning

BLOCK N10

FOR

PENNSIC XXXIV

TOTAL AREA: 41356 S.F.

public area (three 3'x3' squares around water spigots): 27 s.f.
uncampable area due to drainage swale: 1318 s.f.
net area: 40011 s.f.

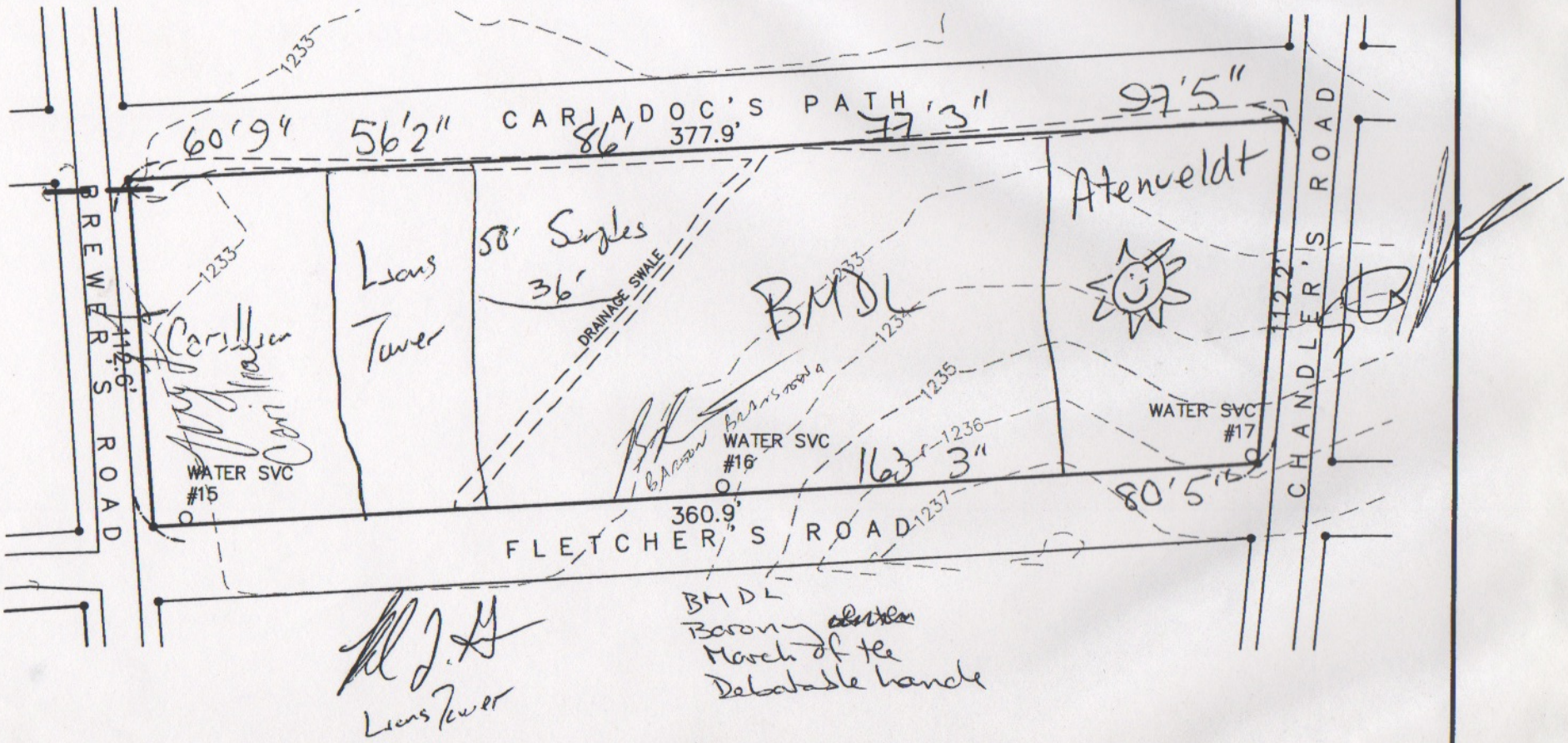

This map prepared by Geoffrey of Wroxeter, Pennsic Cartographer - © 2005 Eric Browning

BLOCK N11

FOR

PENNSIC XXXIV

TOTAL AREA: 23434 S.F.

public area (3'x3' square around water spigot): 9 s.f.

net area: 23425 s.f.

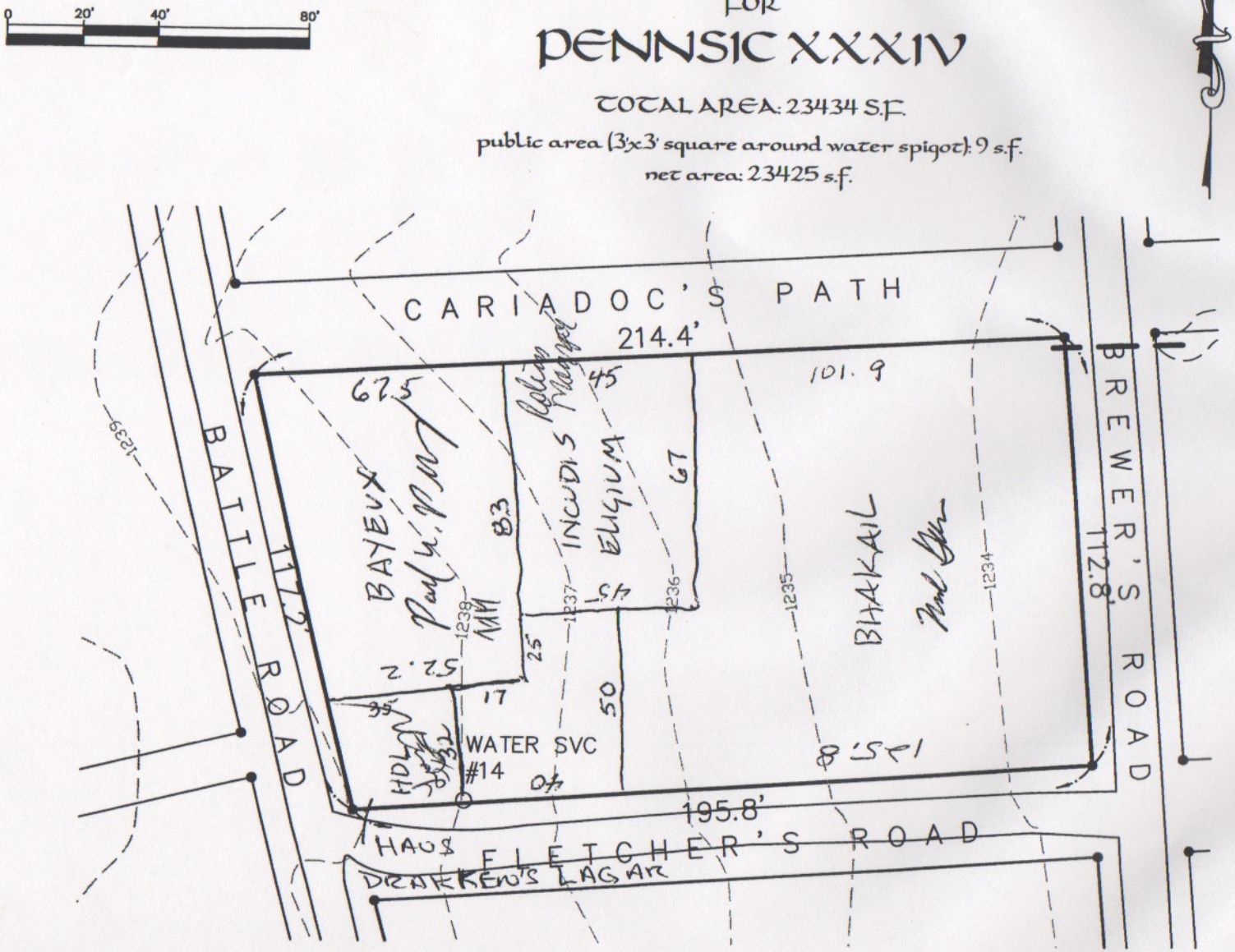

This map prepared by Geoffrey of Wroxeter, Pennsic Cartographer - © 2005 Eric Browning

BLOCK N12

FOR

PENNSIC XXXV

TOTAL AREA: 47346 S.F.

LOW AREA AROUND DRAINAGE PIPES: 959 S.F.

NET AREA: 46387 S.F.

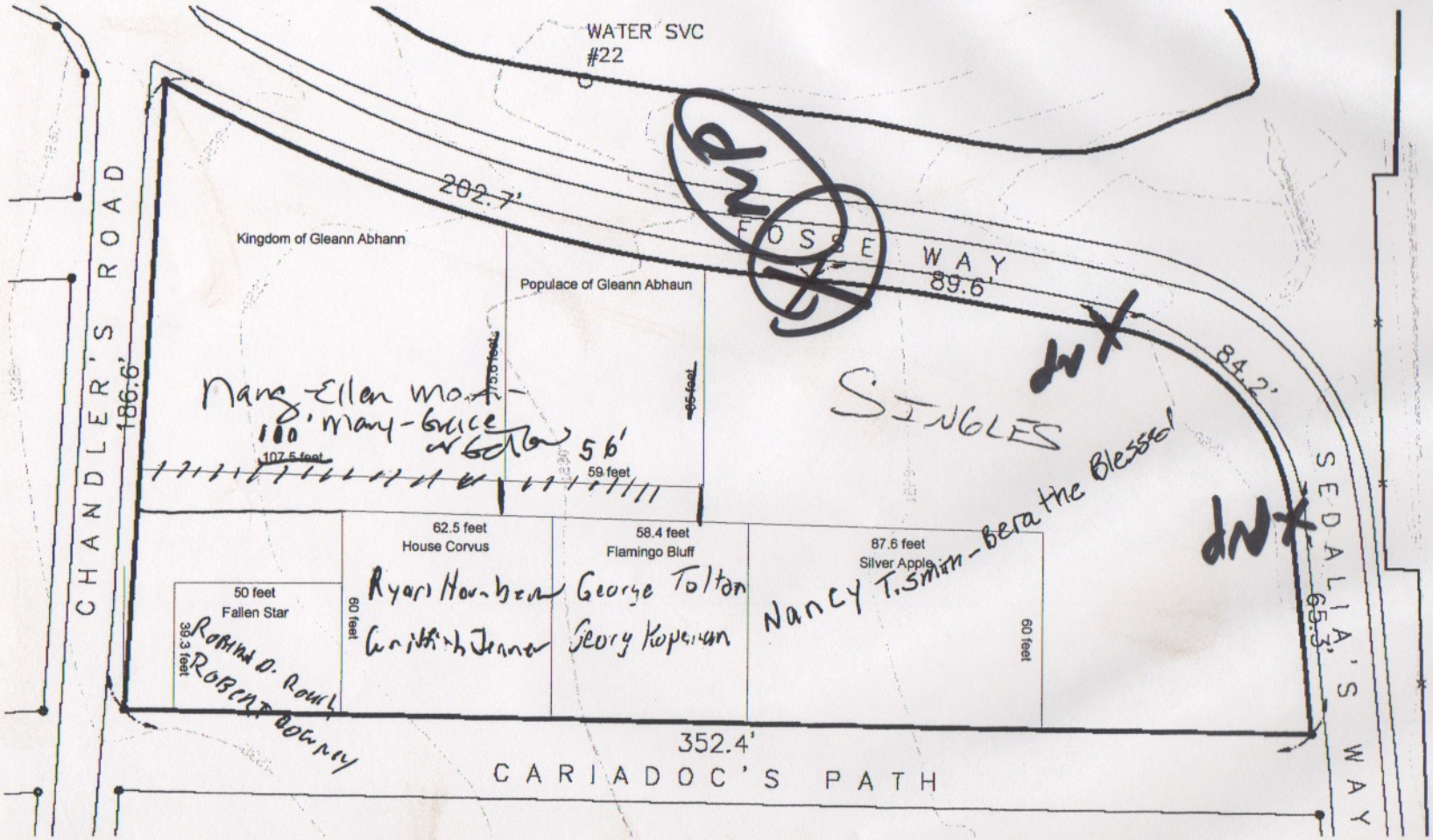

This map prepared by Geoffrey of Wroxeter, Pennsic Cartographer - © 2006 Eric Browning

BLOCK N13

FOR

PENNSIC XXXV

TOTAL AREA: 50382 S.F.



This map prepared by Geoffrey of Wroxeter, Pennsic Cartographer - © 2006 Eric Browning

BLOCK N14

FOR

PENNSIC XXXIV

TOTAL AREA: 29960 S.F.

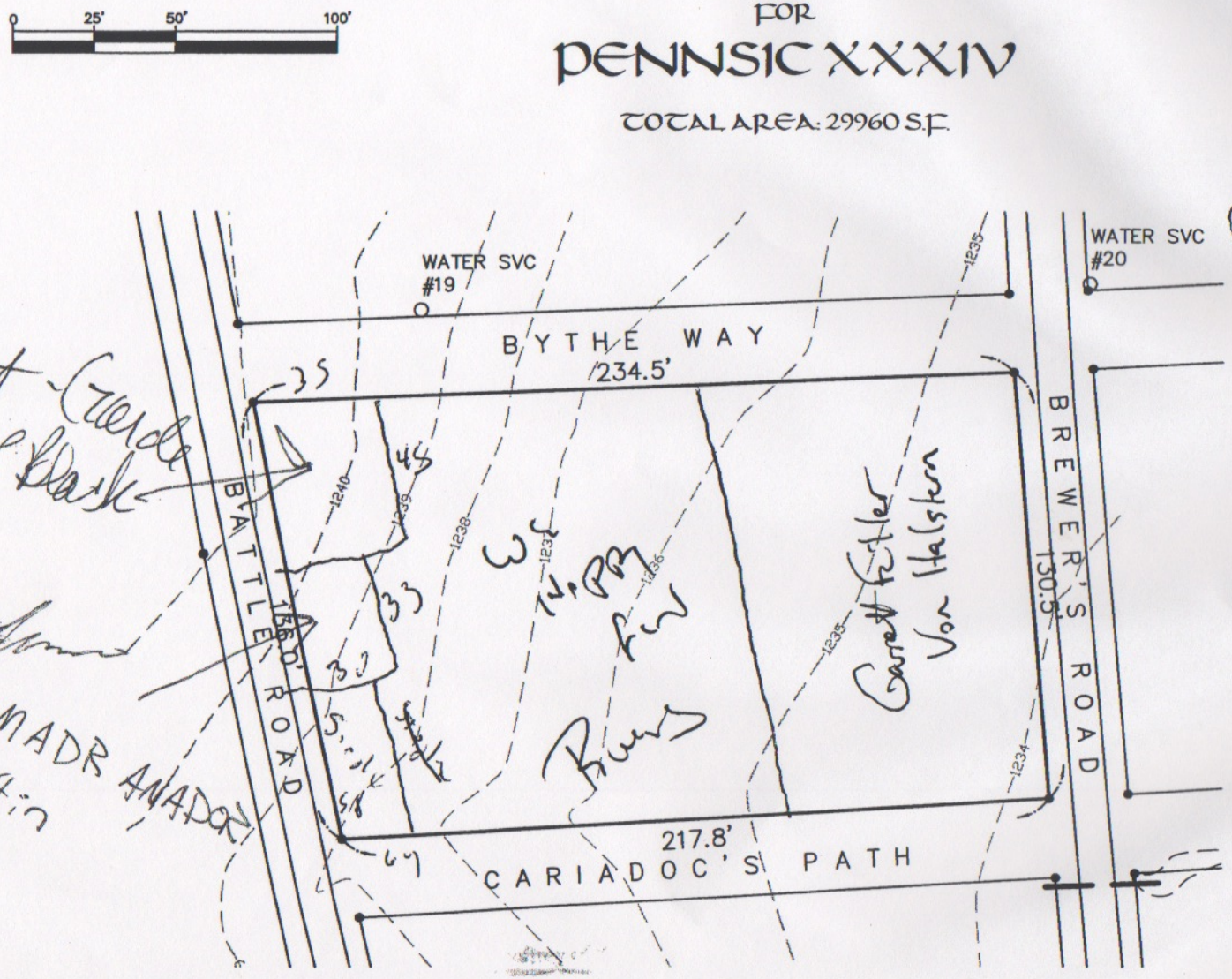

This map prepared by Geoffrey of Wroxeter, Pennsic Cartographer - © 2005 Eric Browning

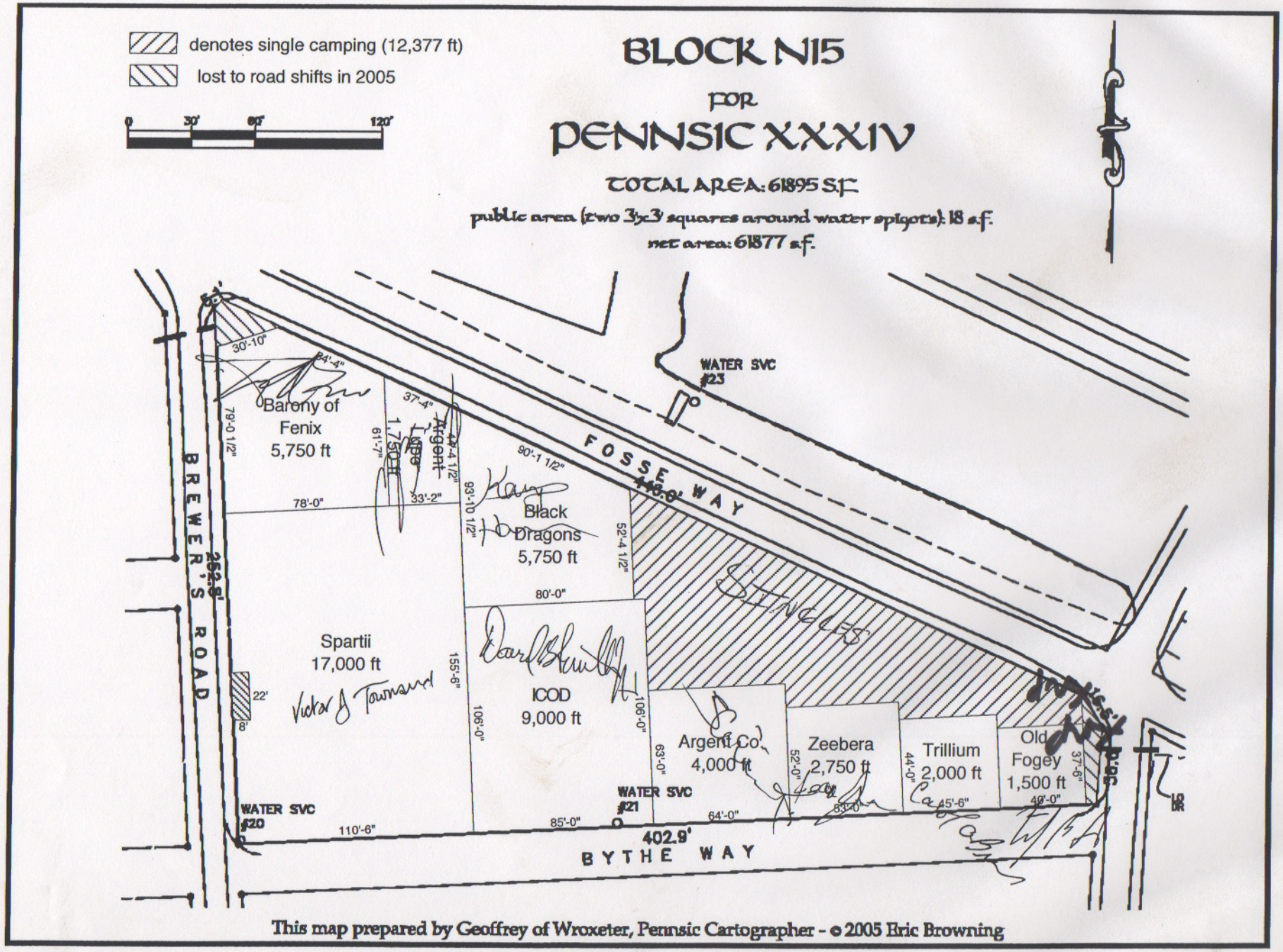

This map prepared by Geoffrey of Wroxeter, Pennsic Cartographer - © 2005 Eric Browning

Land division overlay by Timofei Ivanovitch, agent for Old Fogey, 18Jul08

BLOCK N16

FOR

PENNSIC XXXIV

TOTAL AREA: 27054 S.F.

public area (3'x3' square around water spigot): 9 s.f.

net area: 27045 s.f.

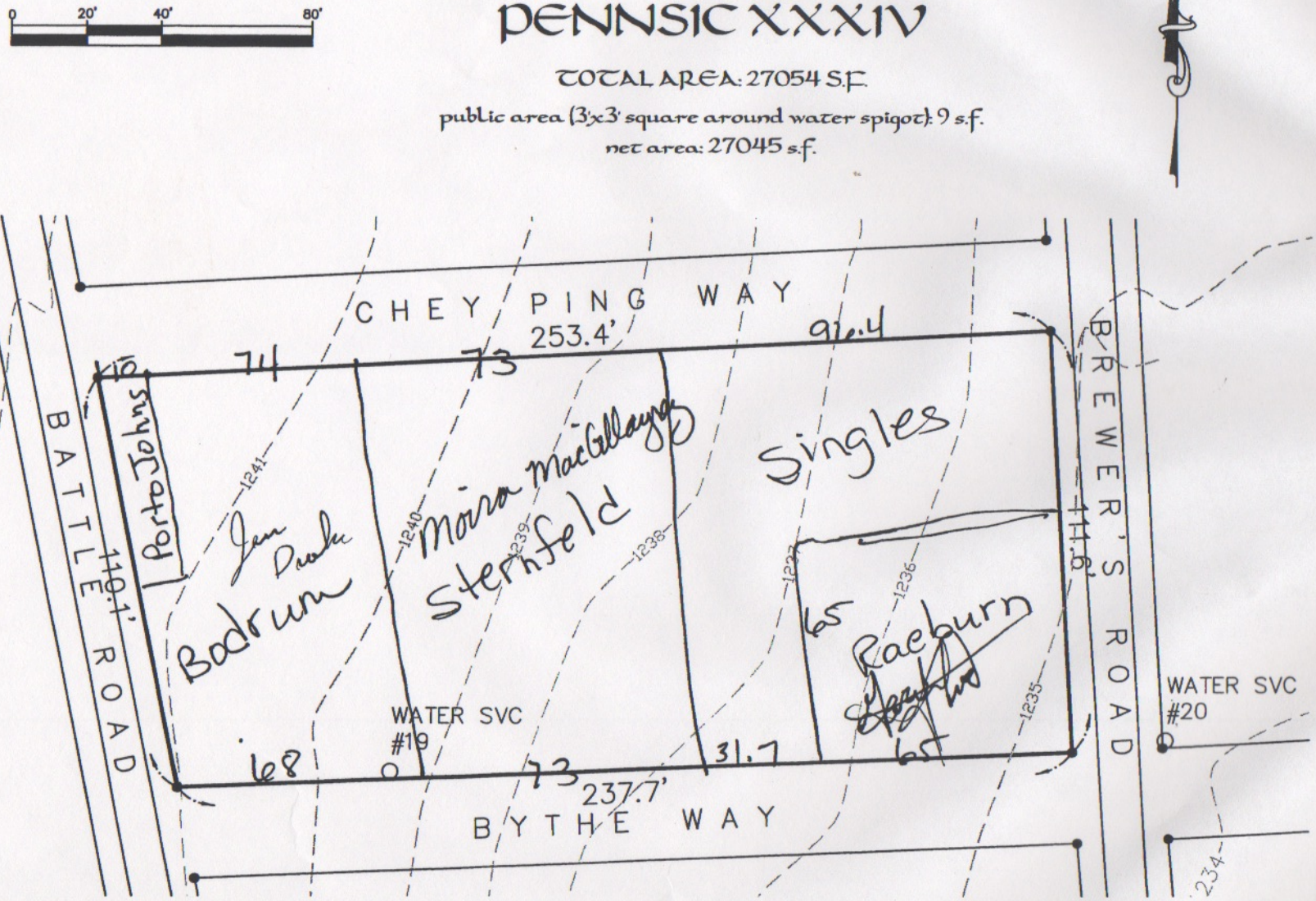

This map prepared by Geoffrey of Wroxeter, Pennsic Cartographer - © 2005 Eric Browning

BLOCK N17

FOR

PENNSIC XXXIV

TOTAL AREA: 55545 S.F.

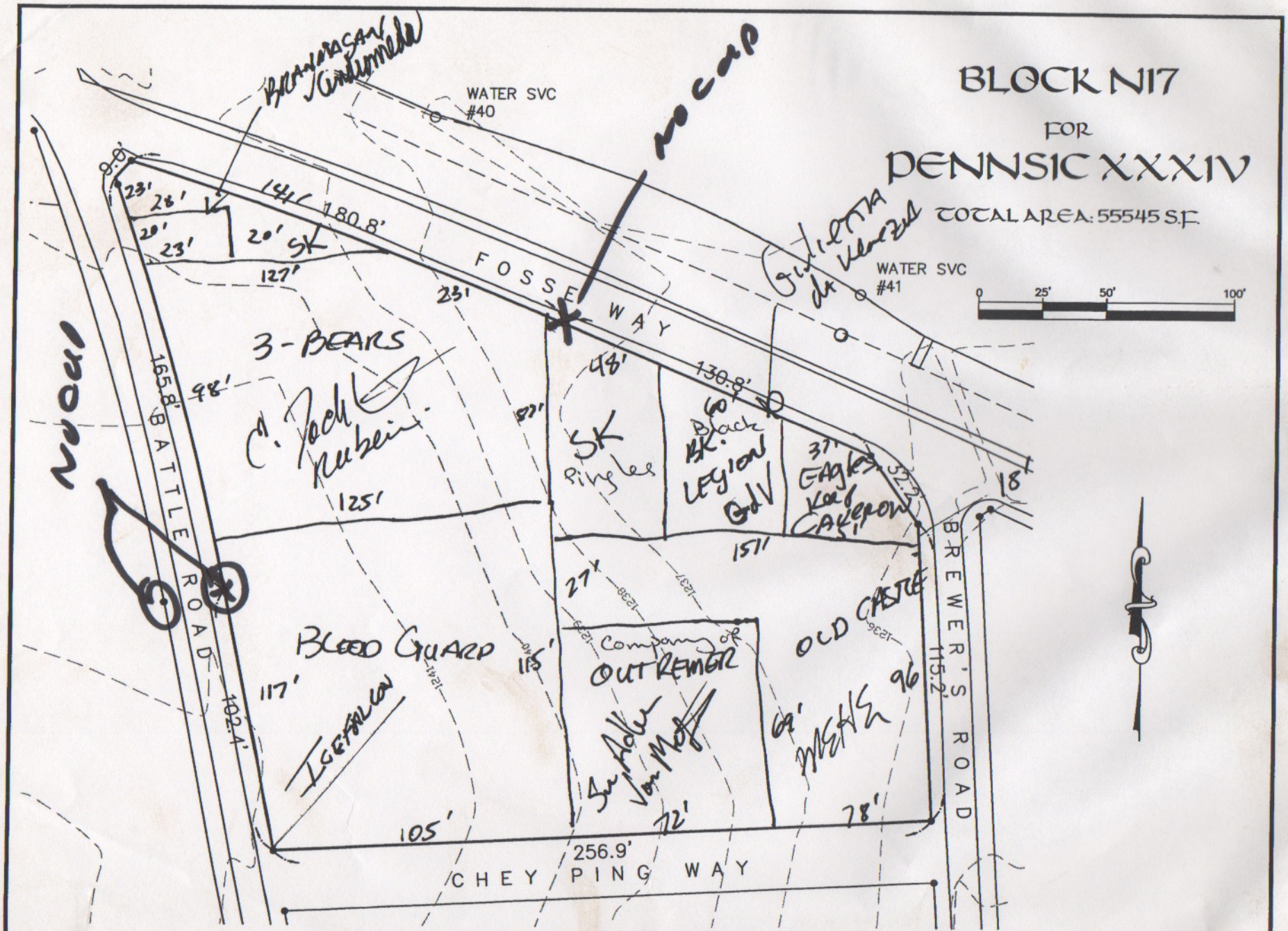

This map prepared by Geoffrey of Wroxeter, Pennsic Cartographer - © 2005 Eric Browning

BLOCK N18

FOR

PENNSIC XXXIV

TOTAL AREA: 142926 S.F.

UNCAMPABLE AREA DUE TO LOW AREA: 2829 S.F.

NET AREA: 140097 S.F.

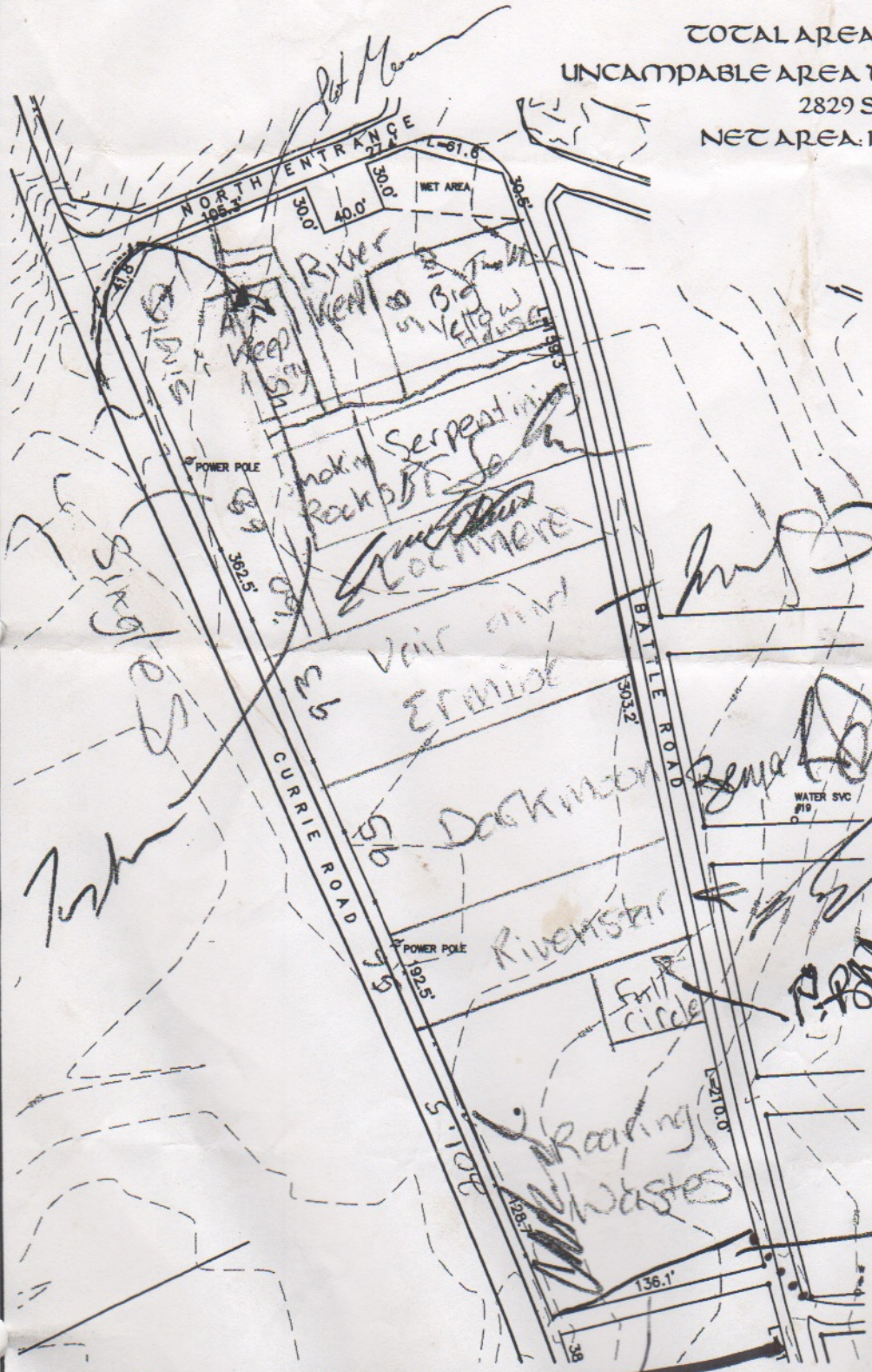

210	
303	
159	
30	
702	
	296
	125
	44
	585

DOES NOT REMAIN

This map prepared by Geoffrey of Wroxeter, Pennsic Cartographer - © 2005 Eric Browning

133'

BLOCK N19

FOR

PENNSIC XXXIV

TOTAL AREA: 87499 S.F.

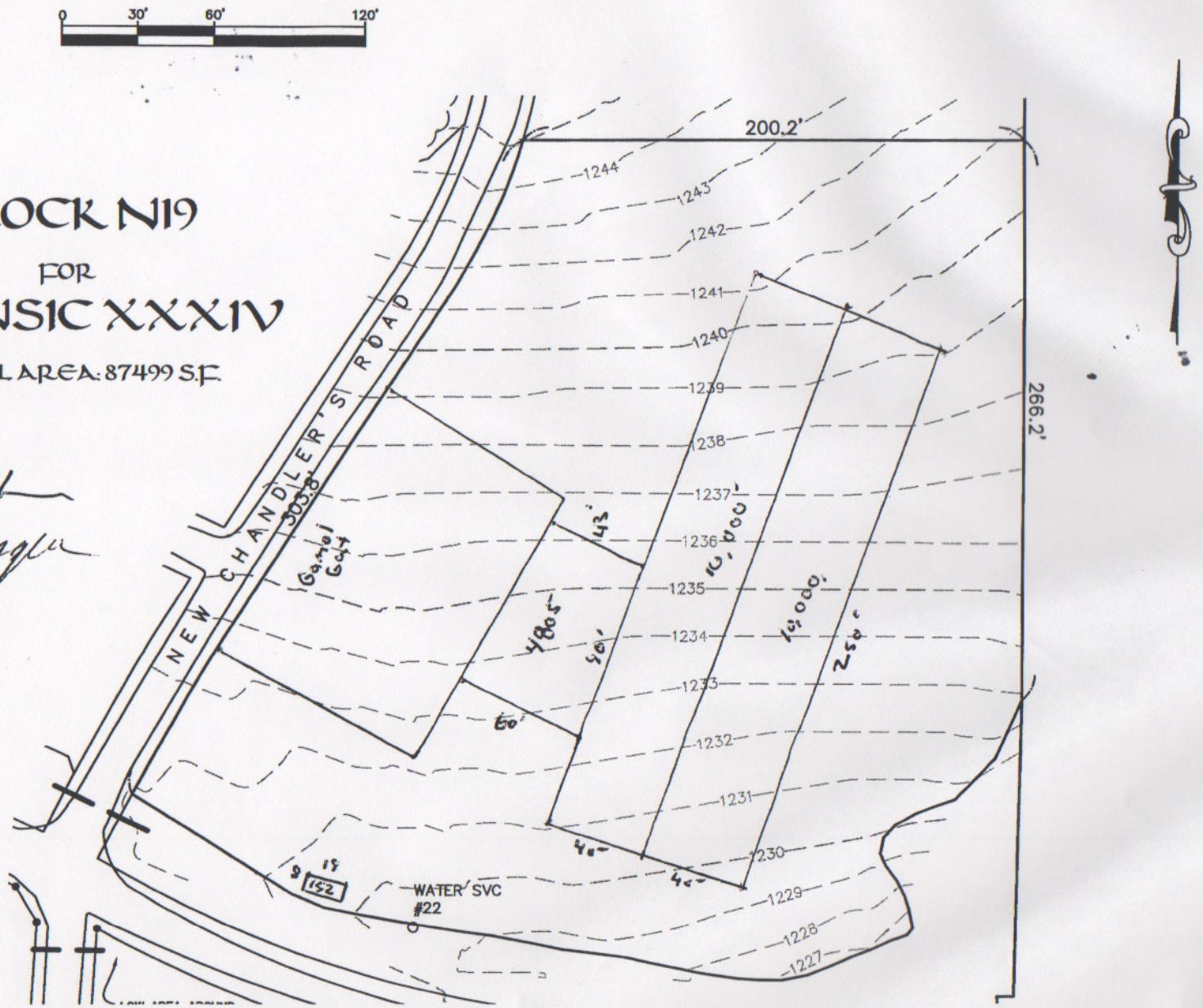

Lance E. Hanson
Andrew Spangler

OK - G Emerson Tree
7/27/08

This map prepared by Geoffrey of Wroxeter, Pennsic Cartographer - © 2005 Eric Browning

Crepin David

BLOCK N20

FOR

PENNSIC XXXIV

TOTAL AREA: 21962 S.F.

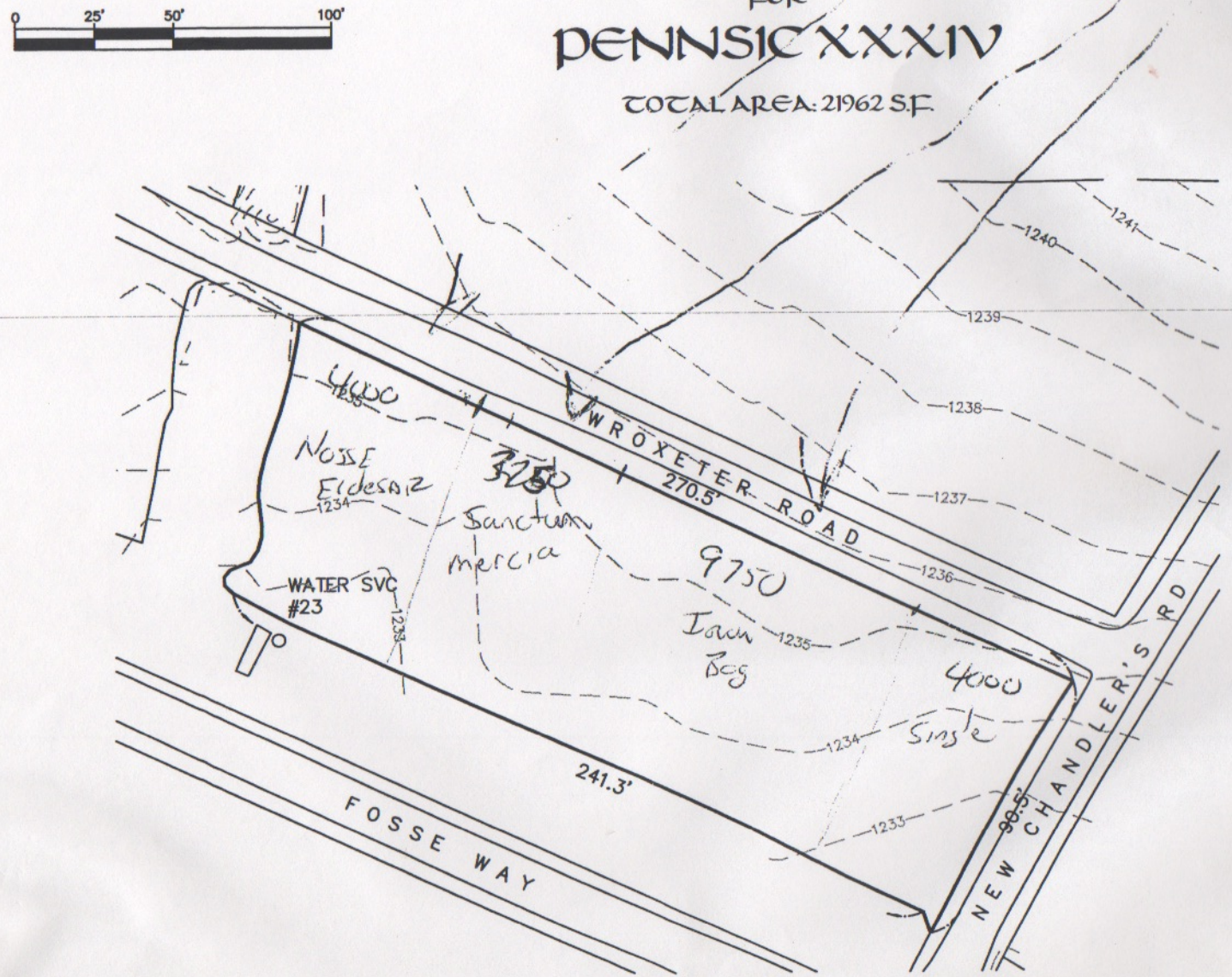

This map prepared by Geoffrey of Wroxeter, Pennsic Cartographer - © 2005 Eric Browning

INSERT A



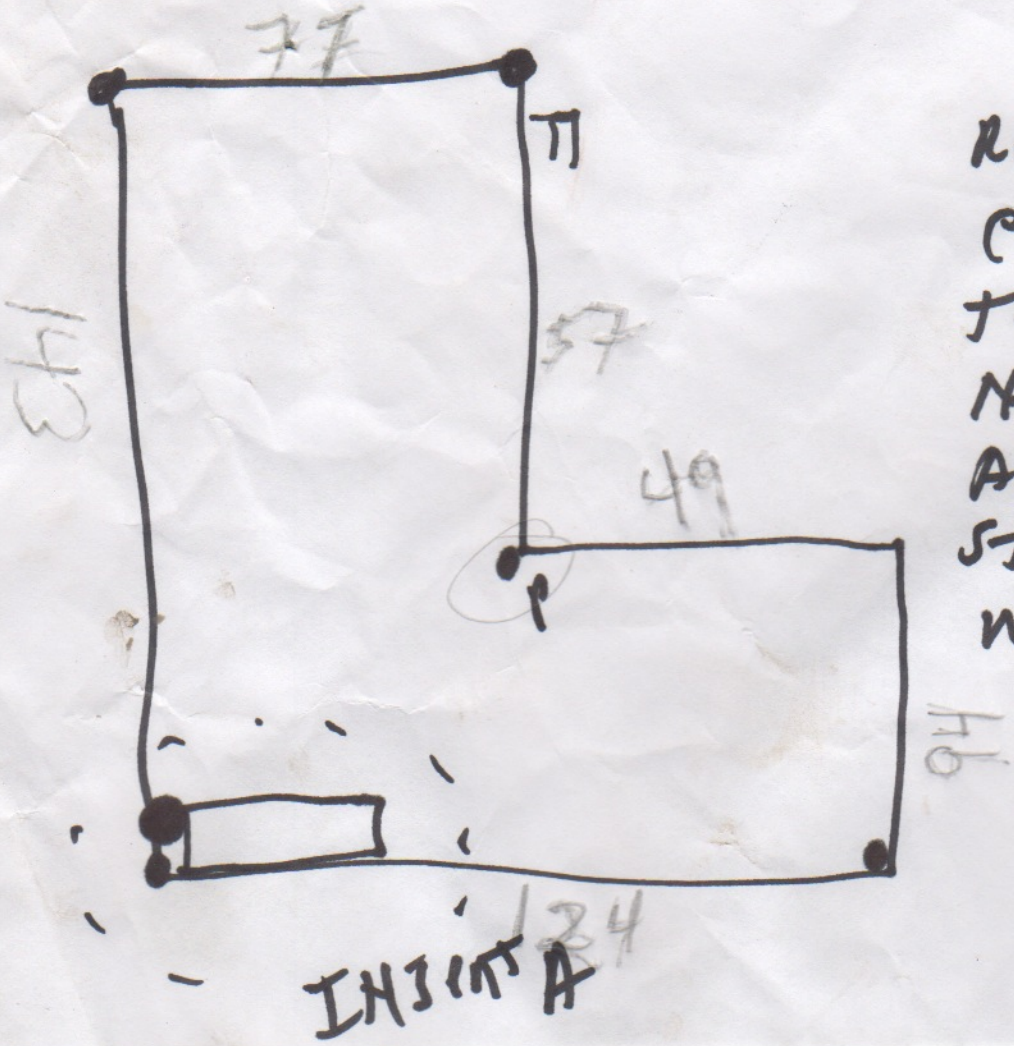

This Drawing Represents Visual Concepts only. The Designer is Not Qualified To Attest To Its Structural Worthiness

Home Crossbow TAMIAK Walshman - Highland Foorde - Siegfried Sebastian

Olach Lacha - Cynelle of

Colum Maxwell Home Longbow

Justinos Tehton called Justin Erevnite Asteron

Piers Campbell Clan Campbell of Dunlecran

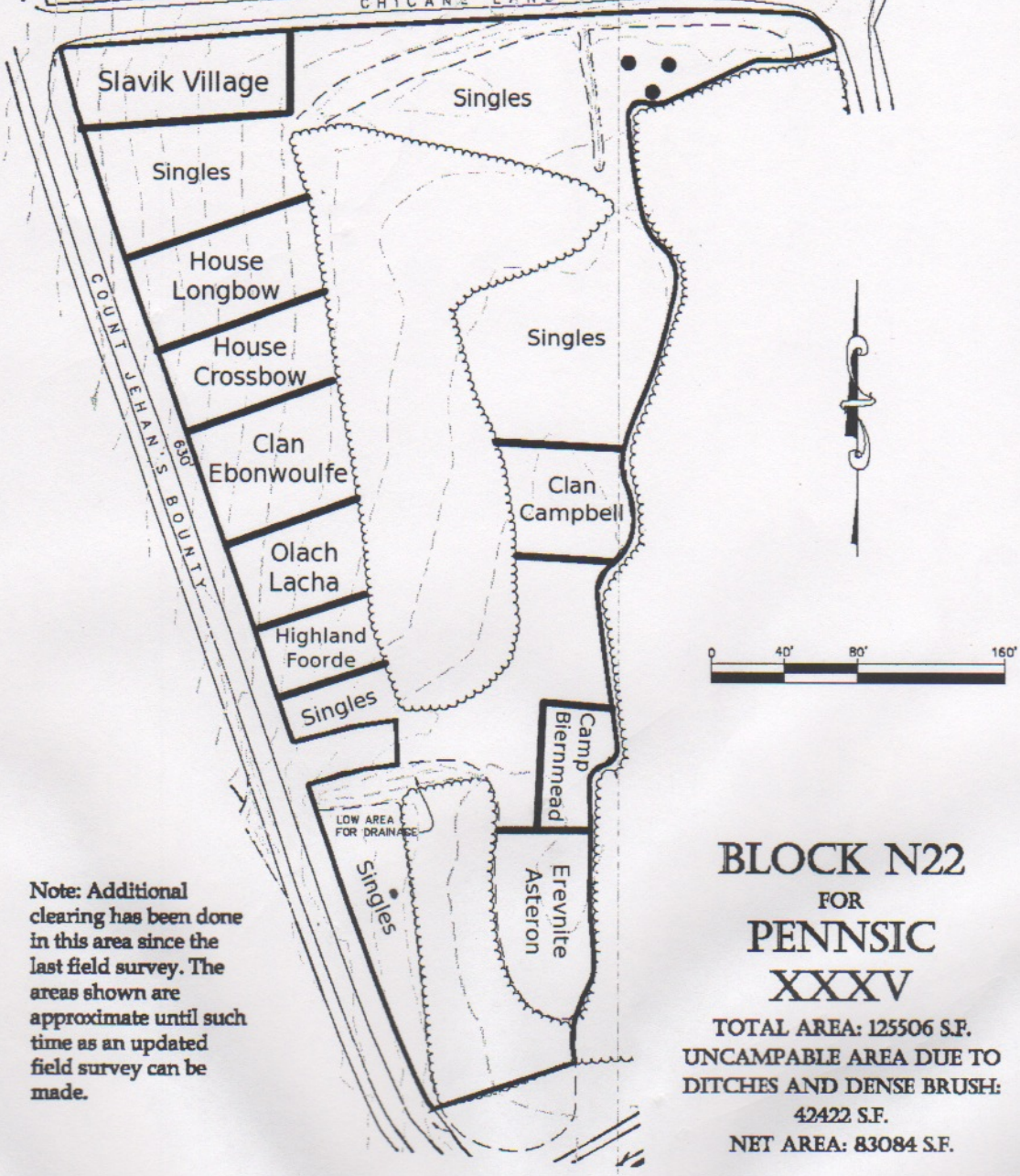

Note: Additional clearing has been done in this area since the last field survey. The areas shown are approximate until such time as an updated field survey can be made.

BLOCK N22
FOR
PENNSIC XXXV

TOTAL AREA: 125506 S.F.
UNCAMPABLE AREA DUE TO DITCHES AND DENSE BRUSH: 42422 S.F.
NET AREA: 83084 S.F.

This map prepared by Geoffrey of Wroxeter, Pennsic Cartographer - © 2004 Eric Browning

Logan Ebonwolfe

BLOCK N23

FOR

PENNSIC XXXIV

TOTAL AREA: 95208 S.F.

UNCAMPABLE AREA DUE TO DITCH: 19908 S.F.

PUBLIC AREAS (FOUR 3X3 SQUARES AROUND WATER SPIGOTS AND POWER POLES): 36 S.F.

NET AREA: 72564 S.F.

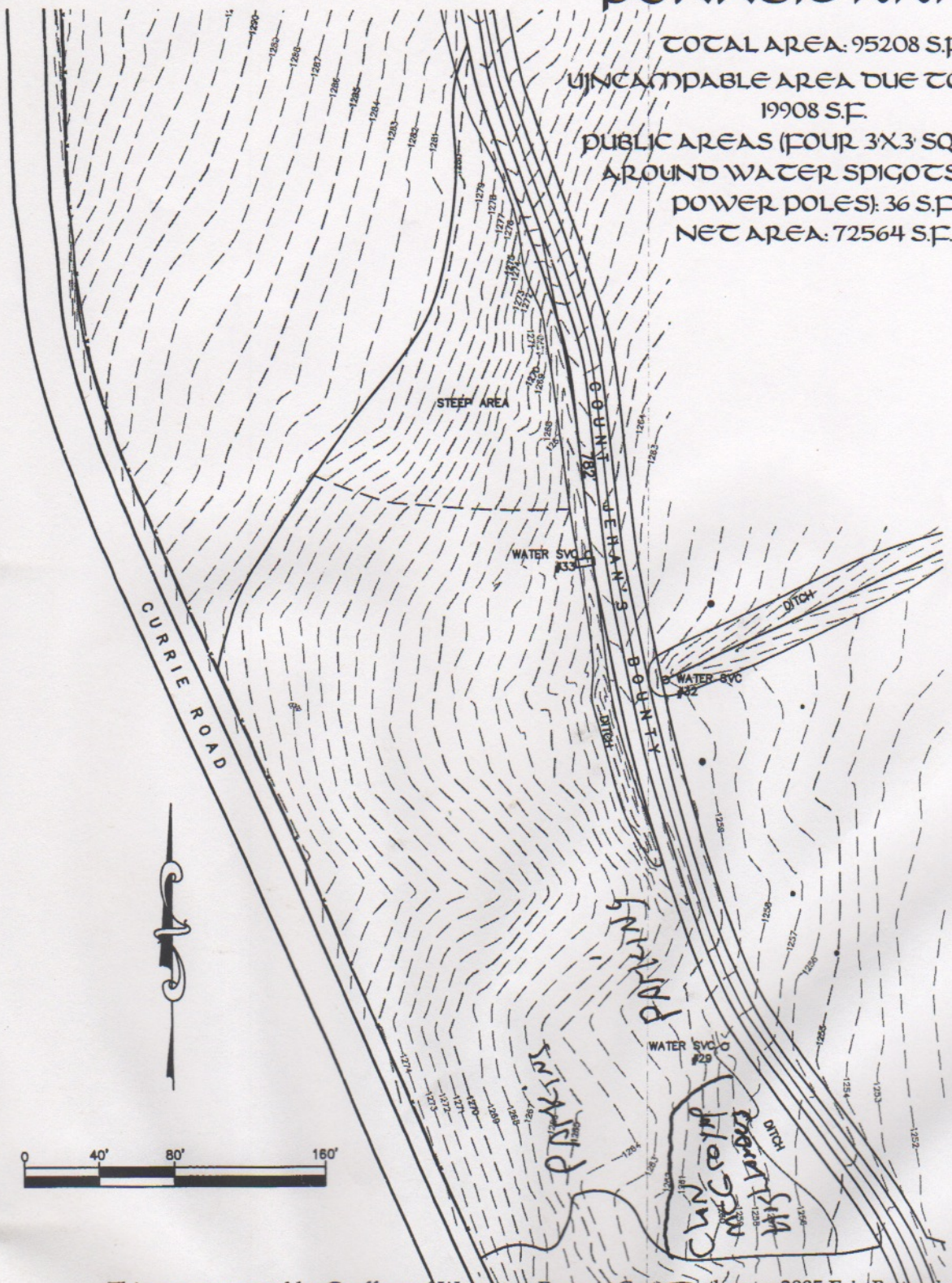

This map prepared by Geoffrey of Wroxeter, Pennsic Cartographer - © 2005 Eric Browning

BLOCK N24

FOR

PENNSIC XXXIV

TOTAL AREA: 42751 S.F.
WOODED AREA (80% CAMPABLE: 27230 S.F.
PUBLIC AREA (3'X3' SQUARE FEET AROUND WATER SPIGOT): 9 S.F.
NET AREA: 37296 S.F.

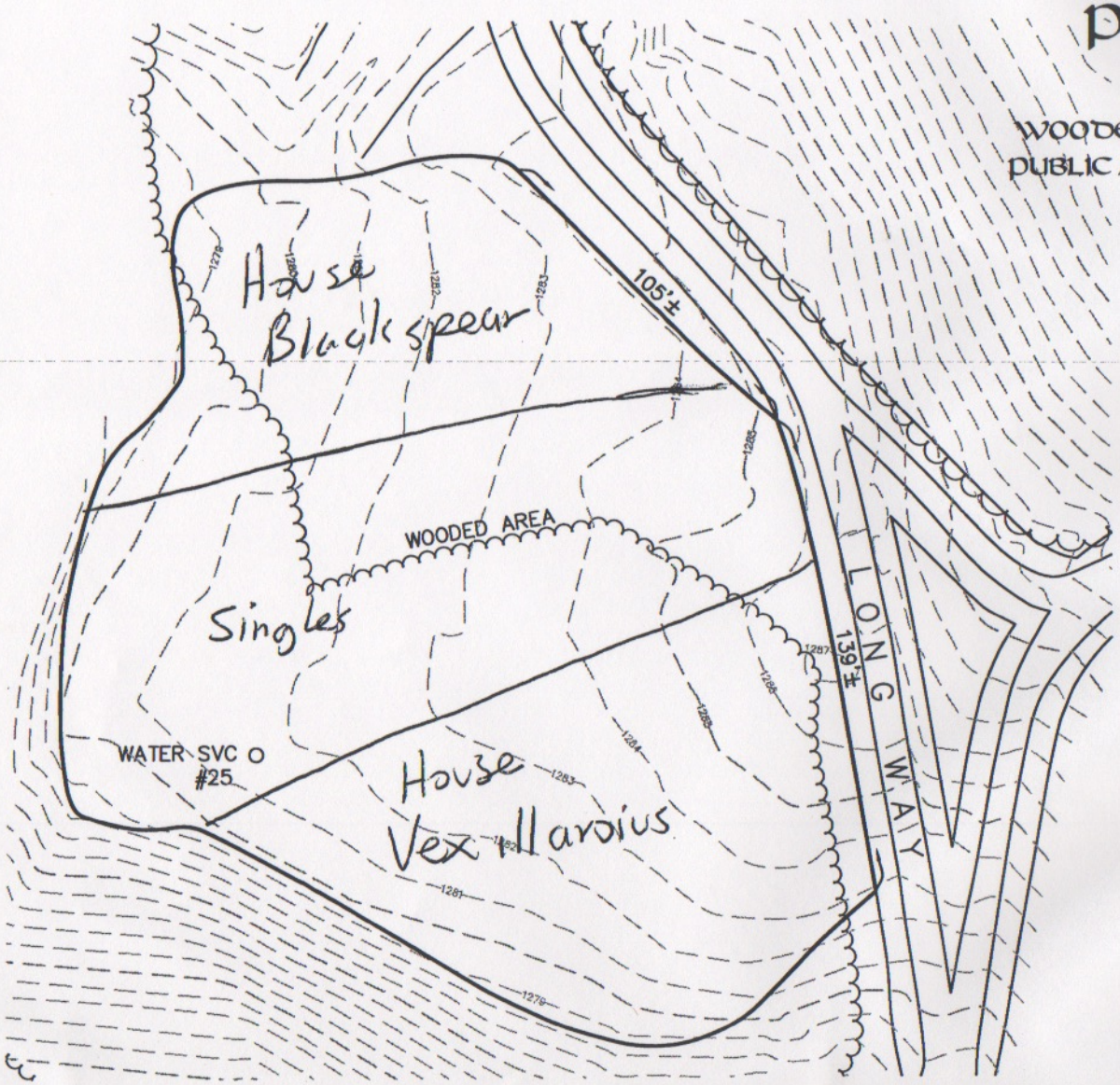

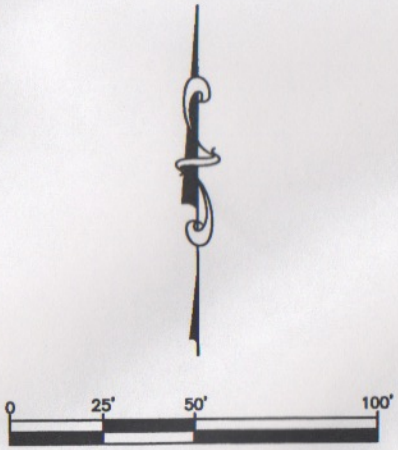

This map prepared by Geoffrey of Wroxeter, Pennsic Cartographer - © 2005 Eric Browning

BLOCK N25

FOR

PENNSIC XXXIV

TOTAL AREA: 13078 S.F.

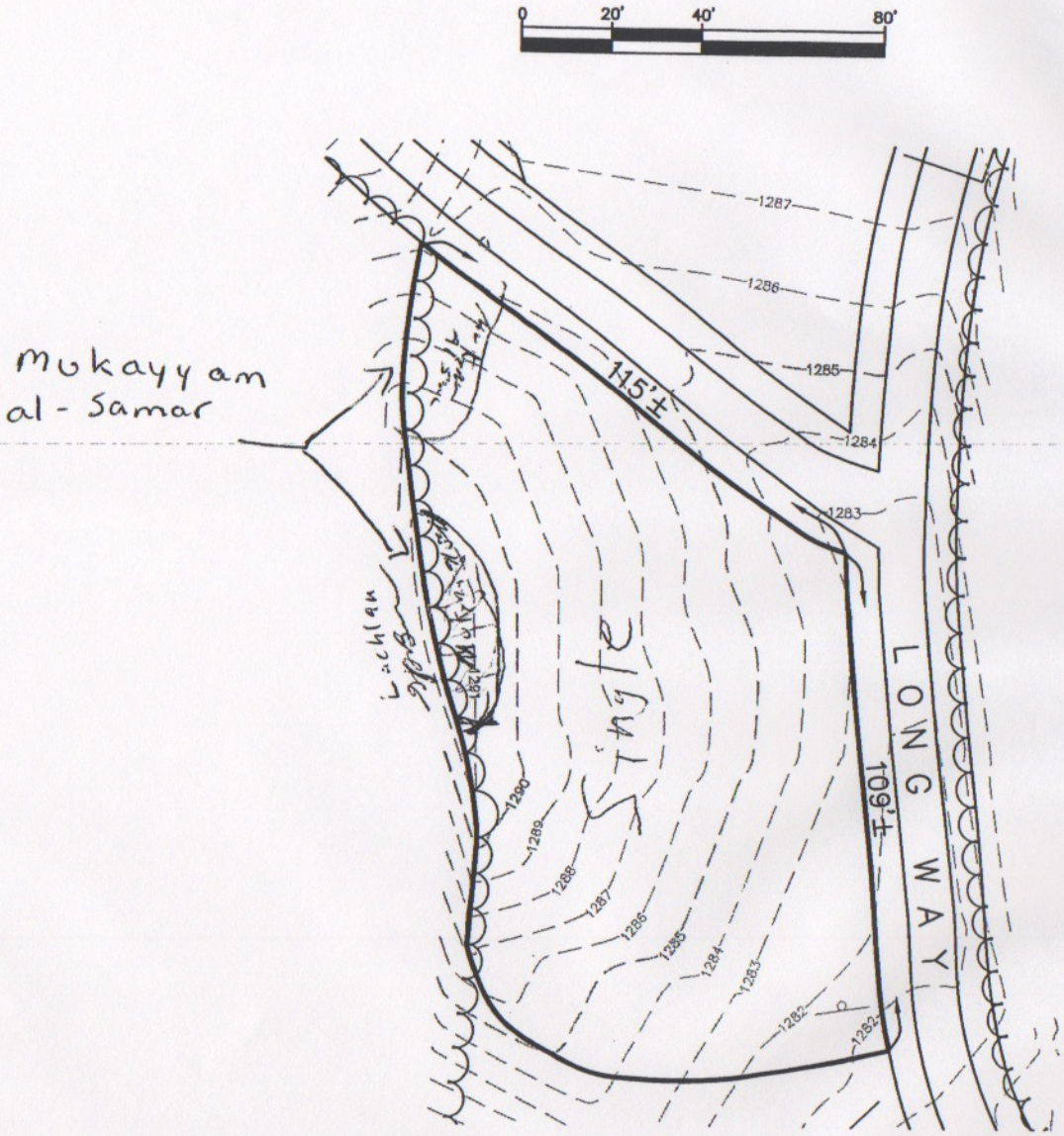

This map prepared by Geoffrey of Wroxeter, Pennsic Cartographer - © 2005 Eric Browning

BLOCK N26

FOR

PENNSIC XXXIV

TOTAL AREA: 9189 S.F.
PUBLIC AREA (TWO 3'X3' SQUARES AROUND WATER SPIGOTS): 18 S.F.
NET AREA: 9171 S.F.

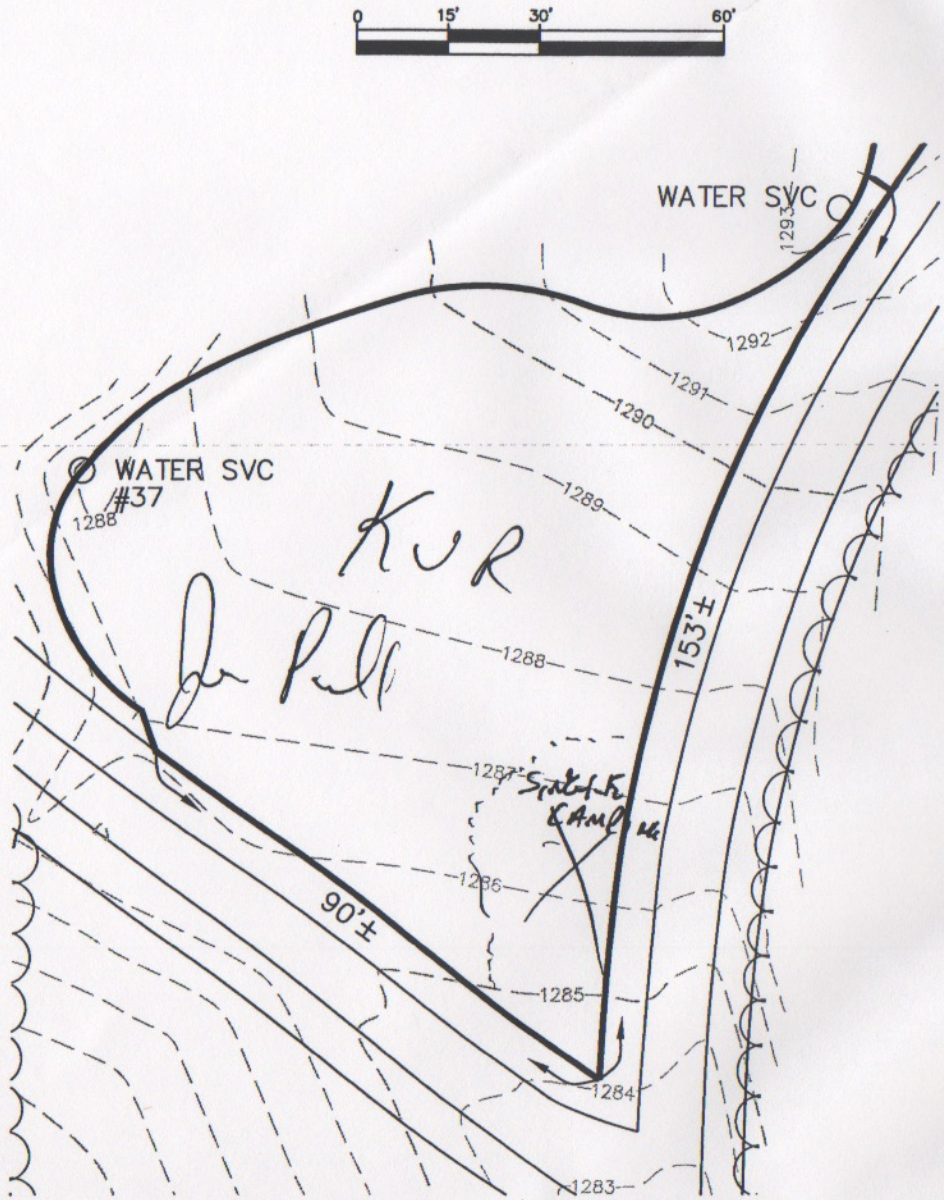

This map prepared by Geoffrey of Wroxeter, Pennsic Cartographer - © 2005 Eric Browning

BLOCK N27

FOR

PENNSIC XXXIV

TOTAL AREA: 35445 S.F.

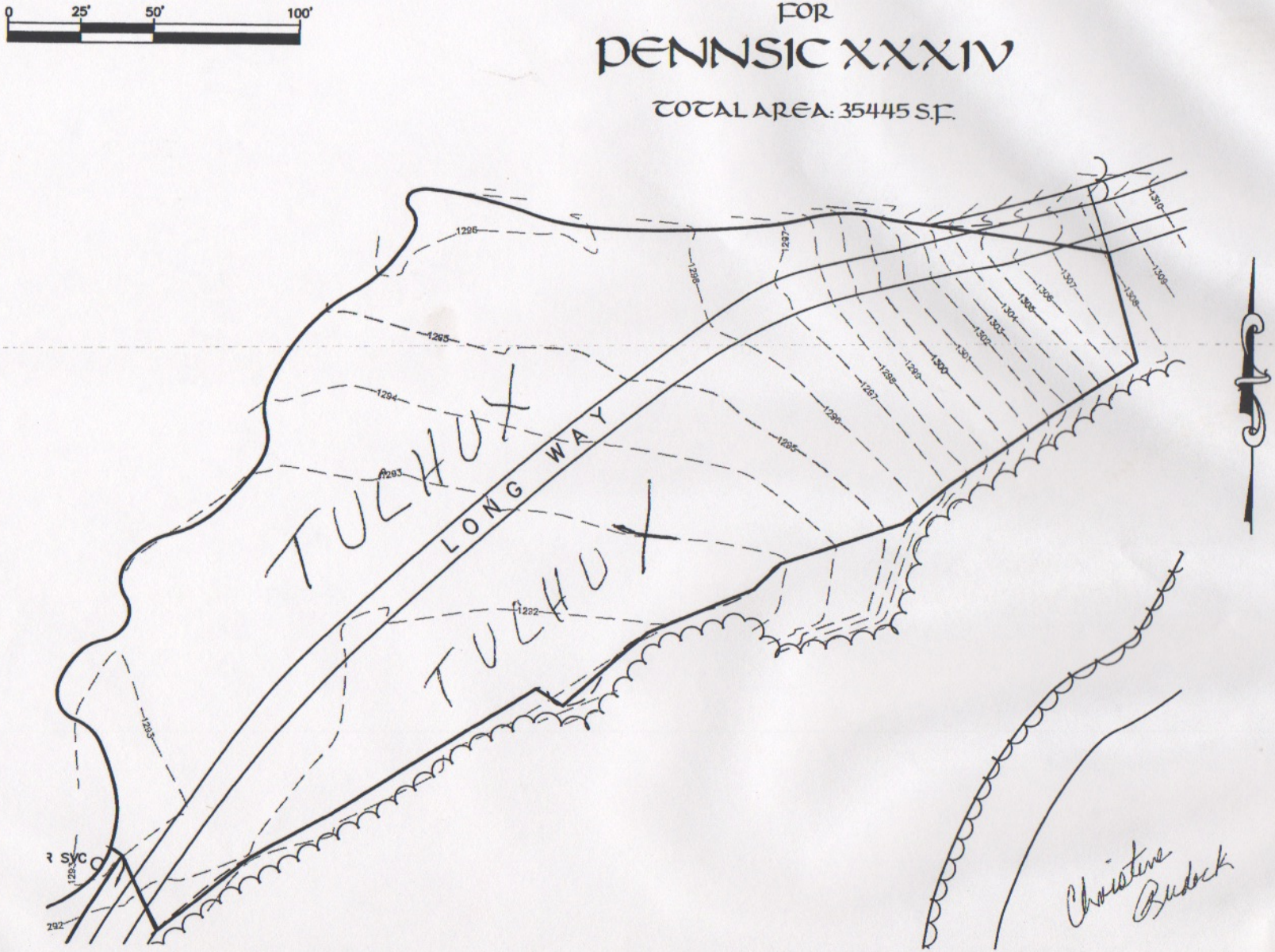

This map prepared by Geoffrey of Wroxeter, Pennsic Cartographer - © 2005 Eric Browning

X = Put a pin/cap

BLOCK N28 + 38

FOR

PENNSIC XXXIV

TOTAL AREA: 191940 S.F.

WOODED AREA (80% CAMPABLE): 58020 S.F.

Uncampable Areas Due to Drainage Ditch: 3380 s.f.

public area (three 3'x3' squares around water spigots): 27 s.f.

NET AREA: 176929 S.F.

28

This map prepared by Geoffrey of Wroxeter, Pennsic Cartographer - © 2005 Eric Browning

BLOCK N29

FOR

PENNSIC XXXIV

TOTAL AREA: 69704 S.F.
UNCAMPABLE AREA DUE TO DITCH: 2884 S.F.
NET AREA: 66820 S.F.

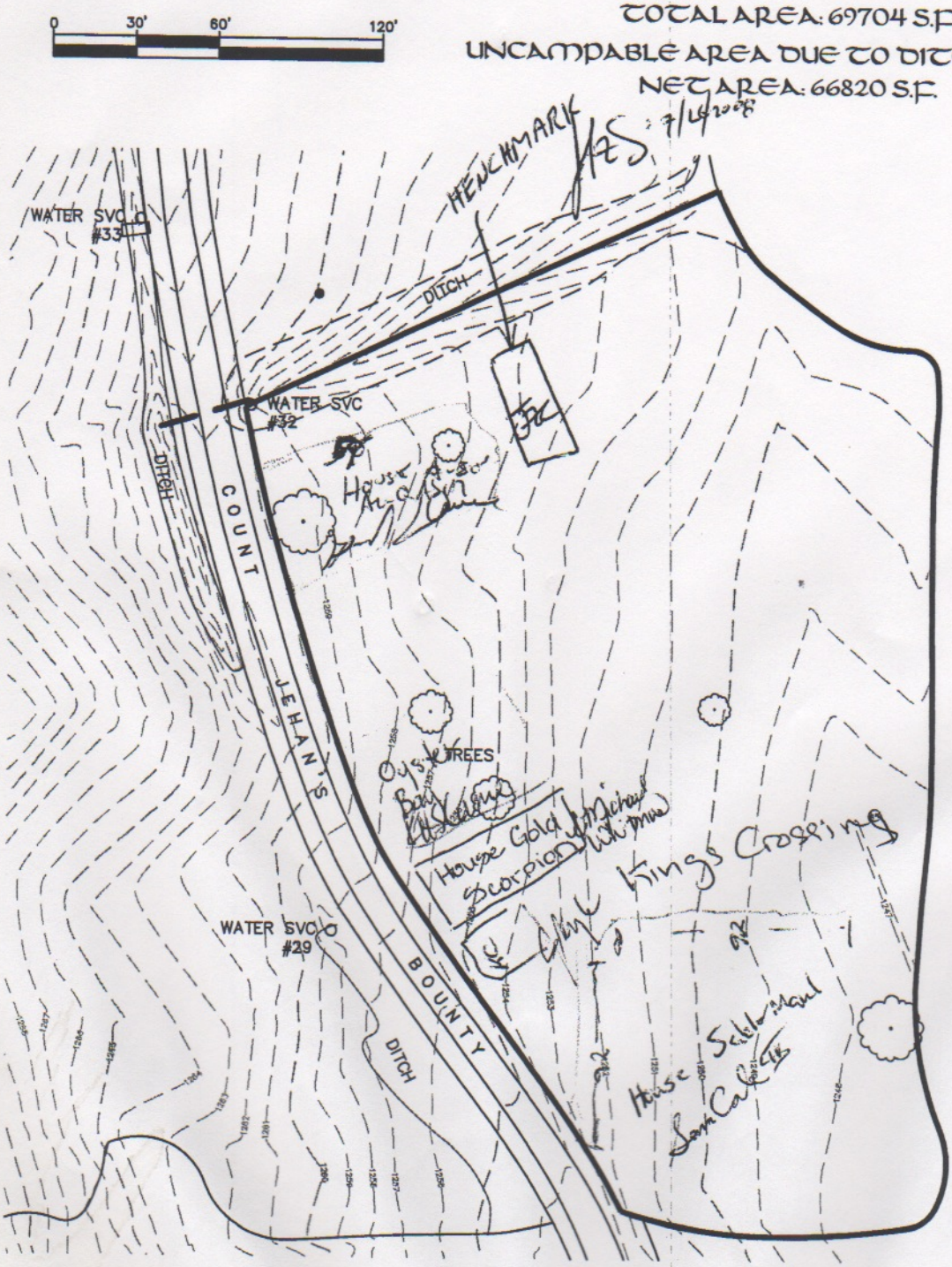

This map prepared by Geoffrey of Wroxeter, Pennsic Cartographer - © 2005 Eric Browning

BLOCK N30

FOR

PENNSIC XXXIV

TOTAL AREA: 67217 S.F.
PUBLIC AREA (3'X3' SQUARE AROUND WATER SPIGOT): 9 S.F.
NET AREA: 67208 S.F.

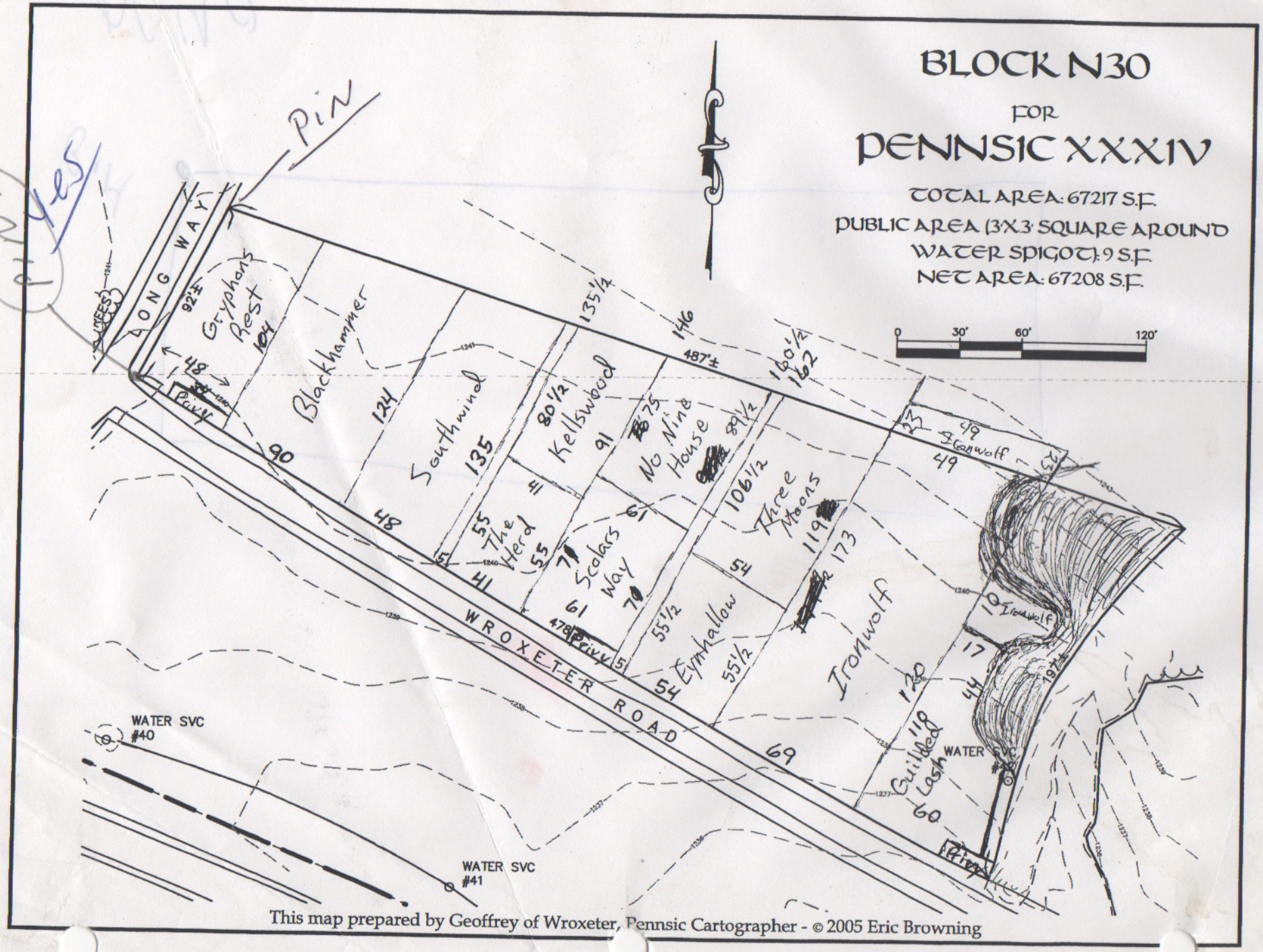

This map prepared by Geoffrey of Wroxeter, Pennsic Cartographer - © 2005 Eric Browning



B.M

B.M

N 40

Thunderkeep Distrew Pet

PIN CLAP

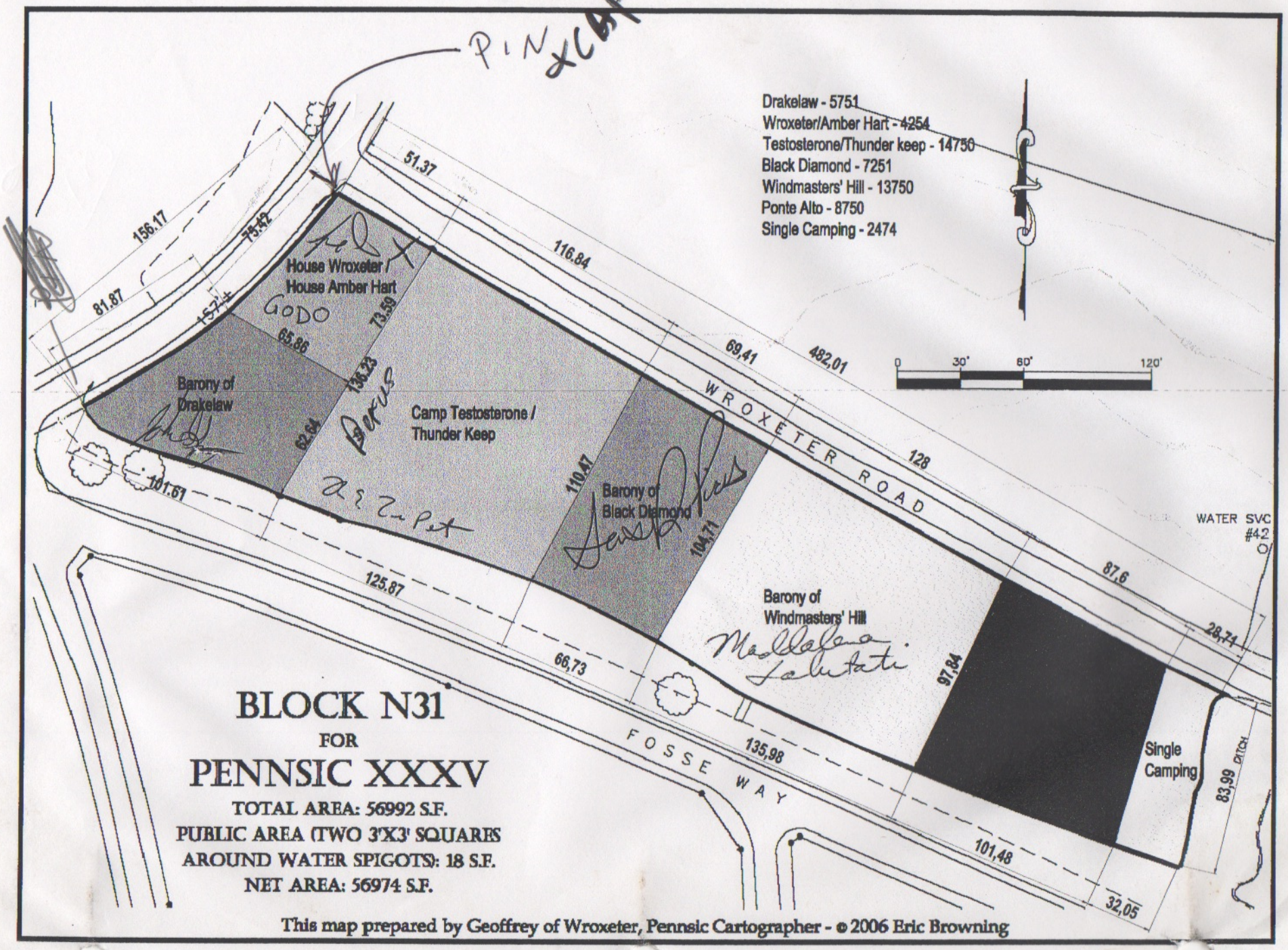

BLOCK N31
FOR
PENNSIC XXXV

TOTAL AREA: 56992 S.F.
PUBLIC AREA (TWO 3'X3' SQUARES AROUND WATER SPIGOTS): 18 S.F.
NET AREA: 56974 S.F.

This map prepared by Geoffrey of Wroxeter, Pennsic Cartographer - © 2006 Eric Browning

BLOCK N32

FOR

PENNSIC XXXIV

TOTAL AREA: 35048 S.F.

0 25' 50' 100'

This map prepared by Geoffrey of Wroxeter, Pennsic Cartographer - © 2005 Eric Browning

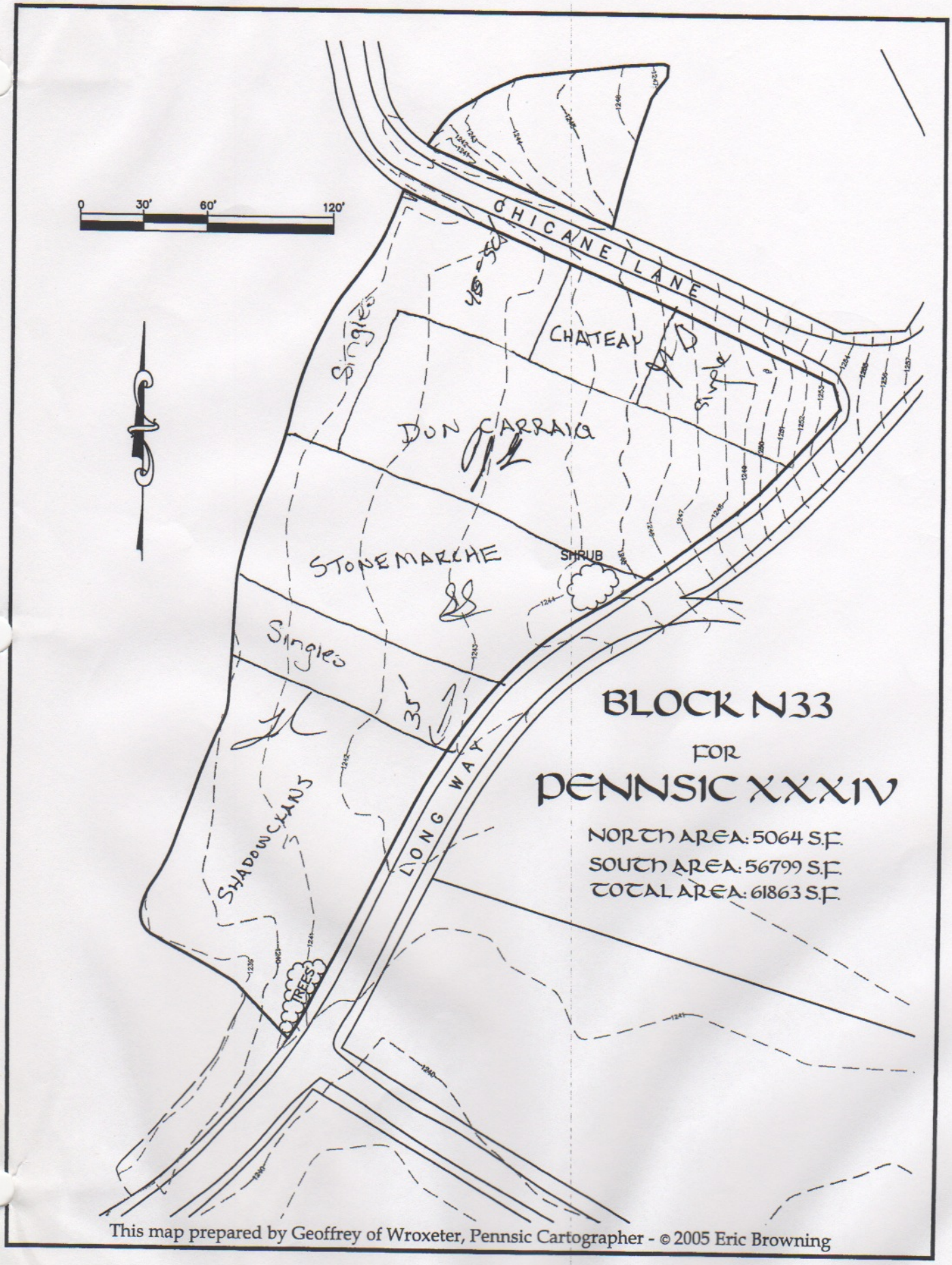

This map prepared by Geoffrey of Wroxeter, Pennsic Cartographer - © 2005 Eric Browning

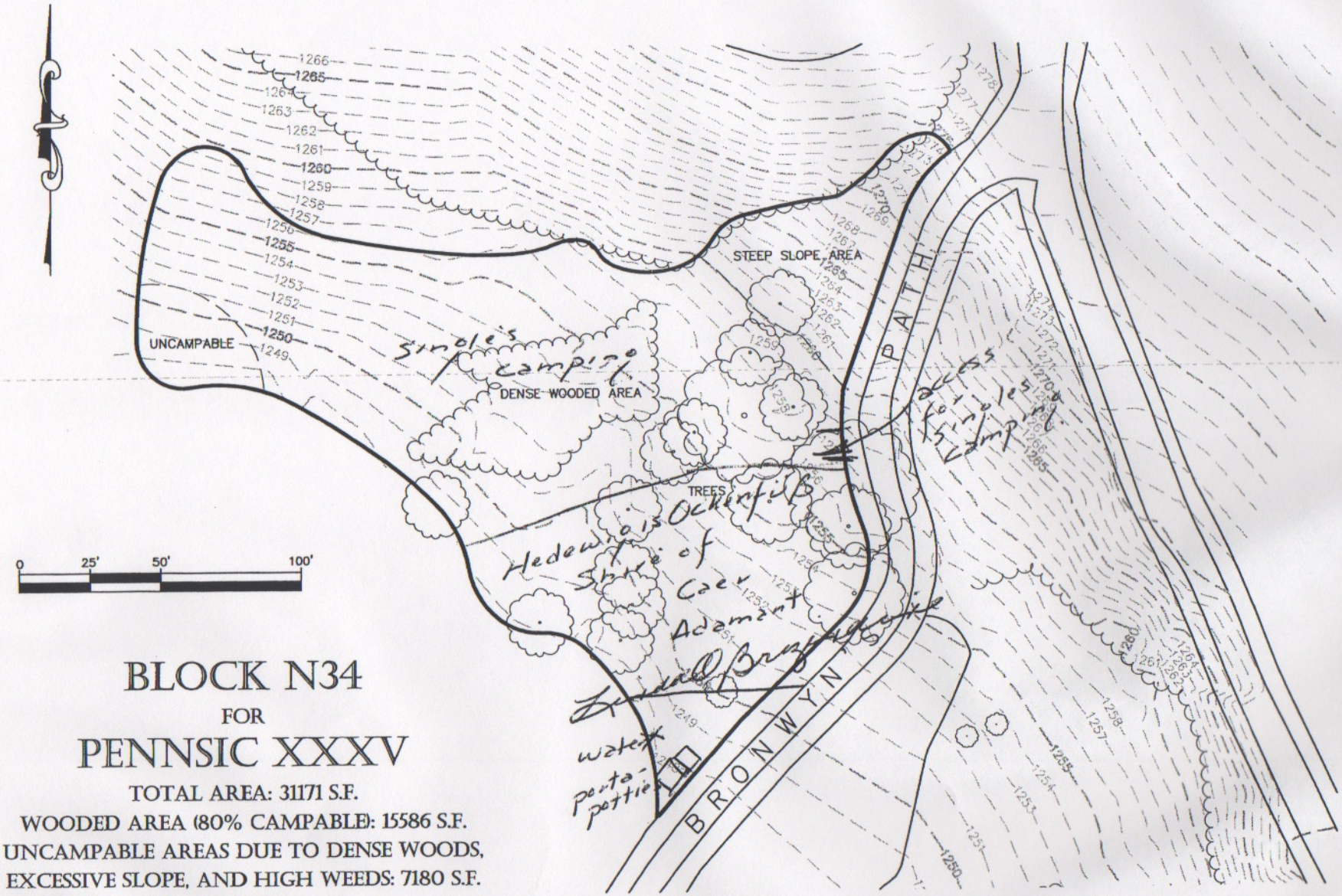

BLOCK N34

FOR

PENNSIC XXXV

TOTAL AREA: 31171 S.F.

WOODED AREA (80% CAMPABLE): 15586 S.F.

UNCAMPABLE AREAS DUE TO DENSE WOODS, EXCESSIVE SLOPE, AND HIGH WEEDS: 7180 S.F.

NET AREA: 20874 S.F.

This map prepared by Geoffrey of Wroxeter, Pennsic Cartographer - © 2006 Eric Browning

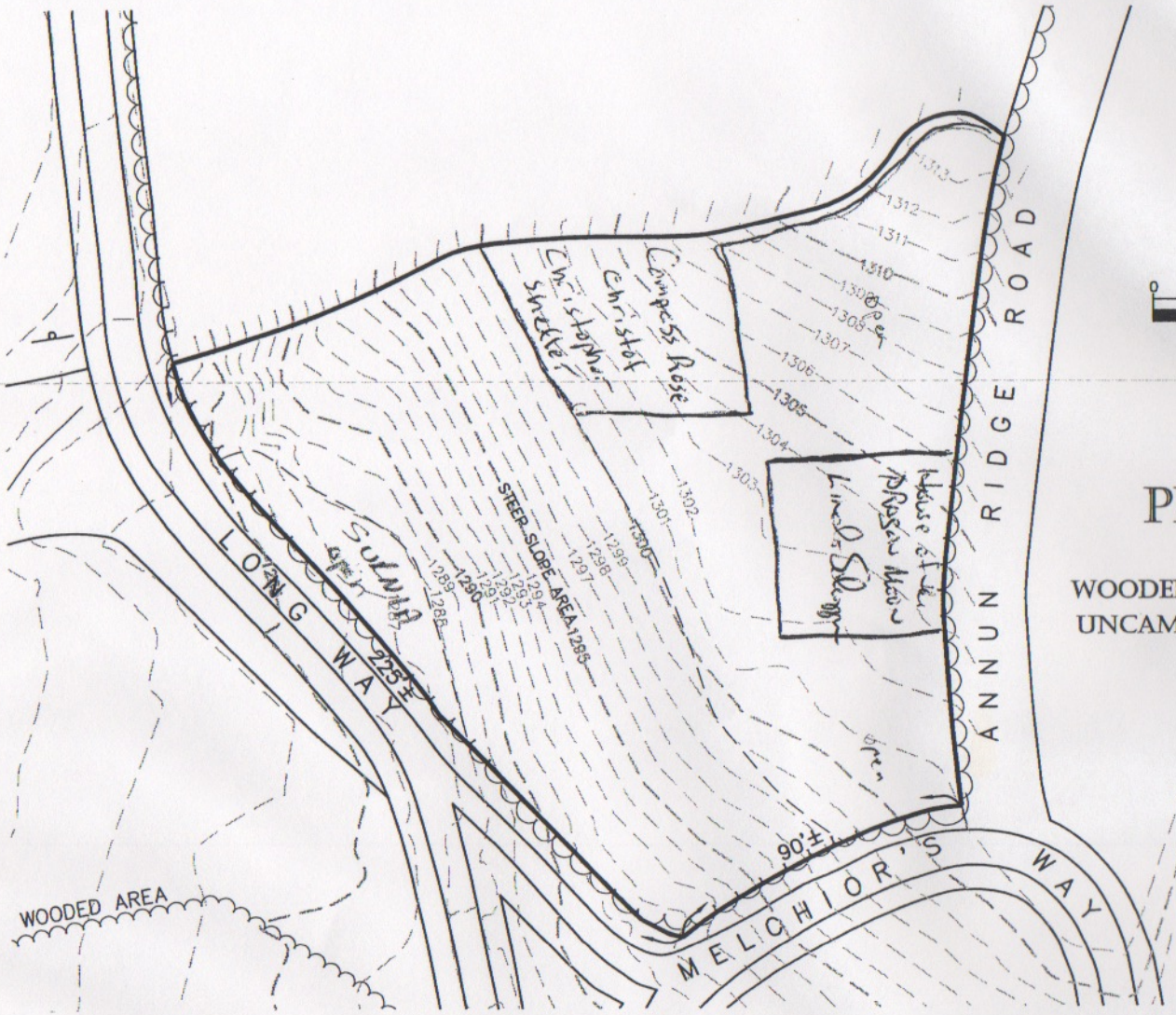

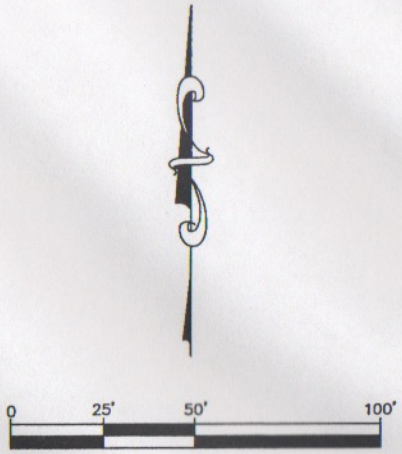

BLOCK N35

FOR

PENNSIC XXXV

TOTAL AREA: 33449 S.F.

WOODED AREA (80% CAMPABLE): 33449 S.F.

UNCAMPABLE AREA DUE TO STEEP SLOPE: 14433 S.F.

NET AREA: 12326 S.F.

This map prepared by Geoffrey of Wroxeter, Pennsic Cartographer - © 2006 Eric Browning

BLOCK W01
FOR
PENNSIC XXXV

TOTAL AREA: 45995 S.F.
PUBLIC AREA (SIX 3'X3' SQAURES AROUND WATER SPIGOTS): 54 S.F.
NET AREA: 45941 S.F.

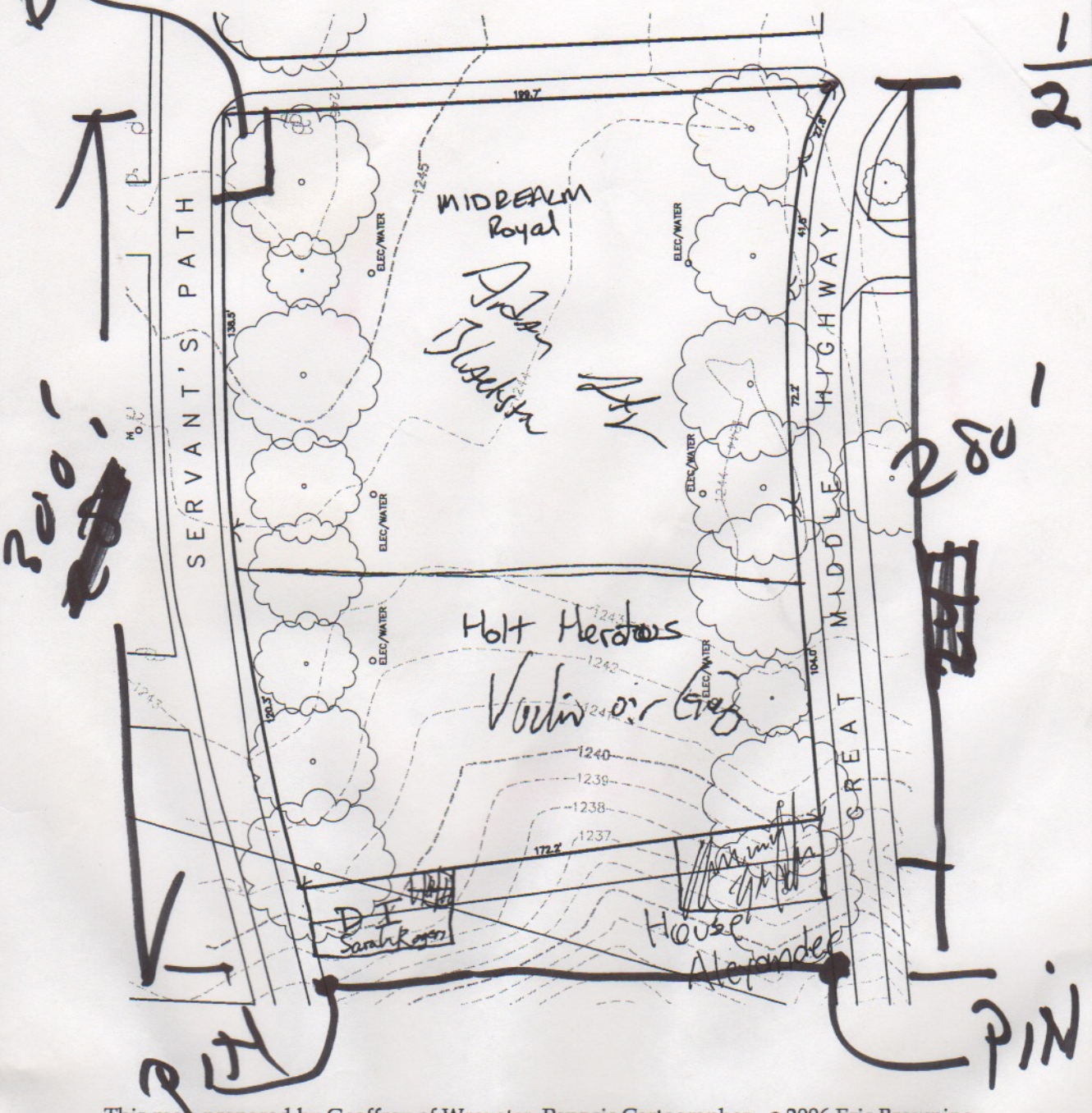

This map prepared by Geoffrey of Wroxeter, Pennsic Cartographer - © 2006 Eric Browning

BLOCK W02

FOR

PENNSIC XXXV

TOTAL AREA: 28389 S.F.

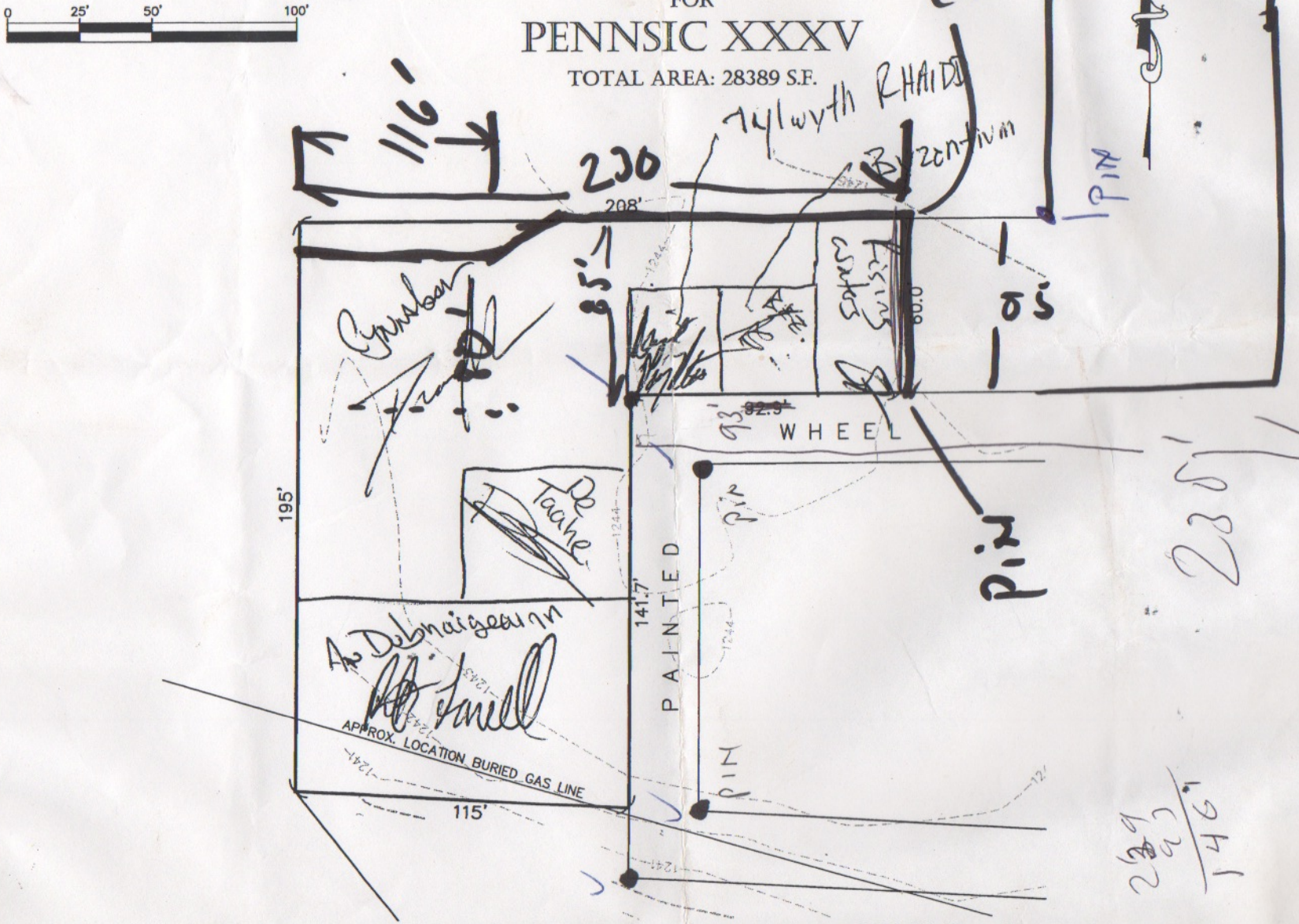

This map prepared by Geoffrey of Wroxeter, Pennsic Cartographer - © 2006 Eric Browning

BLOCK W03
FOR
PENNSIC XXXV

TOTAL AREA: 26639 S.F.

PUBLIC AREA (3'X3' SQUARE AROUND WATER SPIGOT): 9 S.F.

NET AREA: 26630 S.F.

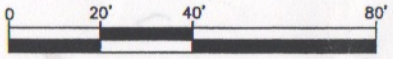

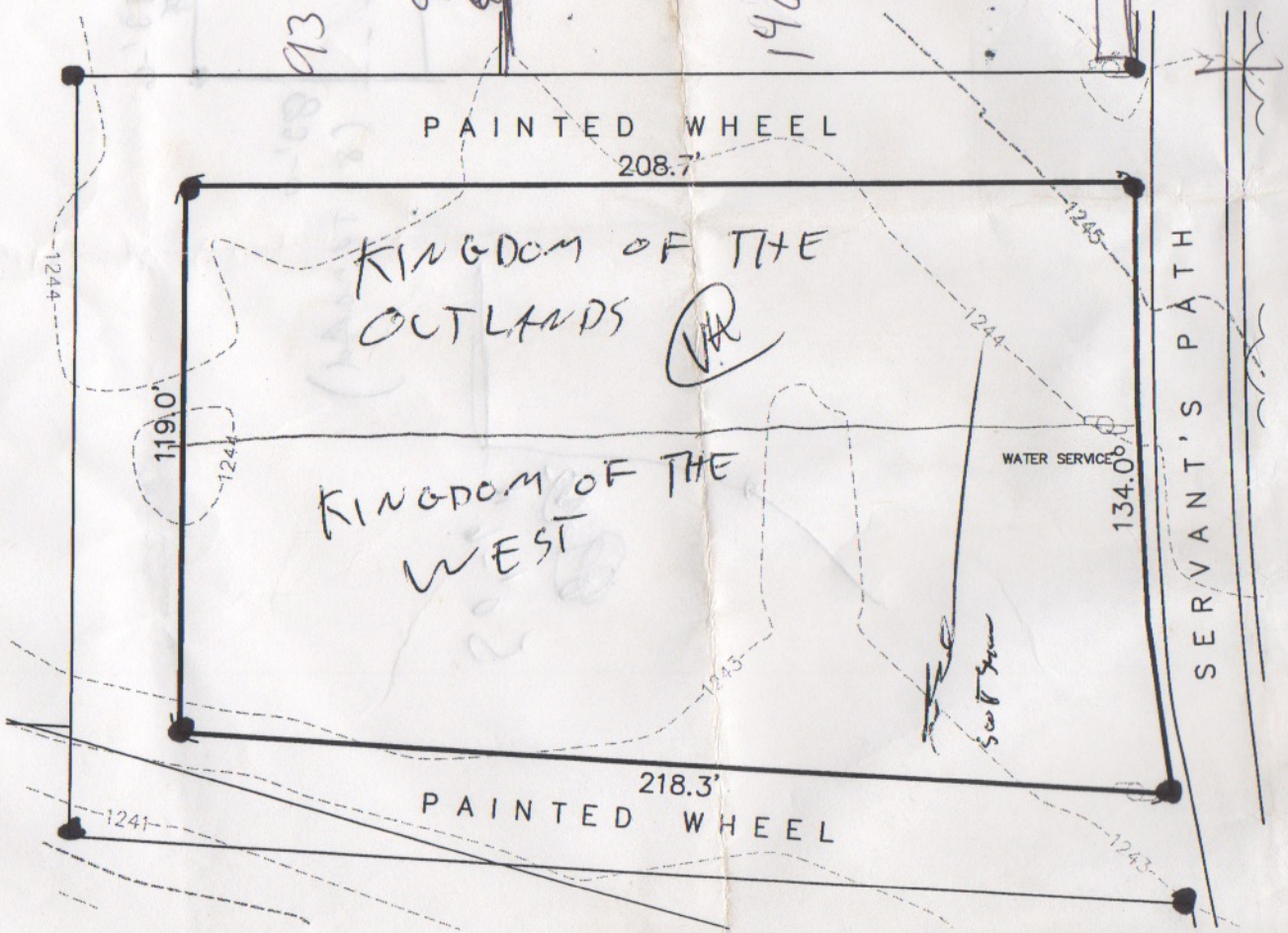

This map prepared by Geoffrey of Wroxeter, Pennsic Cartographer - © 2006 Eric Browning

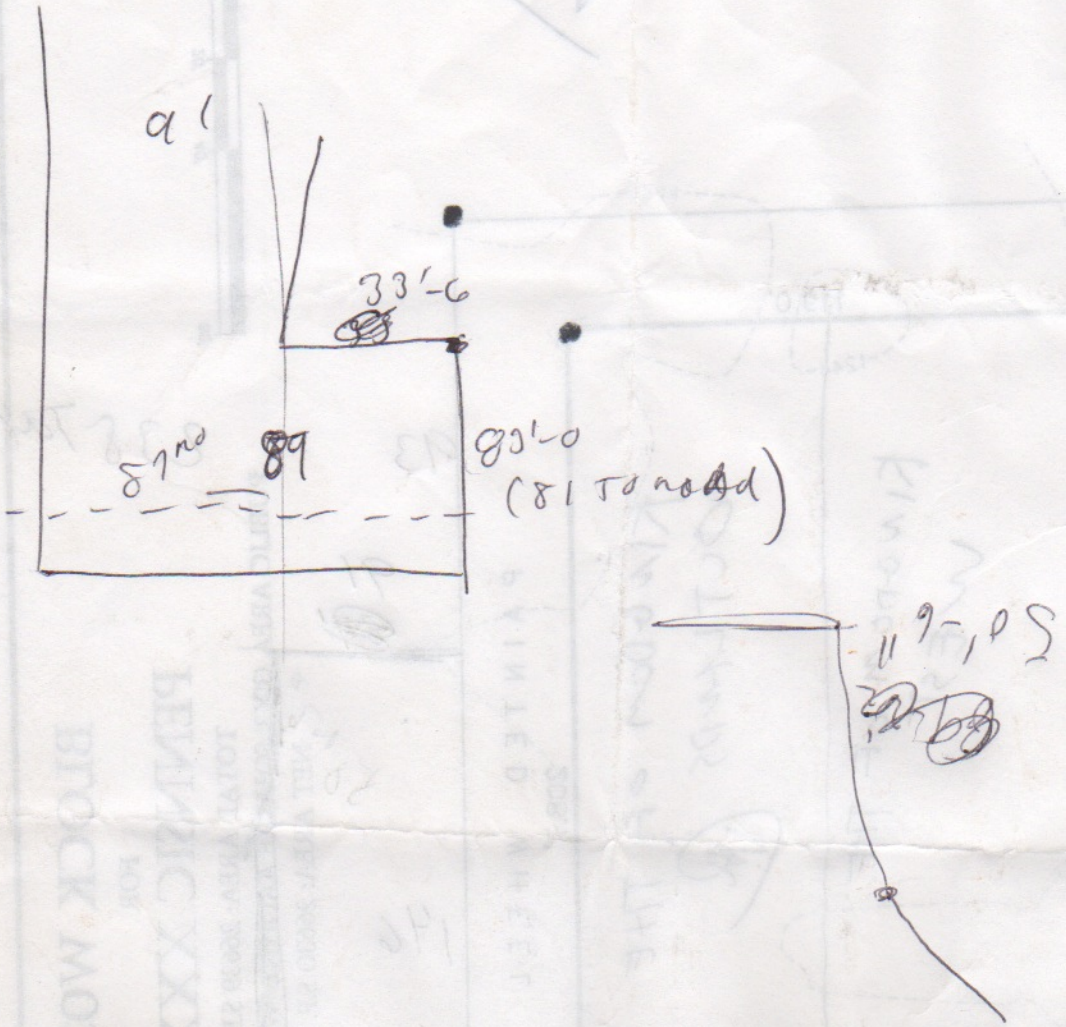
a'
33'-6
87nd
89
89'-0
(81 To road)
119'-0

W05

9825 S.F.

NET AREA: 33807

BLOCK W06

FOR

PENNSIC XXXV

TOTAL AREA: 45119 S.F.
UNCAMPABLE AREA DUE TO DITCH: 5224 S.F.
WOODED AREA (80% CAMPABLE): 45119 S.F.
CAMPABLE AREA: 30871 S.F.

0 30' 60' 120'

This map prepared by Geoffrey of Wroxeter, Pennsic Cartographer - © 2006 Eric Browning

Darius Lovar + Flaming Griphon
Alex Stuart
Graham Sternberg
Dawn Sparks

BLOCK W07
FOR
PENNSIC XXXV

TOTAL AREA: 54898 S.F.
PUBLIC AREA (THREE 3'X3' SQUARES AROUND WATER SPIGOTS): 27 S.F.
NET AREA: 54871 S.F.

0 30' 60' 120'

Pin

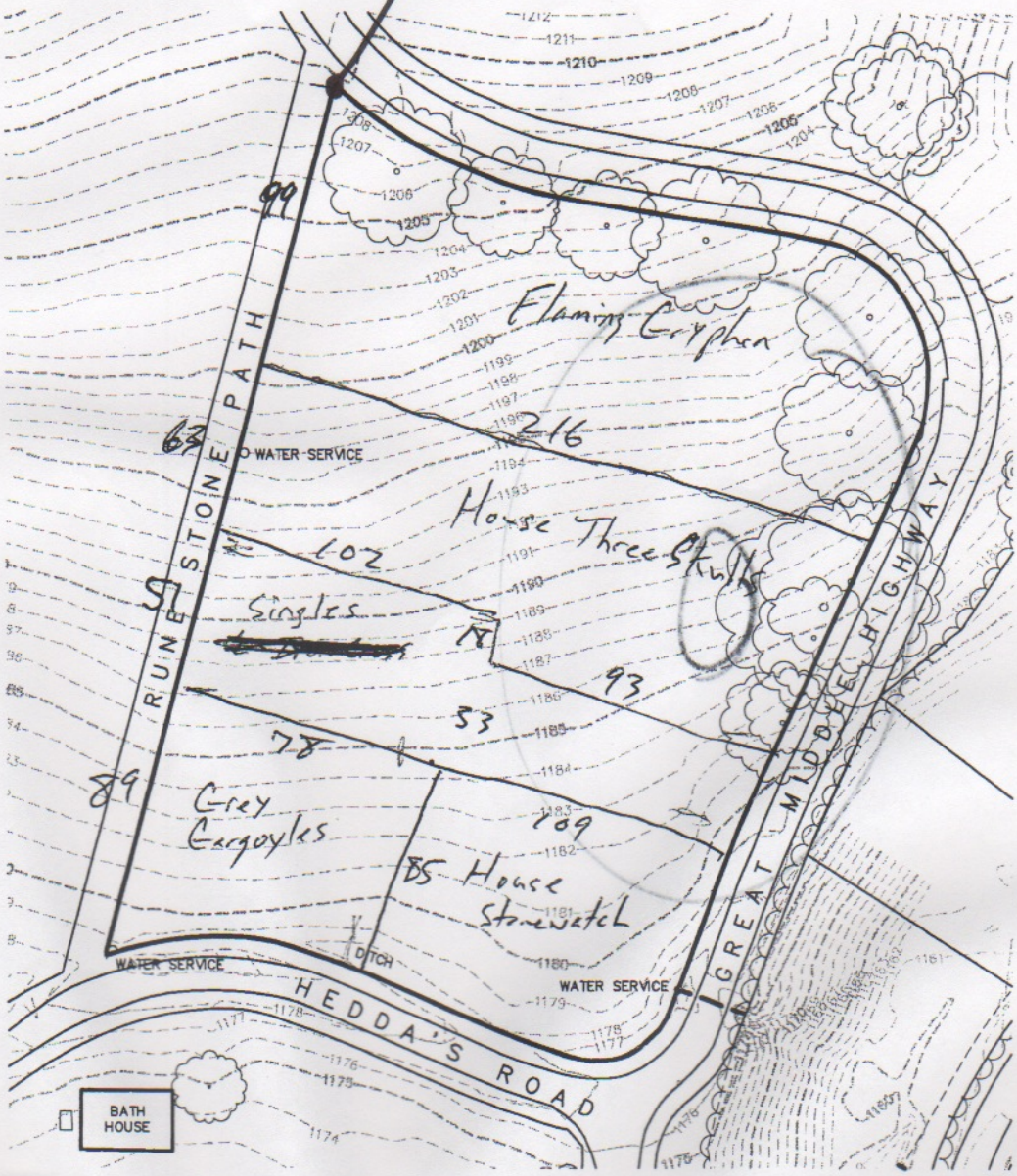

This map prepared by Geoffrey of Wroxeter, Pennsic Cartographer - © 2006 Eric Browning

BLOCK W08

FOR

PENNSIC XXXV

TOTAL AREA: 42167 S.F.

UNCAMPABLE AREA DUE TO ELECTRIC POLE AND SERVICE PANEL: 28 S.F.

NET AREA: 42139 S.F.

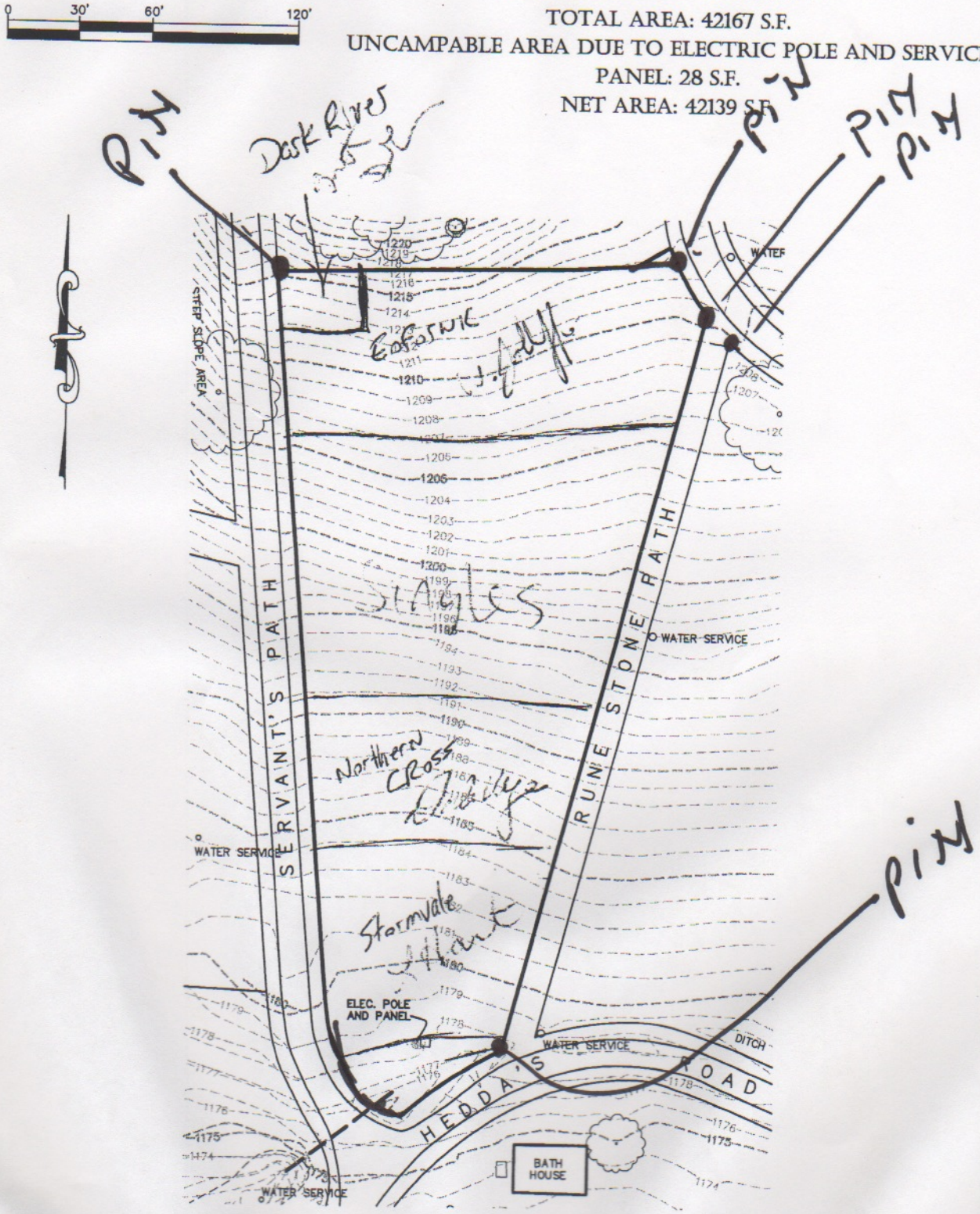

This map prepared by Geoffrey of Wroxeter, Pennsic Cartographer - © 2006 Eric Browning

BLOCK W09

FOR

PENNSIC XXXV

TOTAL AREA: 73128 S.F.
WODDED AREA (80% CAMPABLE): 73128 S.F.
UNCAMPABLE AREA TO TO EXCESSIVE SLOPE: 3202 S.F.
PUBLIC AREA (3'X3' SQUARE AROUND WATER SPIGOT): 9 S.F.
NET AREA: 55291 S.F.

House Felicity
Felicity Flubbmillion
Felicity Flubbmillion
Carolyn Eaton

House Iron Maiden
Aramanthra the Vicious

Morgon Gan
Gaping Maw
Gwendolyn

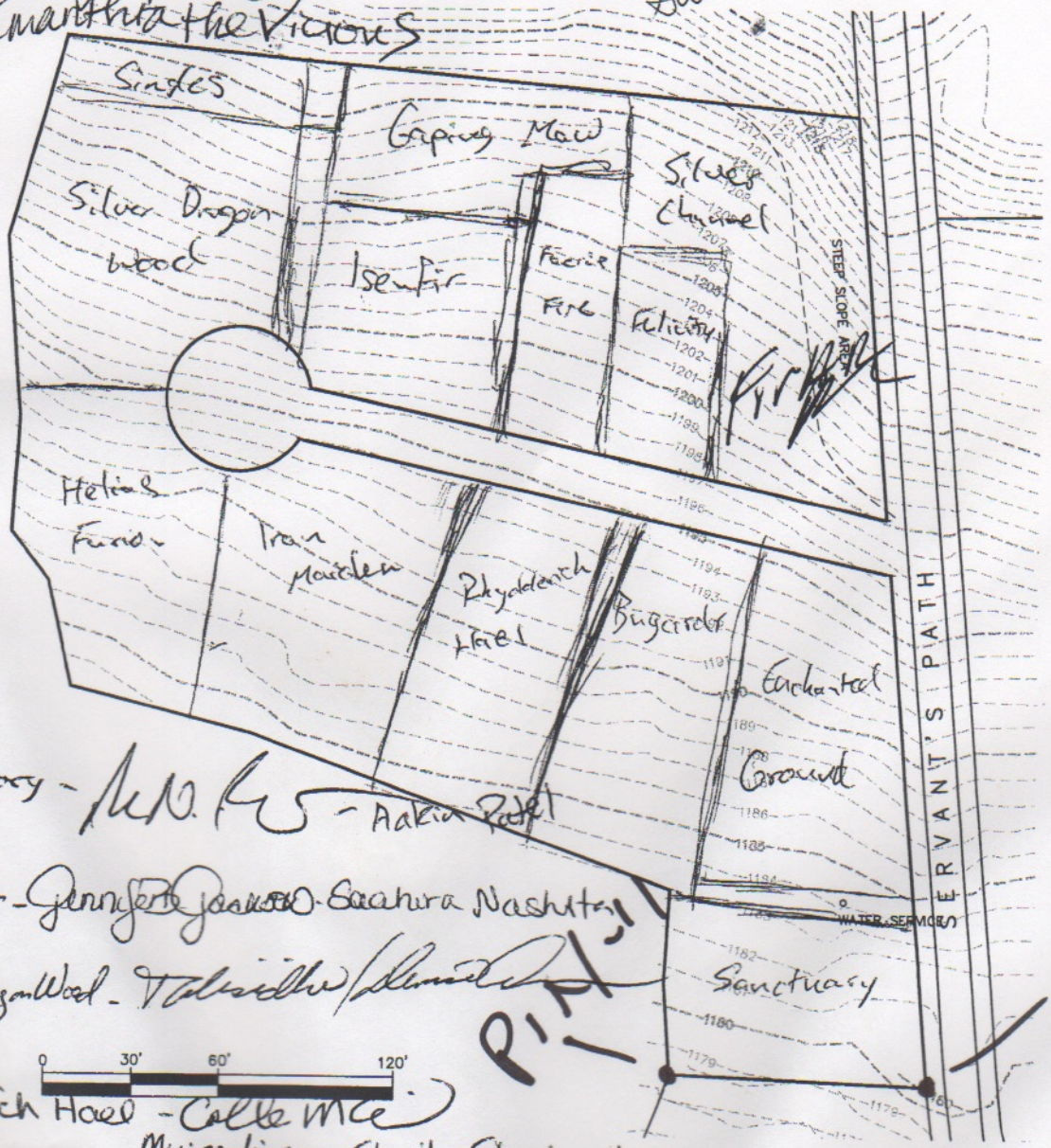

Faerie Fire
Baron Angus Tailor

Helias Fano
Dilwalin

Sanctuary - Aakia Rahl

Isenfir - Jennifer Jackson - Saahira Nashita

Silver Dragon Wood -

Rhydderich Hael - Colle McC

Muirgelingen Ghiolla Chomhgaill

0 30' 60' 120'

This map prepared by Geoffrey of Wroxeter, Pennsic Cartographer - © 2006 Eric Browning

Bugeilder -
Enchanted Ground -

BLOCK W10

FOR

PENNSIC XXXV

TOTAL AREA: 51904 S.F.

WOODED AREA (80% CAMPABLE): 41735 S.F.

PUBLIC AREA (3'X3' SQUARE AROUND WATER SPIGOT): 9 S.F.

NET AREA: 43548 S.F.

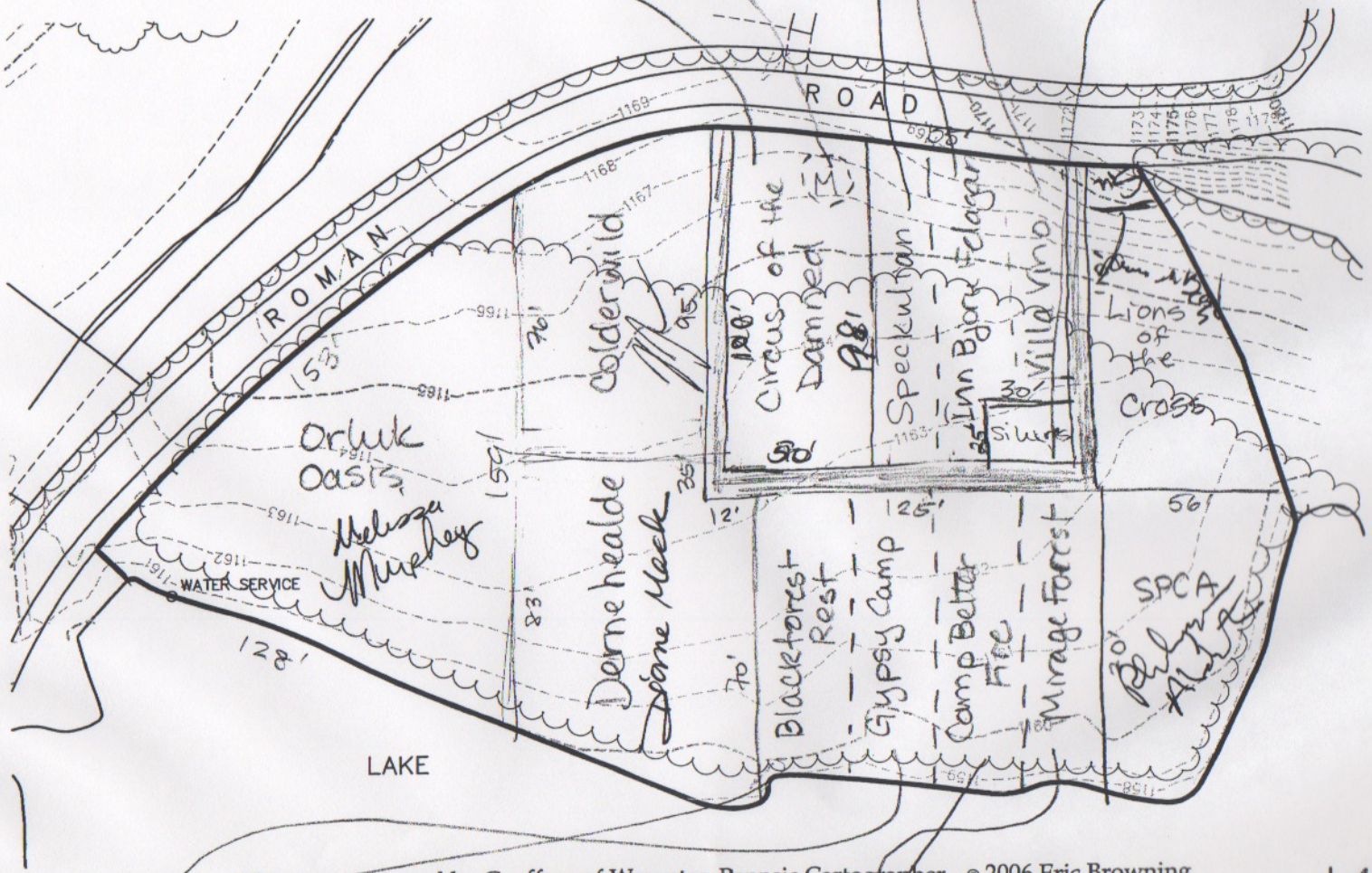

This map prepared by Geoffrey of Wroxeter, Pennsic Cartographer - © 2006 Eric Browning

Circus of the Damned

Clan MacDonald

Speckulian

Inn Bjoru Felagar

Villa Vino

Silures

Blackforest Rest

Camp Better Fire

Mirage Forest

BLOCK W11

FOR

PENNSIC XXXV

TOTAL AREA: 18287 S.F.

UNCAMPABLE AREA DUE TO DITCH: 10486 S.F.

ROAD AREA: 1068 S.F.

WOODED AREA (80% CAMPABLE): 7801 S.F.

CAMPABLE AREA: 5173 S.F.



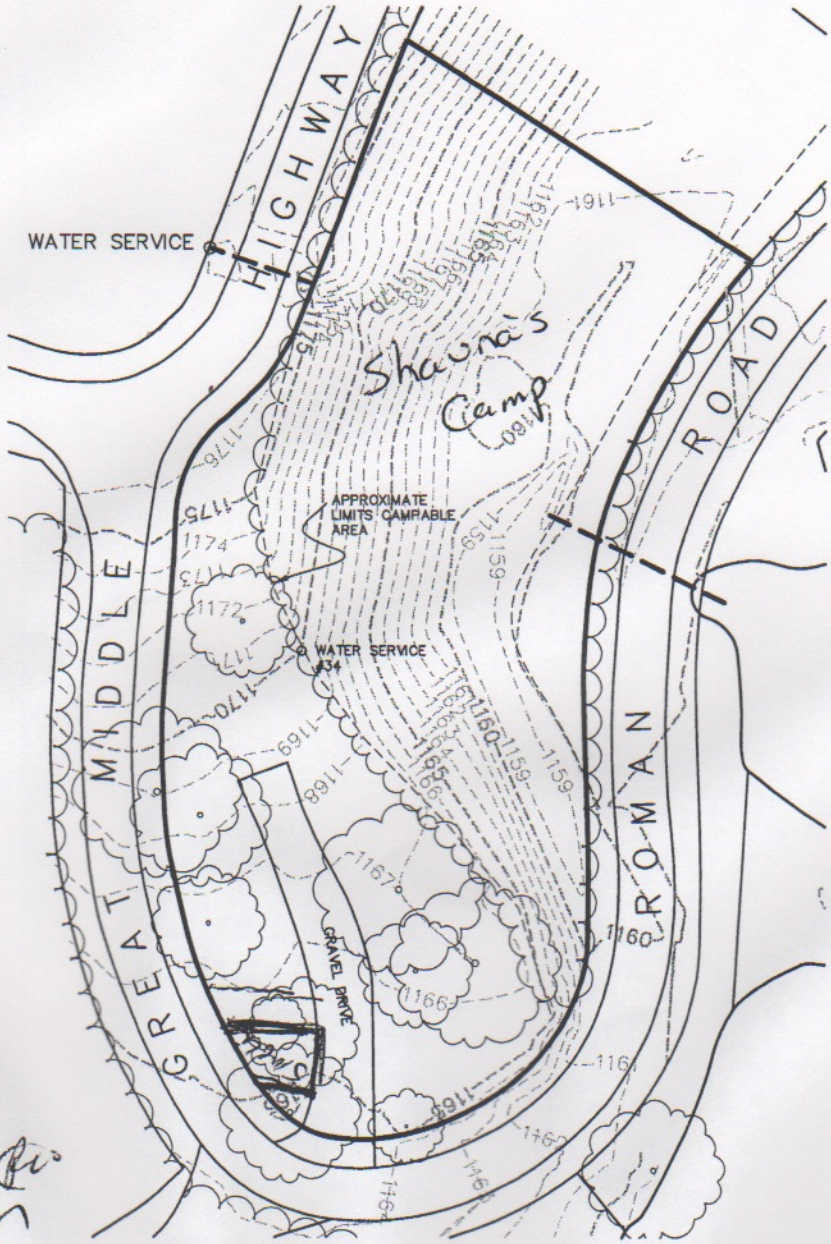

Shawna Dawson

This map prepared by Geoffrey of Wroxeter, Pennsic Cartographer - © 2006 Eric Browning

BLOCK W12

FOR

PENNSIC XXXV

CAMPABLE AREA: 5191 S.F.

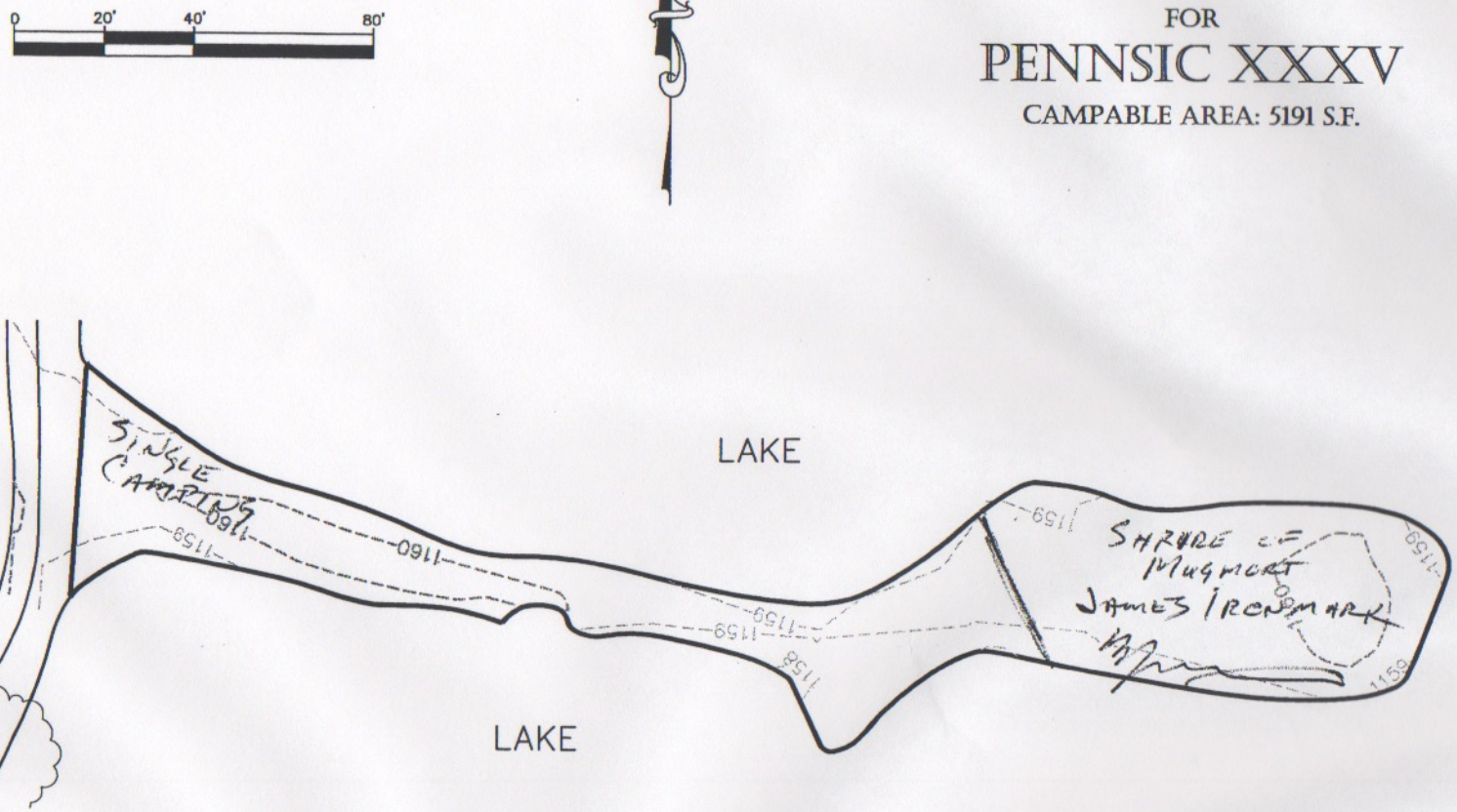

This map prepared by Geoffrey of Wroxeter, Pennsic Cartographer - © 2006 Eric Browning

BLOCK W13

FOR

PENNSIC XXXV

TOTAL AREA: 53394 S.F.

UNCAMPABLE AREA DUE TO BATH HOUSE AND SERVICE VAULT: 1006 S.F.

WOODED AREA (80% CAMPABLE): 19530 S.F.

CAMPABLE AREA: 48482 S.F.

0 25' 50' 100'

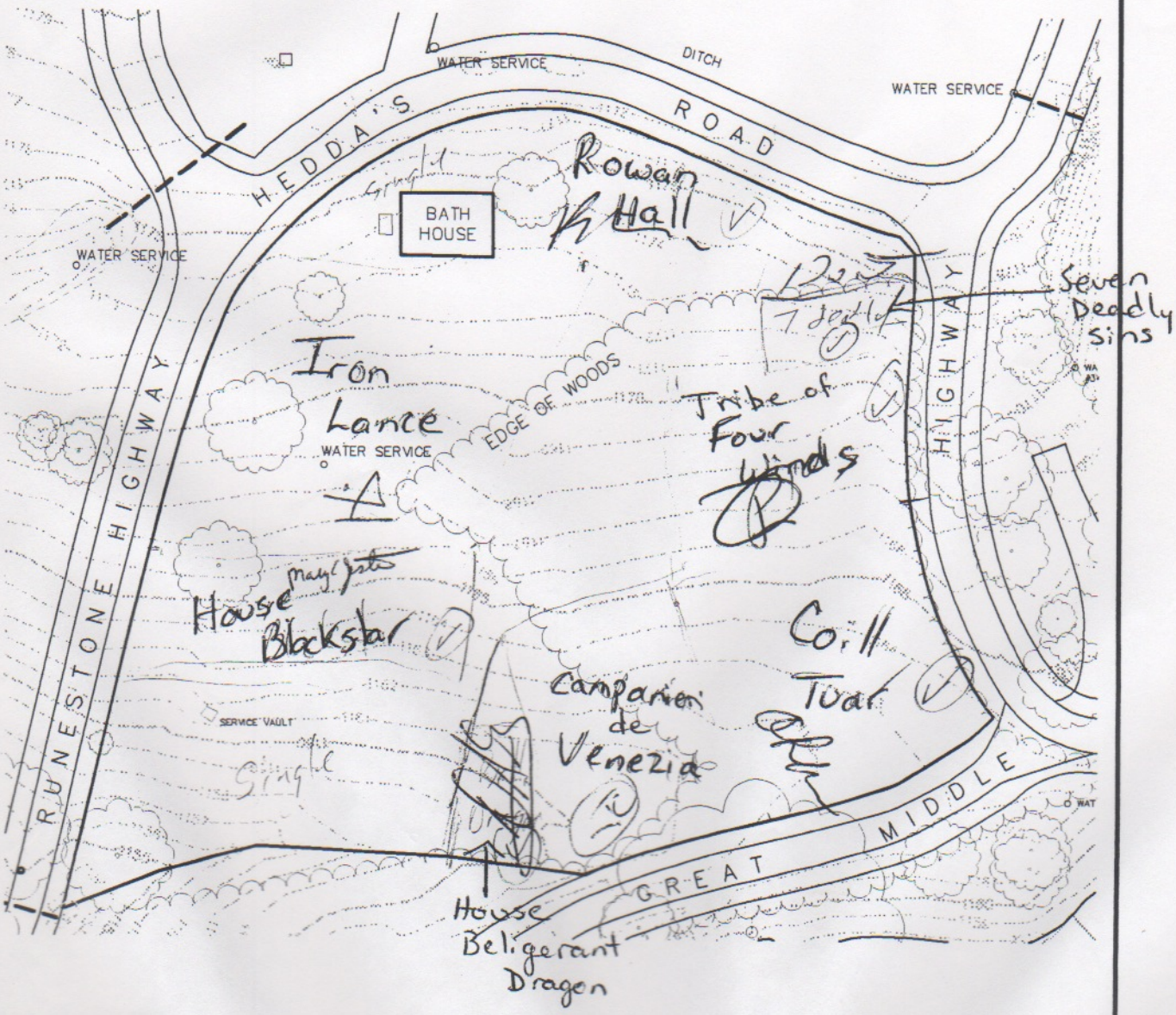

This map prepared by Geoffrey of Wroxeter, Pennsic Cartographer - © 2006 Eric Browning

BLOCK W14

FOR

PENNSIC XXXV

TOTAL AREA: 19440 S.F.

UNCAMPABLE AREA DUE TO STEEP SLOPE:: 5147 S.F.

NET AREA: 14293 S.F.

Baron Ang vs Traitor
Group Late
To see Lindore

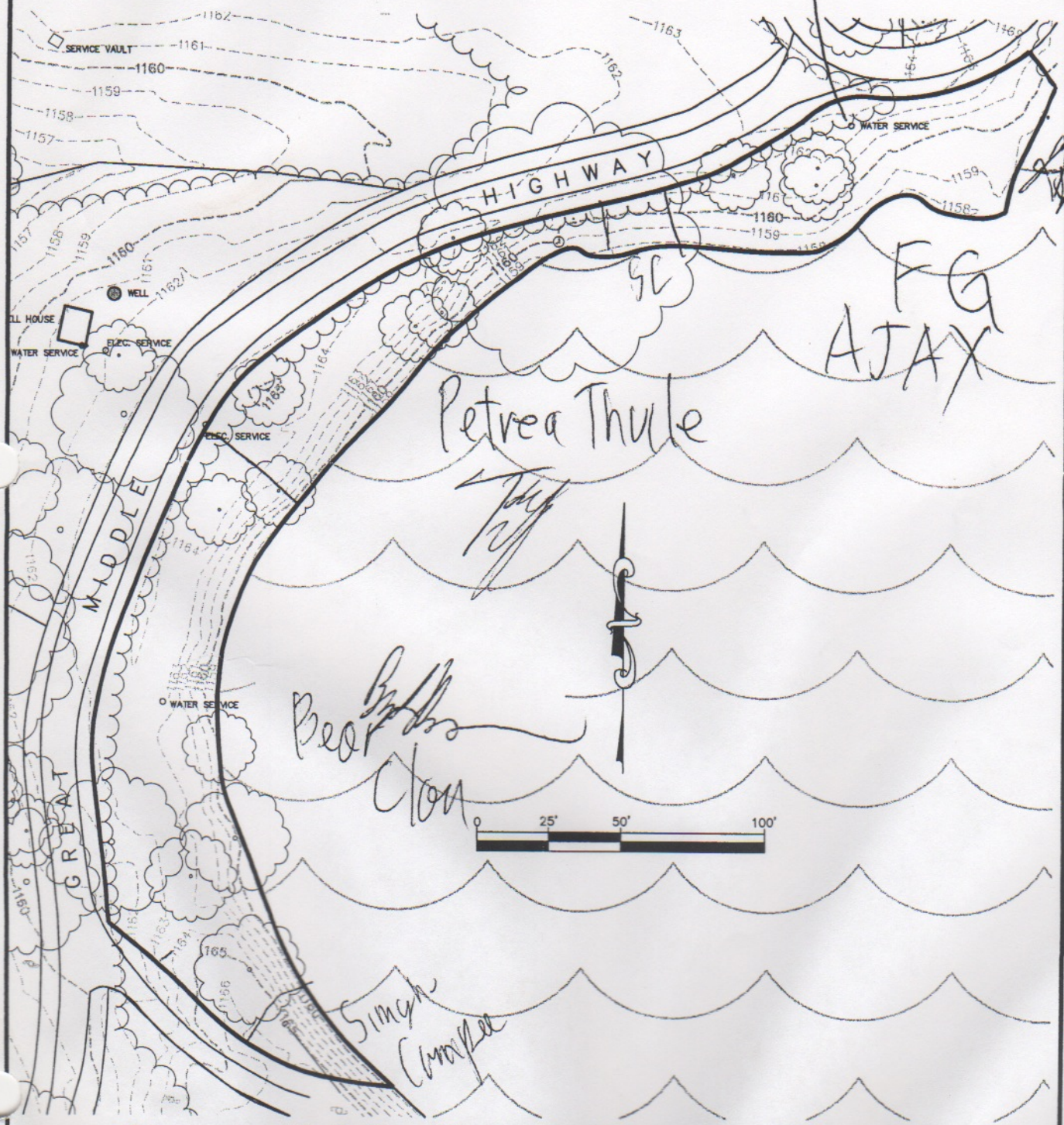

This map prepared by Geoffrey of Wroxeter, Pennsic Cartographer - © 2006 Eric Browning

BLOCK W15

FOR

PENNSIC XXXV

TOTAL AREA: 16511 S.F.

UNCAMPABLE AREA DUE TO SEPTIC FIELD: 694 S.F.

PUBLIC AREAS (WELL HOUSE, AND 3'X3' SQUARES AROUND WATER SERVICES, WELL, AND ELECTRIC POLES: 158 S.F.

WOODED AREA (80% CAMPABLE): 16389 S.F.

CAMPABLE AREA: 12381 S.F.

0 20' 40' 80'

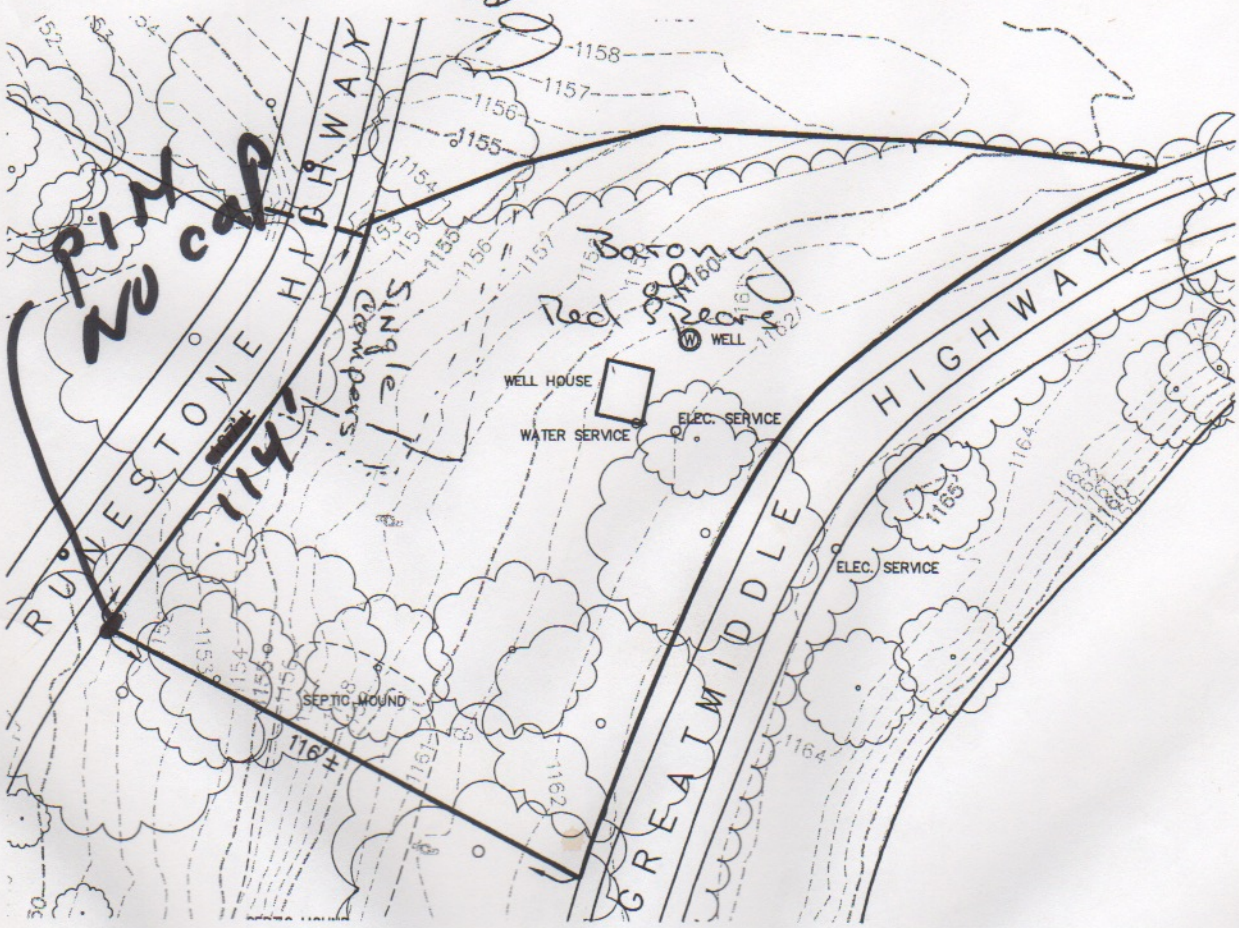

BLOCK W16

FOR

PENNSIC XXXV

TOTAL AREA: 31370 S.F.

UNCAMPABLE AREA DUE TO DITCH: 1996 S.F.

WOODED AREA (80% CAMPABLE): 7180 S.F.

NET AREA: 27938 S.F.



This map prepared by Geoffrey of Wroxeter, Pennsic Cartographer - © 2006 Eric Browning

Chapel
Area
Map

Gin

Gin 11

Gin 11-11

P.M

BLOCK W17

FOR

PENNSIC XXXV

TOTAL AREA: 50092 S.F.

UNCAMPABLE AREA DUE TO DITCH AND SEPTIC MOUND: 8148 S.F.

PUBLIC AREAS (SEVEN 3'X3' SQUARES AROUND POWER POLESAND SERVICES): 63 S.F.

WOODED AREA (80% CAMPABLE): 10267 S.F.

CAMPABLE AREA: 39828 S.F.

This map prepared by Geoffrey of Wroxeter, Pennsic Cartographer - © 2006 Eric Browning

BLOCK W18

FOR

PENNSIC XXXV

TOTAL AREA: 27876 S.F.
UNCAMPABLE AREAS DUE TO BUILDING, ROAD AREA,
AND TWO 3'X3' SQUARE PUBLIC AREAS AROUND
ELECTRIC SERVICES: 2014 S.F.
WOODED AREA (80% CAMPABLE): 13532 S.F.
CAMPABLE AREA: 23156 S.F.

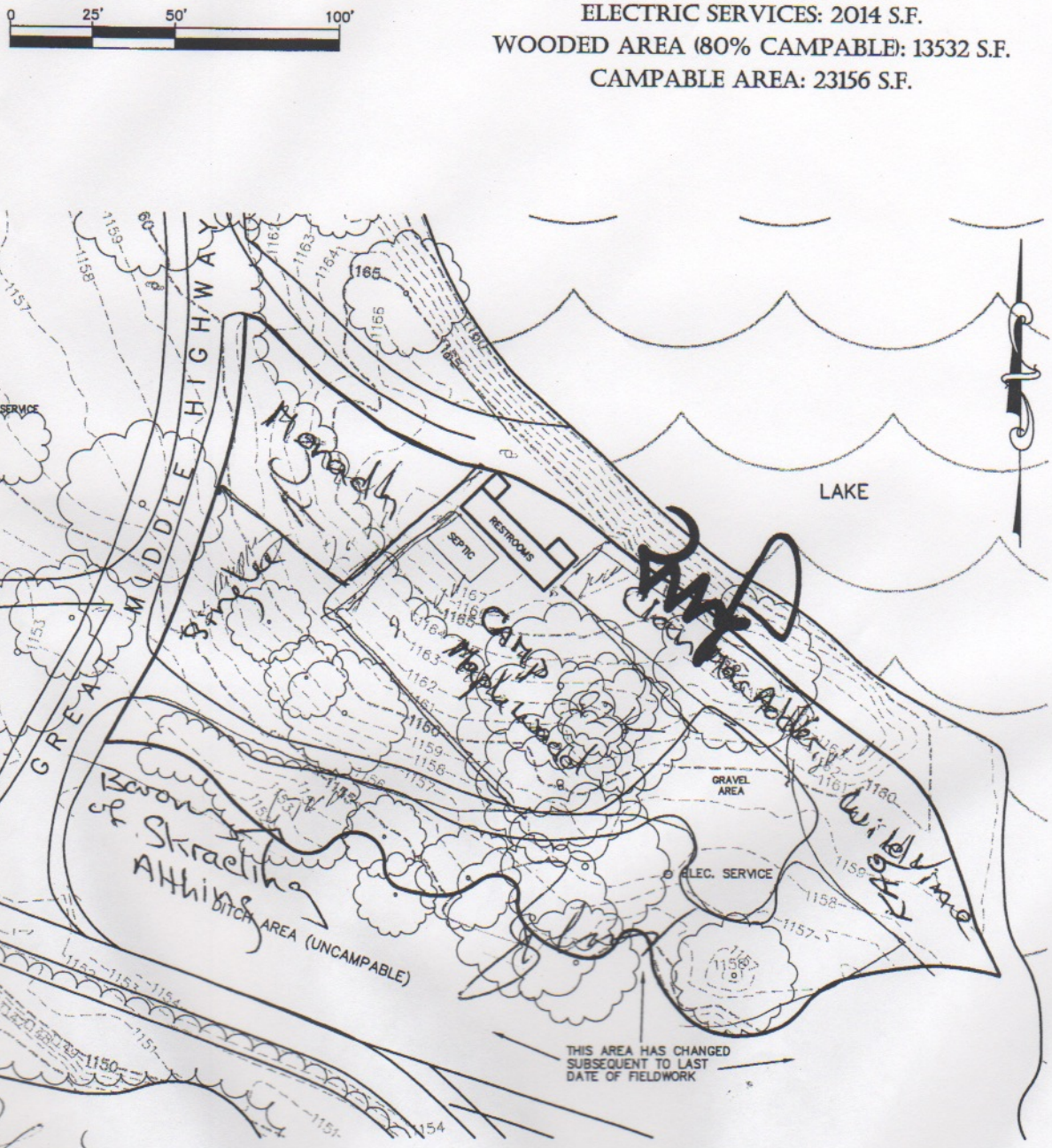

This map prepared by Geoffrey of Wroxeter, Pennsic Cartographer - © 2006 Eric Browning

BLOCK W19

FOR

PENNSIC XXXV

TOTAL AREA: 25590 S.F.

UNCAMPABLE AREA DUE TO SLOPE: 1780S.F.

WOODED AREA (80% CAMPABLE): 23810 S.F.

CAMPABLE AREA: 19048 S.F.

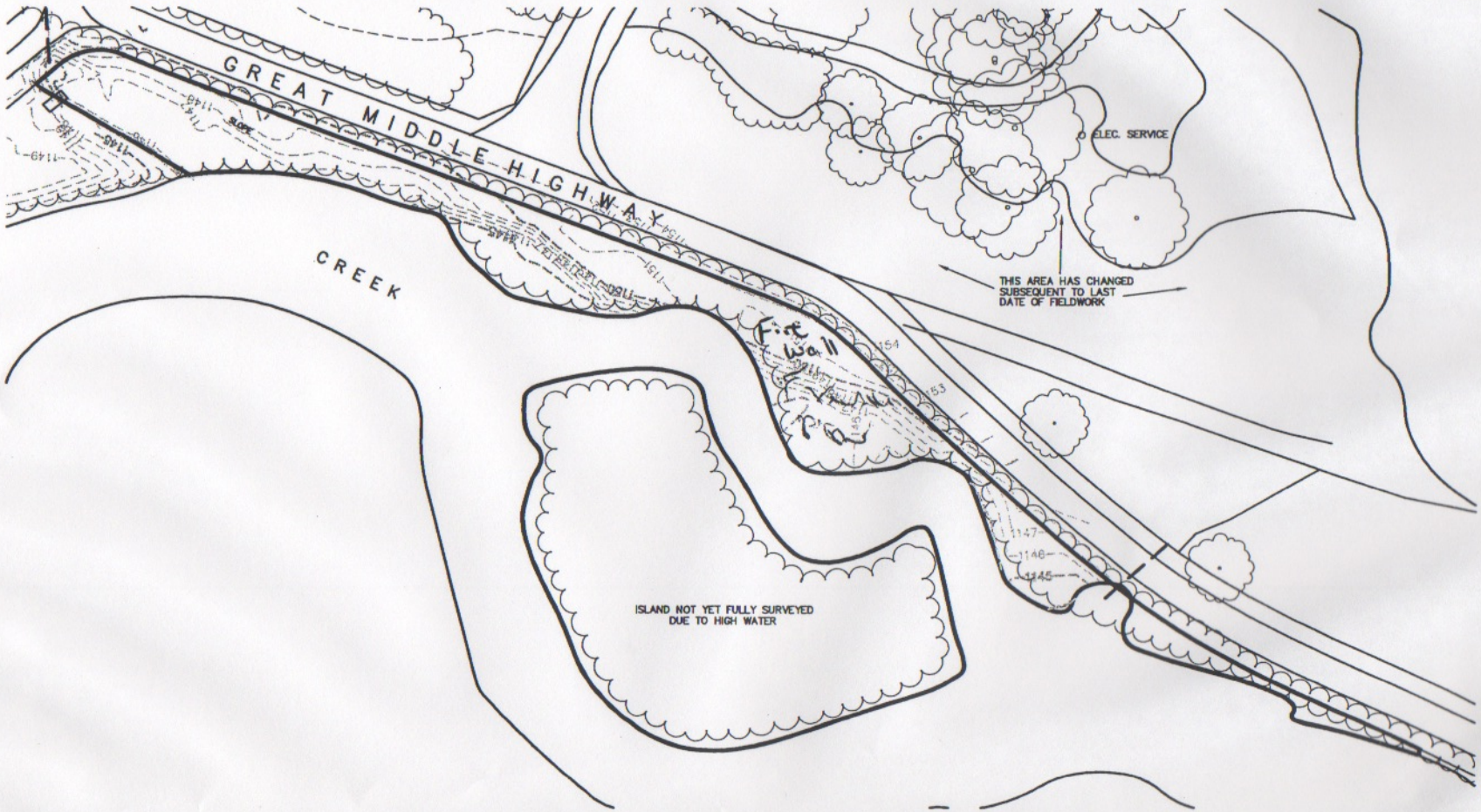

This map prepared by Geoffrey of Wroxeter, Pennsic Cartographer - © 2006 Eric Browning

BLOCK W20

FOR

PENNSIC XXXV

TOTAL AREA: 39073 S.F.

UNCAMPABLE AREA DUE TO SLOPE: 1046 S.F.

ROAD AREA: 967 S.F.

WOODED AREA (80% CAMPABLE): 39073 S.F.

CAMPABLE AREA: 29245 S.F.

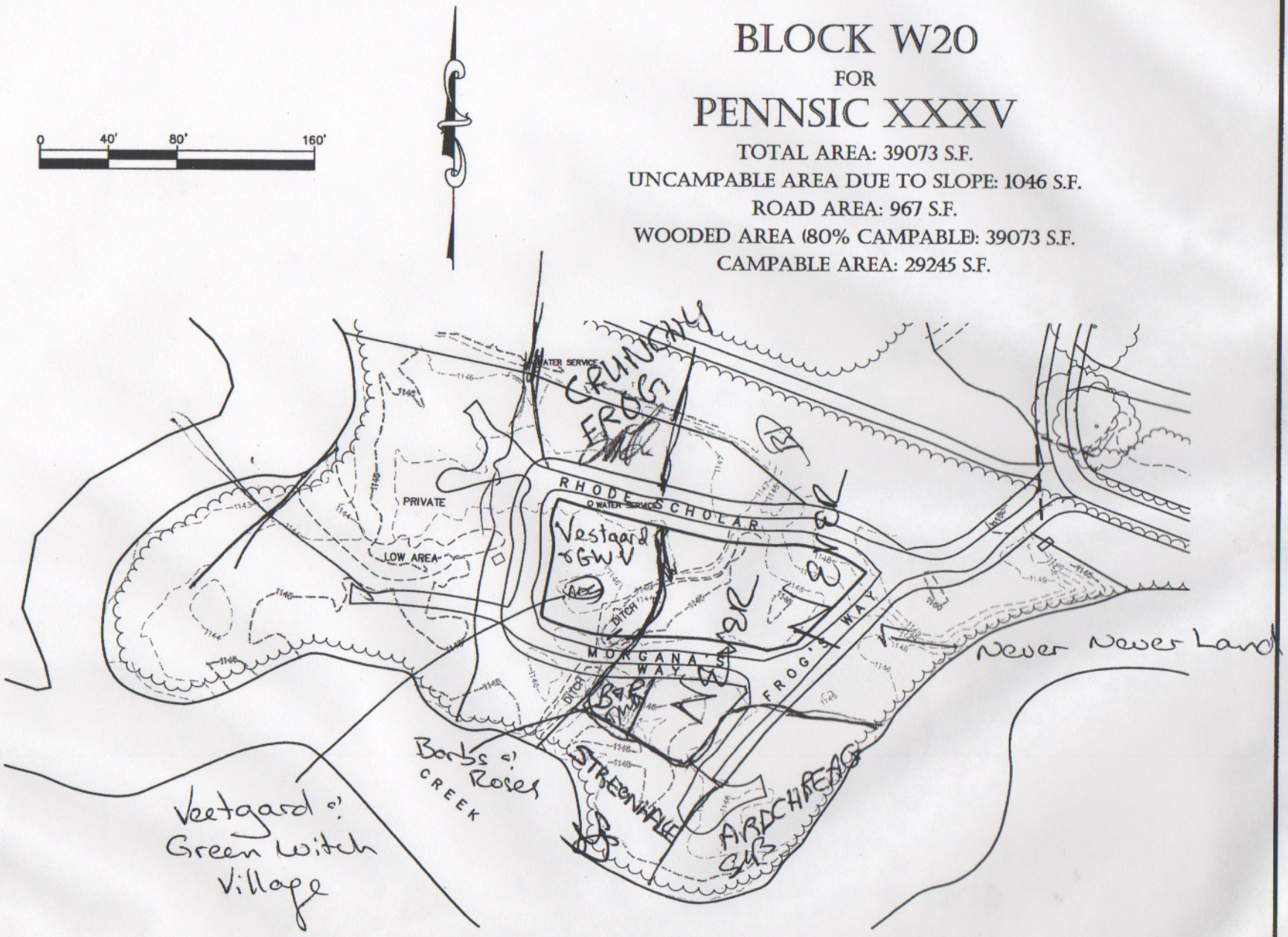

This map prepared by Geoffrey of Wroxeter, Pennsic Cartographer - © 2006 Eric Browning



A House Gawain
B Realms Edge
C Hamilton
D Club Medieve
E Single

F = Karst house
G = Yggdrasil

BLOCK W21
FOR
PENNSIC XXXV

TOTAL AREA: 40775 S.F.
UNCAMPABLE AREA DUE TO SLOPE: 18078 S.F.
RESTRICTED AREA AROUND GAS LINE MARKER: 80 S.F.
NET AREA: 22617 S.F.

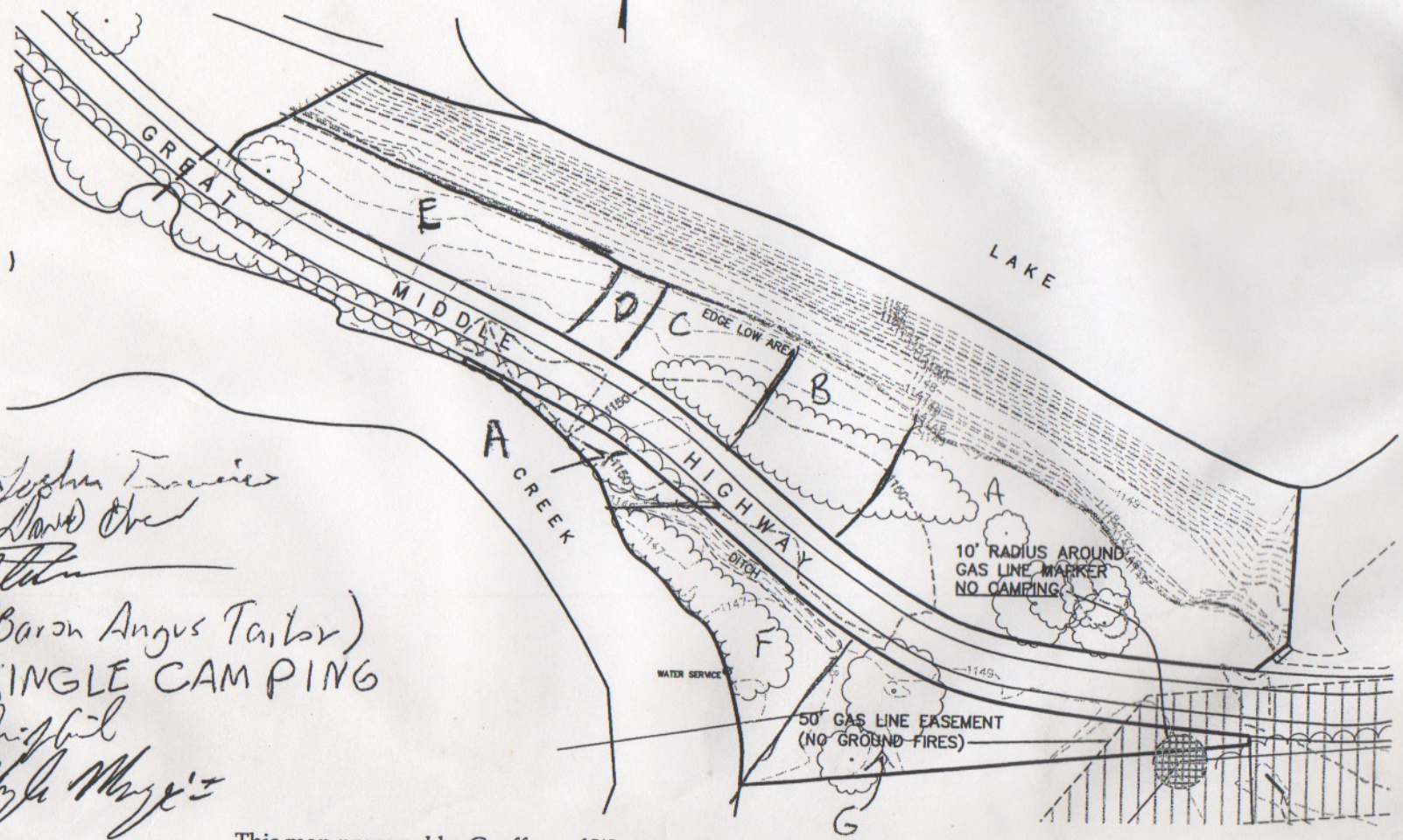

A Joshua Francis
B David Ober
C [illegible]
D (Baron Angus Tailor)
E SINGLE CAMPING
F [illegible]
G [illegible]

This map prepared by Geoffrey of Wroxeter, Pennsic Cartographer - © 2006 Eric Browning